APPRAISAL OF REAL PROPERTY

LOCATED AT:

96 Baell Trace Ct SE
Lot 34 Sagecreek S/D Phase 2
Moultrie, GA 31788

FOR:

Clear2Mortgage, Inc.
219 S Main Street
Royal Oak, MI 48067

AS OF:

04/17/2026

BY:

Craig Bardes
Appraiser
Henderson Appraisal Services
304 Janet St. Suite E
Valdosta, Ga 31602
229-253-1175

Henderson Appraisal Services
304 Janet St. Suite E
Valdosta, GA 31602
(229) 253-1175

04/17/2026

Clear2Mortgage, Inc.
219 S Main Street
Royal Oak, MI 48067

Re: Property: 96 Baell Trace Ct SE
Moultrie, GA 31788
Borrower: Hung La
File No.: 2026722

In accordance with your request, we have appraised the above referenced property. The report of that appraisal is attached.

The purpose of this appraisal is to estimate the market value of the property described in this appraisal report, as improved, in unencumbered fee simple title of ownership.

This report is based on a physical analysis of the site and improvements, a locational analysis of the neighborhood and city, and an economic analysis of the market for properties such as the subject. The appraisal was developed and the report was prepared in accordance with the Uniform Standards of Professional Appraisal Practice.

The value conclusions reported are as of the effective date stated in the body of the report and contingent upon the certification and limiting conditions attached.

Sincerely,

Craig Bardes
Appraiser
Henderson Appraisal Services

Uniform Residential Appraisal Report

File # 2026722

The purpose of this summary appraisal report is to provide the lender/client with an accurate, and adequately supported, opinion of the market value of the subject property.

SUBJECT

Property Address: 96 Baell Trace Ct SE | City: Moultrie | State: GA | Zip Code: 31788

Borrower: Hung La | Owner of Public Record: Precision Builders and Developers LI | County: Colquitt

Legal Description: Lot 34 Sagecreek S/D Phase 2

Assessor's Parcel #: m052 245 | Tax Year: 2025 | R.E. Taxes $: 423

Neighborhood Name: Sagecreek | Map Reference: 34220 | Census Tract: 9707.03

Occupant: [ ] Owner [ ] Tenant [X] Vacant | Special Assessments $: 0 | [ ] PUD | HOA $: 0 [ ] per year [ ] per month

Property Rights Appraised: [X] Fee Simple [ ] Leasehold [ ] Other (describe)

Assignment Type: [X] Purchase Transaction [ ] Refinance Transaction [ ] Other (describe)

Lender/Client: Clear2Mortgage, Inc. | Address: 219 S Main Street Ste 111, Royal Oak, MI 48067

Is the subject property currently offered for sale or has it been offered for sale in the twelve months prior to the effective date of this appraisal? [X] Yes [ ] No

Report data source(s) used, offering price(s), and date(s). DOM 87;SGAMLS#914579, List Price: $263,000, List Date: 01/20/2026, Original List Price: $289,900

CONTRACT

I [X] did [ ] did not analyze the contract for sale for the subject purchase transaction. Explain the results of the analysis of the contract for sale or why the analysis was not performed. Arms length sale;Contract Price: $263,000, Closing Costs: $0, Contract Date: 03/19/2026

Contract Price $: 263,000 | Date of Contract: 03/16/2026 | Is the property seller the owner of public record? [X] Yes [ ] No | Data Source(s): Tax records,contract

Is there any financial assistance (loan charges, sale concessions, gift or downpayment assistance, etc.) to be paid by any party on behalf of the borrower? [ ] Yes [X] No

If Yes, report the total dollar amount and describe the items to be paid. $0;;closing costs

NEIGHBORHOOD

Note: Race and the racial composition of the neighborhood are not appraisal factors.

Neighborhood Characteristics		One-Unit Housing Trends		One-Unit Housing			Present Land Use %	
Location	[ ] Urban [X] Suburban [ ] Rural	Property Values	[ ] Increasing [X] Stable [ ] Declining	PRICE	AGE		One-Unit	90 %
Built-Up	[X] Over 75% [ ] 25-75% [ ] Under 25%	Demand/Supply	[ ] Shortage [X] In Balance [ ] Over Supply	$ (000)	(yrs)		2-4 Unit	3 %
Growth	[ ] Rapid [X] Stable [ ] Slow	Marketing Time	[ ] Under 3 mths [X] 3-6 mths [ ] Over 6 mths	220	Low	0	Multi-Family	1 %
Neighborhood Boundaries	North = Highway 319 South = Gene McQueen Rd			340	High	5	Commercial	3 %
East =Revills Rd	West = Highway 33			275	Pred.	1	Other	3 %

Neighborhood Description: There are no apparent adverse factors which affect the subject's marketability. "Other" under land use is vacant land.

Market Conditions (including support for the above conclusions): Various types of financing are available including FHA, VA, and Conventional in the subject area. The marketability in this neighborhood appears to be between 3-6 months.

SITE

Dimensions: 7841 sf | Area: 7841 sf | Shape: Irregular | View: N;Res;

Specific Zoning Classification: R-10 | Zoning Description: Single Family Residential

Zoning Compliance: [X] Legal [ ] Legal Nonconforming (Grandfathered Use) [ ] No Zoning [ ] Illegal (describe)

Is the highest and best use of subject property as improved (or as proposed per plans and specifications) the present use? [X] Yes [ ] No If No, describe The highest and best use of the subject property is determined as it's current use based on the following criteria: 1-Legally permissibility,2-physical possibility,3-financial feasibility,4-maximum productive use.

Utilities	Public	Other (describe)		Public	Other (describe)	Off-site Improvements - Type		Public	Private
Electricity	[X]	[ ]	Water	[X]	[ ]	Street	Asphalt	[X]	[ ]
Gas	[X]	[ ]	Sanitary Sewer	[X]	[ ]	Alley	None	[ ]	[ ]

FEMA Special Flood Hazard Area: [ ] Yes [X] No | FEMA Flood Zone: X | FEMA Map #: 13071C0325E | FEMA Map Date: 11/02/2023

Are the utilities and off-site improvements typical for the market area? [X] Yes [ ] No If No, describe

Are there any adverse site conditions or external factors (easements, encroachments, environmental conditions, land uses, etc.)? [ ] Yes [X] No If Yes, describe

The subject site is a typical Sagecreek lot in terms of size and appeal. Site improvements and landscaping are typical for the area. No adverse easements or encroachments were noted.

IMPROVEMENTS

General Description		Foundation		Exterior Description	materials/condition	Interior	materials/condition
Units	[X] One [ ] One with Accessory Unit	[X] Concrete Slab	[ ] Crawl Space	Foundation Walls	Concrete/Good	Floors	LVP/Good
# of Stories	1	[ ] Full Basement	[ ] Partial Basement	Exterior Walls	Hdbd Siding/Good	Walls	Drywall/Good
Type	[X] Det. [ ] Att. [ ] S-Det./End Unit	Basement Area	0 sq.ft.	Roof Surface	Asphalt Shing/Good	Trim/Finish	Wood/Good
[X] Existing	[ ] Proposed [ ] Under Const.	Basement Finish	0 %	Gutters & Downspouts	None	Bath Floor	LVP/Good
Design (Style)	Traditional	[ ] Outside Entry/Exit	[ ] Sump Pump	Window Type	Dh Metal/Good	Bath Wainscot	Tile,FG/Good
Year Built	2025	Evidence of [ ] Infestation	None Appar	Storm Sash/Insulated	Insulated/Good	Car Storage	[ ] None
Effective Age (Yrs)	0	[ ] Dampness	[ ] Settlement	Screens	Yes/Good	[X] Driveway	# of Cars 2
Attic	[ ] None	Heating [X] FWA	[ ] HWBB [ ] Radiant	Amenities	[ ] Woodstove(s) # 0	Driveway Surface	Concrete
[X] Drop Stair	[ ] Stairs	[ ] Other	Fuel Electric	[ ] Fireplace(s) # 0	[ ] Fence none	[X] Garage	# of Cars 2
[ ] Floor	[ ] Scuttle	Cooling [X] Central Air Conditioning		[ ] Patio/Deck none	[X] Porch CFP,CBP	[ ] Carport	# of Cars 0
[ ] Finished	[ ] Heated	[ ] Individual	[ ] Other	[ ] Pool none	[ ] Other none	[X] Att.	[ ] Det. [ ] Built-in

Appliances: [X] Refrigerator [X] Range/Oven [X] Dishwasher [X] Disposal [X] Microwave [ ] Washer/Dryer [ ] Other (describe)

Finished area **above** grade contains: 6 Rooms 3 Bedrooms 2.0 Bath(s) 1,513 Square Feet of Gross Living Area Above Grade

Additional features (special energy efficient items, etc.). Standard insulation and ceiling fans.

Describe the condition of the property (including needed repairs, deterioration, renovations, remodeling, etc.). C1;No updates in the prior 15 years;The subject is a well built and properly maintained dwelling. utility is functional with adequately sized rooms, ample closet space and an efficient layout. This dwelling meets functional and aesthetic expectations for houses of this age and quality.

Are there any physical deficiencies or adverse conditions that affect the livability, soundness, or structural integrity of the property? [ ] Yes [X] No If Yes, describe

Does the property generally conform to the neighborhood (functional utility, style, condition, use, construction, etc.)? [X] Yes [ ] No If No, describe

Form 1004UAD - "TOTAL" appraisal software by a la mode, inc. - 1-800-ALAMODE

Uniform Residential Appraisal Report

File # 2026722

There are 1 comparable properties currently offered for sale in the subject neighborhood ranging in price from $ 279,900 to $ 279,900 .

There are 3 comparable sales in the subject neighborhood within the past twelve months ranging in sale price from $ 275,000 to $ 286,000 .

FEATURE	SUBJECT	COMPARABLE SALE # 1		COMPARABLE SALE # 2		COMPARABLE SALE # 3	
Address	96 Baell Trace Ct SE Moultrie, GA 31788	210 Baell Trace Ct SE Moultrie, GA 31788		108 Baell Trace Ct SE Moultrie, GA 31788		213 Baell Trace Ct SE Moultrie, GA 31788	
Proximity to Subject		0.10 miles E		0.02 miles E		0.13 miles W	
Sale Price	$ 263,000		$ 280,000		$ 275,000		$ 286,000
Sale Price/Gross Liv. Area	$ 173.83 sq.ft.	$ 178.80 sq.ft.		$ 189.26 sq.ft.		$ 191.05 sq.ft.	
Data Source(s)		MLS#913357;DOM 74		MLS#913297;DOM 75		MLS#913423;DOM 129	
Verification Source(s)		Tax Records,Previous Appraisal		Tax Records		Tax Records,Previous Appraisal	
VALUE ADJUSTMENTS	DESCRIPTION	DESCRIPTION	+(-) $ Adjustment	DESCRIPTION	+(-) $ Adjustment	DESCRIPTION	+(-) $ Adjustment
Sales or Financing Concessions		ArmLth Conv;5000		ArmLth Cash;0	0	ArmLth RH;11000	
Date of Sale/Time		s11/25;c09/25		s09/25;c08/25		s02/26;c12/25	
Location	N;Res;	N;Res;		N;Res;		N;Res;	
Leasehold/Fee Simple	Fee Simple	Fee Simple		Fee Simple		Fee Simple	
Site	7841 sf	8464 sf	0	7841 sf		6098 sf	0
View	N;Res;	N;Res;		N;Res;		N;Res;	
Design (Style)	DT1;Traditional	DT1;Traditional		DT1;Traditional		DT1;Traditional	
Quality of Construction	Q3	Q3		Q3		Q3	-14,300
Actual Age	1	1		1		1	
Condition	C1	C1		C1		C1	
Above Grade Room Count (Total / Bdrms. / Baths)	6 / 3 / 2.0	6 / 3 / 2.0		6 / 3 / 2.0		6 / 3 / 2.0	
Gross Living Area	1,513 sq.ft.	1,566 sq.ft.	-4,000	1,453 sq.ft.	+4,500	1,497 sq.ft.	0
Basement & Finished Rooms Below Grade	0sf	0sf		0sf		0sf	
Functional Utility	Average	Average		Average		Average	
Heating/Cooling	FWA/CAC	FWA/CAC		FWA/CAC		FWA/CAC	
Energy Efficient Items	Insulat/Cel Fans	Insulat/Cel Fans		Insulat/Cel Fans		Insulat/Cel Fans	
Garage/Carport	2ga2dw	2ga2dw		2ga2dw		2ga2dw	
Porch/Patio/Deck	CFP,CBP	CFP,CBP		CFP,CBP		CFP,CBP	
Net Adjustment (Total)		☐ + ☒ -	$ -4,000	☒ + ☐ -	$ 4,500	☐ + ☒ -	$ -14,300
Adjusted Sale Price of Comparables		Net Adj. 1.4 % Gross Adj. 1.4 %	$ 276,000	Net Adj. 1.6 % Gross Adj. 1.6 %	$ 279,500	Net Adj. 5.0 % Gross Adj. 5.0 %	$ 271,700

SALES COMPARISON APPROACH

I ☒ did ☐ did not research the sale or transfer history of the subject property and comparable sales. If not, explain

My research ☒ did ☐ did not reveal any prior sales or transfers of the subject property for the three years prior to the effective date of this appraisal.

Data Source(s) Tax Cards, SGAMLS

My research ☐ did ☒ did not reveal any prior sales or transfers of the comparable sales for the year prior to the date of sale of the comparable sale.

Data Source(s) Tax Cards, SGAMLS

Report the results of the research and analysis of the prior sale or transfer history of the subject property and comparable sales (report additional prior sales on page 3).

ITEM	SUBJECT	COMPARABLE SALE #1	COMPARABLE SALE #2	COMPARABLE SALE #3
Date of Prior Sale/Transfer	07/31/2024			
Price of Prior Sale/Transfer	$142,000			
Data Source(s)	Tax Cards	Tax Cards	Tax Cards	Tax Cards
Effective Date of Data Source(s)	04/16/2026	04/16/2026	04/16/2026	04/16/2026

Analysis of prior sale or transfer history of the subject property and comparable sales The subject's lot was part of a multi-parcel purchase. The three comps have not sold within the previous 12 months.

Summary of Sales Comparison Approach Comps 1 & 3 were the only comparable sales in the previous 6 months. Comp 2 was used despite being over 6 months old due to a lack of any more recent comparable sales available.The four comparables used were the best that were available at the time of this appraisal. All adjustments were made based on market data including matched paired analysis of sales including sales within this report. Comp 1 was given the most weight due to requiring the least amount of adjustments. Contract Dates are not always provided by this appraiser's MLS. The typical home sale in the subject area contains a sellers concession of up to 5%. This amount has been tradition and steady for years.Seller's concessions of the Comps are below the market norm of 5% and thus no adjustment was warranted. There were no more comparable sales located in closer proximity to the subject than the Comps used in this report. The subject and all comps are located in competing areas of equal home values. Comps 3 & 4 are considered Q3 for Quality. However, due to Comps 3 & 4 having superior quality finishes, materials and craftsmanship compared to the subject, Comps 3 & 4 were adjusted for Quality.

Indicated Value by Sales Comparison Approach $ 276,000

RECONCILIATION

Indicated Value by: Sales Comparison Approach $ 276,000 **Cost Approach (if developed) $** 282,949 **Income Approach (if developed) $** 0

The income approach was not expanded on as this is a single family residential property.The Cost Approach is not required by Fannie Mae as of 11/01/2005. The Sales Comparison approach reached a supportive and reasonable conclusion of market value. The Sales Comparison Approach was given full weight for the appraised value.

This appraisal is made ☒ "as is", ☐ subject to completion per plans and specifications on the basis of a hypothetical condition that the improvements have been completed, ☐ subject to the following repairs or alterations on the basis of a hypothetical condition that the repairs or alterations have been completed, or ☐ subject to the following required inspection based on the extraordinary assumption that the condition or deficiency does not require alteration or repair: There are no special conditions attached to this appraisal or the value indicated by this appraisal.

Based on a complete visual inspection of the interior and exterior areas of the subject property, defined scope of work, statement of assumptions and limiting conditions, and appraiser's certification, my (our) opinion of the market value, as defined, of the real property that is the subject of this report is $ 276,000 **, as of** 04/17/2026 **, which is the date of inspection and the effective date of this appraisal.**

Form 1004UAD - "TOTAL" appraisal software by a la mode, inc. - 1-800-ALAMODE

ADDITIONAL COMMENTS

All utilities and appliances were on and in working order at the time of inspection.

All adjustments were based on matched paired analysis of the most comparable properties (as defined by FNMA) which were Comps 1-3 of this report. Any other adjustment amounts would have created a greater spread in adjusted values hence the matched paired use.The actual pairing analysis was made on each line on the grid based on these sales.

A 12 month analysis of local market conditions was performed. The defined market area included the entire region within which properties compete with the subject for potential buyers.The results obtained from the South Georgia MLS resulted in findings showing the subject market value increased by 2% over the last 12 months which is in the margin of a "stable market".

Comparable Sales that include sales or financing concessions must be adjusted to reflect the impact, if any, on the sale price of the comparables based on the market at the time of sale.The seller concessions made on the comparable sales in this report all fall within the market norm of 6% for such and thus require no adjustment.

COST APPROACH

COST APPROACH TO VALUE (not required by Fannie Mae)

Provide adequate information for the lender/client to replicate the below cost figures and calculations.

Support for the opinion of site value (summary of comparable land sales or other methods for estimating site value) Site value is based on comparable lot sales in the subject area within the last 6 months.

ESTIMATED ☐ REPRODUCTION OR ☒ REPLACEMENT COST NEW	OPINION OF SITE VALUE			=$	35,000
Source of cost data Marshall & Swift Costing Manual	DWELLING	1,513 Sq.Ft. @ $	138.75	=$	209,929
Quality rating from cost service Good Effective date of cost data 01/17/2026		0 Sq.Ft. @ $		=$	
Comments on Cost Approach (gross living area calculations, depreciation, etc.)				=$	
Costing data utilized the Marshall & Swift Costing Manual and was	Garage/Carport	439 Sq.Ft. @ $	71.80	=$	31,520
supported and verified by local contractors. The site value was	Total Estimate of Cost-New			=$	241,449
estimated using the Sales Comparison Method, and the sales of similar	Less Physical	Functional	External		
sites in the local area. Square footage was calculated based on	Depreciation			=$( )	
measurements taken at the time of the inspection. Depreciation was	Depreciated Cost of Improvements			=$	241,449
based on observed physical deterioration and the age of the property.	"As-is" Value of Site Improvements			=$	6,500
Estimated Remaining Economic Life (HUD and VA only) 80 Years	**INDICATED VALUE BY COST APPROACH**			**=$**	282,949

INCOME

INCOME APPROACH TO VALUE (not required by Fannie Mae)

Estimated Monthly Market Rent $ 0 X Gross Rent Multiplier 0 = $ 0 Indicated Value by Income Approach

Summary of Income Approach (including support for market rent and GRM)

PUD INFORMATION

PROJECT INFORMATION FOR PUDs (if applicable)

Is the developer/builder in control of the Homeowners' Association (HOA)? ☐ Yes ☐ No Unit type(s) ☐ Detached ☐ Attached

Provide the following information for PUDs ONLY if the developer/builder is in control of the HOA and the subject property is an attached dwelling unit.

Legal Name of Project

Total number of phases | Total number of units | Total number of units sold

Total number of units rented | Total number of units for sale | Data source(s)

Was the project created by the conversion of existing building(s) into a PUD? ☐ Yes ☐ No If Yes, date of conversion.

Does the project contain any multi-dwelling units? ☐ Yes ☐ No Data Source

Are the units, common elements, and recreation facilities complete? ☐ Yes ☐ No If No, describe the status of completion.

Are the common elements leased to or by the Homeowners' Association? ☐ Yes ☐ No If Yes, describe the rental terms and options.

Describe common elements and recreational facilities.

Form 1004UAD - "TOTAL" appraisal software by a la mode, inc. - 1-800-ALAMODE

This report form is designed to report an appraisal of a one-unit property or a one-unit property with an accessory unit; including a unit in a planned unit development (PUD). This report form is not designed to report an appraisal of a manufactured home or a unit in a condominium or cooperative project.

This appraisal report is subject to the following scope of work, intended use, intended user, definition of market value, statement of assumptions and limiting conditions, and certifications. Modifications, additions, or deletions to the intended use, intended user, definition of market value, or assumptions and limiting conditions are not permitted. The appraiser may expand the scope of work to include any additional research or analysis necessary based on the complexity of this appraisal assignment. Modifications or deletions to the certifications are also not permitted. However, additional certifications that do not constitute material alterations to this appraisal report, such as those required by law or those related to the appraiser's continuing education or membership in an appraisal organization, are permitted.

SCOPE OF WORK: The scope of work for this appraisal is defined by the complexity of this appraisal assignment and the reporting requirements of this appraisal report form, including the following definition of market value, statement of assumptions and limiting conditions, and certifications. The appraiser must, at a minimum: (1) perform a complete visual inspection of the interior and exterior areas of the subject property, (2) inspect the neighborhood, (3) inspect each of the comparable sales from at least the street, (4) research, verify, and analyze data from reliable public and/or private sources, and (5) report his or her analysis, opinions, and conclusions in this appraisal report.

INTENDED USE: The intended use of this appraisal report is for the lender/client to evaluate the property that is the subject of this appraisal for a mortgage finance transaction.

INTENDED USER: The intended user of this appraisal report is the lender/client.

DEFINITION OF MARKET VALUE: The most probable price which a property should bring in a competitive and open market under all conditions requisite to a fair sale, the buyer and seller, each acting prudently, knowledgeably and assuming the price is not affected by undue stimulus. Implicit in this definition is the consummation of a sale as of a specified date and the passing of title from seller to buyer under conditions whereby: (1) buyer and seller are typically motivated; (2) both parties are well informed or well advised, and each acting in what he or she considers his or her own best interest; (3) a reasonable time is allowed for exposure in the open market; (4) payment is made in terms of cash in U. S. dollars or in terms of financial arrangements comparable thereto; and (5) the price represents the normal consideration for the property sold unaffected by special or creative financing or sales concessions* granted by anyone associated with the sale.

*Adjustments to the comparables must be made for special or creative financing or sales concessions. No adjustments are necessary for those costs which are normally paid by sellers as a result of tradition or law in a market area; these costs are readily identifiable since the seller pays these costs in virtually all sales transactions. Special or creative financing adjustments can be made to the comparable property by comparisons to financing terms offered by a third party institutional lender that is not already involved in the property or transaction. Any adjustment should not be calculated on a mechanical dollar for dollar cost of the financing or concession but the dollar amount of any adjustment should approximate the market's reaction to the financing or concessions based on the appraiser's judgment.

STATEMENT OF ASSUMPTIONS AND LIMITING CONDITIONS: The appraiser's certification in this report is subject to the following assumptions and limiting conditions:

1. The appraiser will not be responsible for matters of a legal nature that affect either the property being appraised or the title to it, except for information that he or she became aware of during the research involved in performing this appraisal. The appraiser assumes that the title is good and marketable and will not render any opinions about the title.

2. The appraiser has provided a sketch in this appraisal report to show the approximate dimensions of the improvements. The sketch is included only to assist the reader in visualizing the property and understanding the appraiser's determination of its size.

3. The appraiser has examined the available flood maps that are provided by the Federal Emergency Management Agency (or other data sources) and has noted in this appraisal report whether any portion of the subject site is located in an identified Special Flood Hazard Area. Because the appraiser is not a surveyor, he or she makes no guarantees, express or implied, regarding this determination.

4. The appraiser will not give testimony or appear in court because he or she made an appraisal of the property in question, unless specific arrangements to do so have been made beforehand, or as otherwise required by law.

5. The appraiser has noted in this appraisal report any adverse conditions (such as needed repairs, deterioration, the presence of hazardous wastes, toxic substances, etc.) observed during the inspection of the subject property or that he or she became aware of during the research involved in performing the appraisal. Unless otherwise stated in this appraisal report, the appraiser has no knowledge of any hidden or unapparent physical deficiencies or adverse conditions of the property (such as, but not limited to, needed repairs, deterioration, the presence of hazardous wastes, toxic substances, adverse environmental conditions, etc.) that would make the property less valuable, and has assumed that there are no such conditions and makes no guarantees or warranties, express or implied. The appraiser will not be responsible for any such conditions that do exist or for any engineering or testing that might be required to discover whether such conditions exist. Because the appraiser is not an expert in the field of environmental hazards, this appraisal report must not be considered as an environmental assessment of the property.

6. The appraiser has based his or her appraisal report and valuation conclusion for an appraisal that is subject to satisfactory completion, repairs, or alterations on the assumption that the completion, repairs, or alterations of the subject property will be performed in a professional manner.

Form 1004UAD - "TOTAL" appraisal software by a la mode, inc. - 1-800-ALAMODE

APPRAISER'S CERTIFICATION: The Appraiser certifies and agrees that:

1. I have, at a minimum, developed and reported this appraisal in accordance with the scope of work requirements stated in this appraisal report.

2. I performed a complete visual inspection of the interior and exterior areas of the subject property. I reported the condition of the improvements in factual, specific terms. I identified and reported the physical deficiencies that could affect the livability, soundness, or structural integrity of the property.

3. I performed this appraisal in accordance with the requirements of the Uniform Standards of Professional Appraisal Practice that were adopted and promulgated by the Appraisal Standards Board of The Appraisal Foundation and that were in place at the time this appraisal report was prepared.

4. I developed my opinion of the market value of the real property that is the subject of this report based on the sales comparison approach to value. I have adequate comparable market data to develop a reliable sales comparison approach for this appraisal assignment. I further certify that I considered the cost and income approaches to value but did not develop them, unless otherwise indicated in this report.

5. I researched, verified, analyzed, and reported on any current agreement for sale for the subject property, any offering for sale of the subject property in the twelve months prior to the effective date of this appraisal, and the prior sales of the subject property for a minimum of three years prior to the effective date of this appraisal, unless otherwise indicated in this report.

6. I researched, verified, analyzed, and reported on the prior sales of the comparable sales for a minimum of one year prior to the date of sale of the comparable sale, unless otherwise indicated in this report.

7. I selected and used comparable sales that are locationally, physically, and functionally the most similar to the subject property.

8. I have not used comparable sales that were the result of combining a land sale with the contract purchase price of a home that has been built or will be built on the land.

9. I have reported adjustments to the comparable sales that reflect the market's reaction to the differences between the subject property and the comparable sales.

10. I verified, from a disinterested source, all information in this report that was provided by parties who have a financial interest in the sale or financing of the subject property.

11. I have knowledge and experience in appraising this type of property in this market area.

12. I am aware of, and have access to, the necessary and appropriate public and private data sources, such as multiple listing services, tax assessment records, public land records and other such data sources for the area in which the property is located.

13. I obtained the information, estimates, and opinions furnished by other parties and expressed in this appraisal report from reliable sources that I believe to be true and correct.

14. I have taken into consideration the factors that have an impact on value with respect to the subject neighborhood, subject property, and the proximity of the subject property to adverse influences in the development of my opinion of market value. I have noted in this appraisal report any adverse conditions (such as, but not limited to, needed repairs, deterioration, the presence of hazardous wastes, toxic substances, adverse environmental conditions, etc.) observed during the inspection of the subject property or that I became aware of during the research involved in performing this appraisal. I have considered these adverse conditions in my analysis of the property value, and have reported on the effect of the conditions on the value and marketability of the subject property.

15. I have not knowingly withheld any significant information from this appraisal report and, to the best of my knowledge, all statements and information in this appraisal report are true and correct.

16. I stated in this appraisal report my own personal, unbiased, and professional analysis, opinions, and conclusions, which are subject only to the assumptions and limiting conditions in this appraisal report.

17. I have no present or prospective interest in the property that is the subject of this report, and I have no present or prospective personal interest or bias with respect to the participants in the transaction. I did not base, either partially or completely, my analysis and/or opinion of market value in this appraisal report on the race, color, religion, sex, age, marital status, handicap, familial status, or national origin of either the prospective owners or occupants of the subject property or of the present owners or occupants of the properties in the vicinity of the subject property or on any other basis prohibited by law.

18. My employment and/or compensation for performing this appraisal or any future or anticipated appraisals was not conditioned on any agreement or understanding, written or otherwise, that I would report (or present analysis supporting) a predetermined specific value, a predetermined minimum value, a range or direction in value, a value that favors the cause of any party, or the attainment of a specific result or occurrence of a specific subsequent event (such as approval of a pending mortgage loan application).

19. I personally prepared all conclusions and opinions about the real estate that were set forth in this appraisal report. If I relied on significant real property appraisal assistance from any individual or individuals in the performance of this appraisal or the preparation of this appraisal report, I have named such individual(s) and disclosed the specific tasks performed in this appraisal report. I certify that any individual so named is qualified to perform the tasks. I have not authorized anyone to make a change to any item in this appraisal report; therefore, any change made to this appraisal is unauthorized and I will take no responsibility for it.

20. I identified the lender/client in this appraisal report who is the individual, organization, or agent for the organization that ordered and will receive this appraisal report.

Form 1004UAD - "TOTAL" appraisal software by a la mode, inc. - 1-800-ALAMODE

21. The lender/client may disclose or distribute this appraisal report to: the borrower; another lender at the request of the borrower; the mortgagee or its successors and assigns; mortgage insurers; government sponsored enterprises; other secondary market participants; data collection or reporting services; professional appraisal organizations; any department, agency, or instrumentality of the United States; and any state, the District of Columbia, or other jurisdictions; without having to obtain the appraiser's or supervisory appraiser's (if applicable) consent. Such consent must be obtained before this appraisal report may be disclosed or distributed to any other party (including, but not limited to, the public through advertising, public relations, news, sales, or other media).

22. I am aware that any disclosure or distribution of this appraisal report by me or the lender/client may be subject to certain laws and regulations. Further, I am also subject to the provisions of the Uniform Standards of Professional Appraisal Practice that pertain to disclosure or distribution by me.

23. The borrower, another lender at the request of the borrower, the mortgagee or its successors and assigns, mortgage insurers, government sponsored enterprises, and other secondary market participants may rely on this appraisal report as part of any mortgage finance transaction that involves any one or more of these parties.

24. If this appraisal report was transmitted as an "electronic record" containing my "electronic signature," as those terms are defined in applicable federal and/or state laws (excluding audio and video recordings), or a facsimile transmission of this appraisal report containing a copy or representation of my signature, the appraisal report shall be as effective, enforceable and valid as if a paper version of this appraisal report were delivered containing my original hand written signature.

25. Any intentional or negligent misrepresentation(s) contained in this appraisal report may result in civil liability and/or criminal penalties including, but not limited to, fine or imprisonment or both under the provisions of Title 18, United States Code, Section 1001, et seq., or similar state laws.

SUPERVISORY APPRAISER'S CERTIFICATION: The Supervisory Appraiser certifies and agrees that:

1. I directly supervised the appraiser for this appraisal assignment, have read the appraisal report, and agree with the appraiser's analysis, opinions, statements, conclusions, and the appraiser's certification.

2. I accept full responsibility for the contents of this appraisal report including, but not limited to, the appraiser's analysis, opinions, statements, conclusions, and the appraiser's certification.

3. The appraiser identified in this appraisal report is either a sub-contractor or an employee of the supervisory appraiser (or the appraisal firm), is qualified to perform this appraisal, and is acceptable to perform this appraisal under the applicable state law.

4. This appraisal report complies with the Uniform Standards of Professional Appraisal Practice that were adopted and promulgated by the Appraisal Standards Board of The Appraisal Foundation and that were in place at the time this appraisal report was prepared.

5. If this appraisal report was transmitted as an "electronic record" containing my "electronic signature," as those terms are defined in applicable federal and/or state laws (excluding audio and video recordings), or a facsimile transmission of this appraisal report containing a copy or representation of my signature, the appraisal report shall be as effective, enforceable and valid as if a paper version of this appraisal report were delivered containing my original hand written signature.

APPRAISER Craig Bardes

Signature

Name Craig Bardes

Company Name Henderson Appraisal Services

Company Address 304 Janet Street, Suite E
Valdosta, GA 31602

Telephone Number 229-548-4460

Email Address craigbardes@att.net

Date of Signature and Report 04/20/2026

Effective Date of Appraisal 04/17/2026

State Certification # CR348700

or State License #

or Other (describe) State #

State GA

Expiration Date of Certification or License 01/31/2027

ADDRESS OF PROPERTY APPRAISED

96 Baell Trace Ct SE
Moultrie, GA 31788

APPRAISED VALUE OF SUBJECT PROPERTY $ 276,000

LENDER/CLIENT

Name Equity Solutions USA

Company Name Clear2Mortgage, Inc.

Company Address 219 S Main Street Ste 111, Royal Oak, MI 48067

Email Address

SUPERVISORY APPRAISER (ONLY IF REQUIRED)

Signature

Name

Company Name

Company Address

Telephone Number

Email Address

Date of Signature

State Certification #

or State License #

State

Expiration Date of Certification or License

SUBJECT PROPERTY

☐ Did not inspect subject property

☐ Did inspect exterior of subject property from street
Date of Inspection

☐ Did inspect interior and exterior of subject property
Date of Inspection

COMPARABLE SALES

☐ Did not inspect exterior of comparable sales from street

☐ Did inspect exterior of comparable sales from street
Date of Inspection

Form 1004UAD - "TOTAL" appraisal software by a la mode, inc. - 1-800-ALAMODE

Uniform Residential Appraisal Report

File # 2026722

SALES COMPARISON APPROACH

FEATURE	SUBJECT	COMPARABLE SALE # 4		COMPARABLE SALE # 5		COMPARABLE SALE # 6	
Address	96 Baell Trace Ct SE Moultrie, GA 31788	207 Baell Trace Ct SE Moultrie, GA 31788					
Proximity to Subject		0.13 miles W					
Sale Price	$ 263,000		$ 279,900		$		$
Sale Price/Gross Liv. Area	$ 173.83 sq.ft.	$ 206.42 sq.ft.		$ sq.ft.		$ sq.ft.	
Data Source(s)		MLS#915708;DOM 2					
Verification Source(s)		Tax Records					
VALUE ADJUSTMENTS	DESCRIPTION	DESCRIPTION	+(-) $ Adjustment	DESCRIPTION	+(-) $ Adjustment	DESCRIPTION	+(-) $ Adjustment
Sales or Financing Concessions		Listing Listed;0					
Date of Sale/Time		Active					
Location	N;Res;	N;Res;					
Leasehold/Fee Simple	Fee Simple	Fee Simple					
Site	7841 sf	6970 sf	0				
View	N;Res;	N;Res;					
Design (Style)	DT1;Traditional	DT1;Traditional					
Quality of Construction	Q3	Q3	-13,995				
Actual Age	1	1					
Condition	C1	C1					
Above Grade Room Count (Total / Bdrms. / Baths)	6 / 3 / 2.0	6 / 3 / 2.0		/ /		/ /	
Gross Living Area	1,513 sq.ft.	1,356 sq.ft.	+11,800	sq.ft.		sq.ft.	
Basement & Finished Rooms Below Grade	0sf	0sf					
Functional Utility	Average	Average					
Heating/Cooling	FWA/CAC	FWA/CAC					
Energy Efficient Items	Insulat/Cel Fans	Insulat/Cel Fans					
Garage/Carport	2ga2dw	2ga2dw					
Porch/Patio/Deck	CFP,CBP	CFP,CBP					
Net Adjustment (Total)		☐ + ☒ -	$ -2,195	☐ + ☐ -	$	☐ + ☐ -	$
Adjusted Sale Price of Comparables		Net Adj. 0.8 % Gross Adj. 9.2 %	$ 277,705	Net Adj. % Gross Adj. %	$	Net Adj. % Gross Adj. %	$

SALE HISTORY

Report the results of the research and analysis of the prior sale or transfer history of the subject property and comparable sales (report additional prior sales on page 3).

ITEM	SUBJECT	COMPARABLE SALE # 4	COMPARABLE SALE # 5	COMPARABLE SALE # 6
Date of Prior Sale/Transfer	07/31/2024			
Price of Prior Sale/Transfer	$142,000			
Data Source(s)	Tax Cards	Tax Cards		
Effective Date of Data Source(s)	04/16/2026	04/16/2026		

Analysis of prior sale or transfer history of the subject property and comparable sales

Comparable 4 has not sold within the last 12 months.

ANALYSIS / COMMENTS

Analysis/Comments

Form 1004UAD.(AC) - "TOTAL" appraisal software by a la mode, inc. - 1-800-ALAMODE

Market Conditions Addendum to the Appraisal Report

File No. 2026722

The purpose of this addendum is to provide the lender/client with a clear and accurate understanding of the market trends and conditions prevalent in the subject neighborhood. This is a required addendum for all appraisal reports with an effective date on or after April 1, 2009.

Property Address 96 Baell Trace Ct SE City Moultrie State GA ZIP Code 31788

Borrower Hung La

Instructions: The appraiser must use the information required on this form as the basis for his/her conclusions, and must provide support for those conclusions, regarding housing trends and overall market conditions as reported in the Neighborhood section of the appraisal report form. The appraiser must fill in all the information to the extent it is available and reliable and must provide analysis as indicated below. If any required data is unavailable or is considered unreliable, the appraiser must provide an explanation. It is recognized that not all data sources will be able to provide data for the shaded areas below; if it is available, however, the appraiser must include the data in the analysis. If data sources provide the required information as an average instead of the median, the appraiser should report the available figure and identify it as an average. Sales and listings must be properties that compete with the subject property, determined by applying the criteria that would be used by a prospective buyer of the subject property. The appraiser must explain any anomalies in the data, such as seasonal markets, new construction, foreclosures, etc.

MARKET RESEARCH & ANALYSIS

Inventory Analysis	Prior 7–12 Months	Prior 4–6 Months	Current – 3 Months	Overall Trend		
Total # of Comparable Sales (Settled)	1	1	1	☐ Increasing	☒ Stable	☐ Declining
Absorption Rate (Total Sales/Months)	0.17	0.33	0.33	☐ Increasing	☒ Stable	☐ Declining
Total # of Comparable Active Listings	n/a	n/a	1	☐ Declining	☐ Stable	☐ Increasing
Months of Housing Supply (Total Listings/Ab.Rate)	n/a	n/a	3.0	☐ Declining	☐ Stable	☐ Increasing

Median Sale & List Price, DOM, Sale/List %	Prior 7–12 Months	Prior 4–6 Months	Current – 3 Months	Overall Trend		
Median Comparable Sale Price	275,000	280,000	286,000	☐ Increasing	☒ Stable	☐ Declining
Median Comparable Sales Days on Market	75	74	129	☐ Declining	☒ Stable	☐ Increasing
Median Comparable List Price	n/a	n/a	279,900	☐ Increasing	☐ Stable	☐ Declining
Median Comparable Listings Days on Market	n/a	n/a	2	☐ Declining	☐ Stable	☐ Increasing
Median Sale Price as % of List Price	96.525	98.246	100	☐ Increasing	☒ Stable	☐ Declining
Seller-(developer, builder, etc.)paid financial assistance prevalent?	☒ Yes	☐ No		☐ Declining	☒ Stable	☐ Increasing

Explain in detail the seller concessions trends for the past 12 months (e.g., seller contributions increased from 3% to 5%, increasing use of buydowns, closing costs, condo fees, options, etc.).

The seller contribution is up to 5% in the subject area and has remained at this level over the past 12 months.

Are foreclosure sales (REO sales) a factor in the market? ☐ Yes ☒ No If yes, explain (including the trends in listings and sales of foreclosed properties).

The subject neighborhood has not been affected by foreclosures.

Cite data sources for above information.

MLS, Tax Cards

Summarize the above information as support for your conclusions in the Neighborhood section of the appraisal report form. If you used any additional information, such as an analysis of pending sales and/or expired and withdrawn listings, to formulate your conclusions, provide both an explanation and support for your conclusions.

Appraiser knowledge and experience in the area is applied when selecting overall trends. The subject neighborhood is stable and in balance. This appraiser's MLS system does not provide a way to track Comparable listing information other than current listings.

CONDO/CO-OP PROJECTS

If the subject is a unit in a condominium or cooperative project , complete the following: **Project Name:**

Subject Project Data	Prior 7–12 Months	Prior 4–6 Months	Current – 3 Months	Overall Trend		
Total # of Comparable Sales (Settled)				☐ Increasing	☐ Stable	☐ Declining
Absorption Rate (Total Sales/Months)				☐ Increasing	☐ Stable	☐ Declining
Total # of Active Comparable Listings				☐ Declining	☐ Stable	☐ Increasing
Months of Unit Supply (Total Listings/Ab.Rate)				☐ Declining	☐ Stable	☐ Increasing

Are foreclosure sales (REO sales) a factor in the project? ☐ Yes ☐ No If yes, indicate the number of REO listings and explain the trends in listings and sales of foreclosed properties.

Summarize the above trends and address the impact on the subject unit and project.

APPRAISER

Signature		Signature	
Appraiser Name	Craig Bardes	Supervisory Appraiser Name	
Company Name	Henderson Appraisal Services	Company Name	
Company Address	304 Janet Street, Suite E, Valdosta, GA 31602	Company Address	
State License/Certification #	CR348700 State GA	State License/Certification #	State
Email Address	craigbardes@att.net	Email Address	

Form 1004MC2 - "TOTAL" appraisal software by a la mode, inc. - 1-800-ALAMODE

USPAP ADDENDUM

File No. 2026722

Borrower	Hung La						
Property Address	96 Baell Trace Ct SE						
City	Moultrie	County	Colquitt	State	GA	Zip Code	31788
Lender	Clear2Mortgage, Inc.						

This report was prepared under the following USPAP reporting option:

☒ Appraisal Report — This report was prepared in accordance with USPAP Standards Rule 2-2(a).

☐ Restricted Appraisal Report — This report was prepared in accordance with USPAP Standards Rule 2-2(b).

Reasonable Exposure Time

My opinion of a reasonable exposure time for the subject property at the market value stated in this report is: 120 Days

Additional Certifications

I certify that, to the best of my knowledge and belief:

☒ I have NOT performed services, as an appraiser or in any other capacity, regarding the property that is the subject of this report within the three-year period immediately preceding acceptance of this assignment.

☐ I HAVE performed services, as an appraiser or in another capacity, regarding the property that is the subject of this report within the three-year period immediately preceding acceptance of this assignment. Those services are described in the comments below.

- The statements of fact contained in this report are true and correct.
- The reported analyses, opinions, and conclusions are limited only by the reported assumptions and limiting conditions and are my personal, impartial, and unbiased professional analyses, opinions, and conclusions.
- Unless otherwise indicated, I have no present or prospective interest in the property that is the subject of this report and no personal interest with respect to the parties involved.
- I have no bias with respect to the property that is the subject of this report or the parties involved with this assignment.
- My engagement in this assignment was not contingent upon developing or reporting predetermined results.
- My compensation for completing this assignment is not contingent upon the development or reporting of a predetermined value or direction in value that favors the cause of the client, the amount of the value opinion, the attainment of a stipulated result, or the occurrence of a subsequent event directly related to the intended use of this appraisal.
- My analyses, opinions, and conclusions were developed, and this report has been prepared, in conformity with the Uniform Standards of Professional Appraisal Practice that were in effect at the time this report was prepared.
- Unless otherwise indicated, I have made a personal inspection of the property that is the subject of this report.
- Unless otherwise indicated, no one provided significant real property appraisal assistance to the person(s) signing this certification (if there are exceptions, the name of each individual providing significant real property appraisal assistance is stated elsewhere in this report).

Additional Comments

APPRAISER:

Signature:

Name: Craig Bardes

Date Signed: 04/20/2026

State Certification #: CR348700

or State License #:

State: GA

Expiration Date of Certification or License: 01/31/2027

Effective Date of Appraisal: 04/17/2026

SUPERVISORY APPRAISER: (only if required)

Signature:

Name:

Date Signed:

State Certification #:

or State License #:

State:

Expiration Date of Certification or License:

Supervisory Appraiser Inspection of Subject Property:

☐ Did Not ☐ Exterior-only from Street ☐ Interior and Exterior

Supplemental Addendum

File No. 2026722

Borrower	Hung La						
Property Address	96 Baell Trace Ct SE						
City	Moultrie	County	Colquitt	State	GA	Zip Code	31788
Lender/Client	Clear2Mortgage, Inc.						

The intended user of this appraisal report is the Lender/Client. The intended use is to evaluate the property that is the subject of this appraisal for a mortgage finance transaction, subject to the stated scope of work, purpose of the appraisal, reporting requirements of this appraisal report form, and definition of market value. No additional intended users are indenified by the appraiser.

Appraiser Fee: $500

I certify, as the appraiser, that I have completed all aspects of this valuation, including reconciling my opinion of value, free of influence from the client, client's representatives, borrower, or any other party to the transaction.

My analyses, opinions, and conclusions were developed, and this report has been prepared, in conformity with Georgia Real Estate Appraiser Classification and Regulation Act and the Rules and Regulations of the Georgia Real Estate Appraisers Board. (Real Estate Appraiser Classification and Regulation Act paragraph 539-3.02 (1) as amended August 1, 2006)

The appraisal was prepared in accordance with the requirements of the Uniform Standards of Professional Appraisal Practice.

The appraisal was prepared in accordance with the requirements of Title XI of the Financial Institutions Reform, Recovery and Enforcement Act of 1989, as amended (12 U.S.C 331 et seq.) and any implementing regulations.

I have no current or prospective interest in the subject property or the parties involved; and no services were performed by the appraiser within the 3 year period immediately preceding acceptance of this assignment, as an appraiser or in any capacity.

Exposure Time is the estimated length of time the property interest being appraised would have been offered on the market prior to the hypothetical consumption of a sale at market value on the effective date of the appraisal; a retrospective opinion based on an analysis of past events assuming a competitive and open market.
The exposure time for the subject property to sale at the appraised value is 120 days.

The subject was measured per ANSI standards.

UNIFORM APPRAISAL DATASET (UAD) DEFINITIONS ADDENDUM

(Source: Fannie Mae UAD Appendix D: UAD Field-Specific Standardization Requirements)

Condition Ratings and Definitions

C1

The improvements have been very recently constructed and have not previously been occupied. The entire structure and all components are new and the dwelling features no physical depreciation.*

*Note: Newly constructed improvements that feature recycled materials and/or components can be considered new dwellings provided that the dwelling is placed on a 100% new foundation and the recycled materials and the recycled components have been rehabilitated/re-manufactured into like-new condition. Recently constructed improvements that have not been previously occupied are not considered “new” if they have any significant physical depreciation (i.e., newly constructed dwellings that have been vacant for an extended period of time without adequate maintenance or upkeep).

C2

The improvements feature no deferred maintenance, little or no physical depreciation, and require no repairs. Virtually all building components are new or have been recently repaired, refinished, or rehabilitated. All outdated components and finishes have been updated and/or replaced with components that meet current standards. Dwellings in this category either are almost new or have been recently completely renovated and are similar in condition to new construction.

C3

The improvements are well maintained and feature limited physical depreciation due to normal wear and tear. Some components, but not every major building component, may be updated or recently rehabilitated. The structure has been well maintained.

C4

The improvements feature some minor deferred maintenance and physical deterioration due to normal wear and tear. The dwelling has been adequately maintained and requires only minimal repairs to building components/mechanical systems and cosmetic repairs. All major building components have been adequately maintained and are functionally adequate.

C5

The improvements feature obvious deferred maintenance and are in need of some significant repairs. Some building components need repairs, rehabilitation, or updating. The functional utility and overall livability is somewhat diminished due to condition, but the dwelling remains useable and functional as a residence.

C6

The improvements have substantial damage or deferred maintenance with deficiencies or defects that are severe enough to affect the safety, soundness, or structural integrity of the improvements. The improvements are in need of substantial repairs and rehabilitation, including many or most major components.

Quality Ratings and Definitions

Q1

Dwellings with this quality rating are usually unique structures that are individually designed by an architect for a specified user. Such residences typically are constructed from detailed architectural plans and specifications and feature an exceptionally high level of workmanship and exceptionally high-grade materials throughout the interior and exterior of the structure. The design features exceptionally high-quality exterior refinements and ornamentation, and exceptionally high-quality interior refinements. The workmanship, materials, and finishes throughout the dwelling are of exceptionally high quality.

Q2

Dwellings with this quality rating are often custom designed for construction on an individual property owner’s site. However, dwellings in this quality grade are also found in high-quality tract developments featuring residence constructed from individual plans or from highly modified or upgraded plans. The design features detailed, high quality exterior ornamentation, high-quality interior refinements, and detail. The workmanship, materials, and finishes throughout the dwelling are generally of high or very high quality.

Q3

Dwellings with this quality rating are residences of higher quality built from individual or readily available designer plans in above-standard residential tract developments or on an individual property owner’s site. The design includes significant exterior ornamentation and interiors that are well finished. The workmanship exceeds acceptable standards and many materials and finishes throughout the dwelling have been upgraded from “stock” standards.

Q4

Dwellings with this quality rating meet or exceed the requirements of applicable building codes. Standard or modified standard building plans are utilized and the design includes adequate fenestration and some exterior ornamentation and interior refinements. Materials, workmanship, finish, and equipment are of stock or builder grade and may feature some upgrades.

Form UADDEFINE - "TOTAL" appraisal software by a la mode, inc. - 1-800-ALAMODE

UNIFORM APPRAISAL DATASET (UAD) DEFINITIONS ADDENDUM

(Source: Fannie Mae UAD Appendix D: UAD Field-Specific Standardization Requirements)

Quality Ratings and Definitions (continued)

Q5

Dwellings with this quality rating feature economy of construction and basic functionality as main considerations. Such dwellings feature a plain design using readily available or basic floor plans featuring minimal fenestration and basic finishes with minimal exterior ornamentation and limited interior detail. These dwellings meet minimum building codes and are constructed with inexpensive, stock materials with limited refinements and upgrades.

Q6

Dwellings with this quality rating are of basic quality and lower cost; some may not be suitable for year-round occupancy. Such dwellings are often built with simple plans or without plans, often utilizing the lowest quality building materials. Such dwellings are often built or expanded by persons who are professionally unskilled or possess only minimal construction skills. Electrical, plumbing, and other mechanical systems and equipment may be minimal or non-existent. Older dwellings may feature one or more substandard or non-conforming additions to the original structure

Definitions of Not Updated, Updated, and Remodeled

Not Updated

Little or no updating or modernization. This description includes, but is not limited to, new homes.

Residential properties of fifteen years of age or less often reflect an original condition with no updating, if no major components have been replaced or updated. Those over fifteen years of age are also considered not updated if the appliances, fixtures, and finishes are predominantly dated. An area that is 'Not Updated' may still be well maintained and fully functional, and this rating does not necessarily imply deferred maintenance or physical/functional deterioration.

Updated

The area of the home has been modified to meet current market expectations. These modifications are limited in terms of both scope and cost.

An updated area of the home should have an improved look and feel, or functional utility. Changes that constitute updates include refurbishment and/or replacing components to meet existing market expectations. Updates do not include significant alterations to the existing structure.

Remodeled

Significant finish and/or structural changes have been made that increase utility and appeal through complete replacement and/or expansion.

A remodeled area reflects fundamental changes that include multiple alterations. These alterations may include some or all of the following: replacement of a major component (cabinet(s), bathtub, or bathroom tile), relocation of plumbing/gas fixtures/appliances, significant structural alterations (relocating walls, and/or the addition of) square footage). This would include a complete gutting and rebuild.

Explanation of Bathroom Count

Three-quarter baths are counted as a full bath in all cases. Quarter baths (baths that feature only a toilet) are not included in the bathroom count. The number of full and half baths is reported by separating the two values using a period, where the full bath count is represented to the left of the period and the half bath count is represented to the right of the period.

Example:
3.2 indicates three full baths and two half baths.

Form UADDEFINE - "TOTAL" appraisal software by a la mode, inc. - 1-800-ALAMODE

UNIFORM APPRAISAL DATASET (UAD) DEFINITIONS ADDENDUM

(Source: Fannie Mae UAD Appendix D: UAD Field-Specific Standardization Requirements)

Abbreviations Used in Data Standardization Text

Abbreviation	Full Name	Fields Where This Abbreviation May Appear
ac	Acres	Area, Site
AdjPrk	Adjacent to Park	Location
AdjPwr	Adjacent to Power Lines	Location
A	Adverse	Location & View
ArmLth	Arms Length Sale	Sale or Financing Concessions
ba	Bathroom(s)	Basement & Finished Rooms Below Grade
br	Bedroom	Basement & Finished Rooms Below Grade
B	Beneficial	Location & View
Cash	Cash	Sale or Financing Concessions
CtySky	City View Skyline View	View
CtyStr	City Street View	View
Comm	Commercial Influence	Location
c	Contracted Date	Date of Sale/Time
Conv	Conventional	Sale or Financing Concessions
CrtOrd	Court Ordered Sale	Sale or Financing Concessions
DOM	Days On Market	Data Sources
e	Expiration Date	Date of Sale/Time
Estate	Estate Sale	Sale or Financing Concessions
FHA	Federal Housing Authority	Sale or Financing Concessions
GlfCse	Golf Course	Location
Glfvw	Golf Course View	View
Ind	Industrial	Location & View
in	Interior Only Stairs	Basement & Finished Rooms Below Grade
Lndfl	Landfill	Location
LtdSght	Limited Sight	View
Listing	Listing	Sale or Financing Concessions
Mtn	Mountain View	View
N	Neutral	Location & View
NonArm	Non-Arms Length Sale	Sale or Financing Concessions
BsyRd	Busy Road	Location
o	Other	Basement & Finished Rooms Below Grade
Prk	Park View	View
Pstrl	Pastoral View	View
PwrLn	Power Lines	View
PubTrn	Public Transportation	Location
rr	Recreational (Rec) Room	Basement & Finished Rooms Below Grade
Relo	Relocation Sale	Sale or Financing Concessions
REO	REO Sale	Sale or Financing Concessions
Res	Residential	Location & View
RH	USDA - Rural Housing	Sale or Financing Concessions
s	Settlement Date	Date of Sale/Time
Short	Short Sale	Sale or Financing Concessions
sf	Square Feet	Area, Site, Basement
sqm	Square Meters	Area, Site
Unk	Unknown	Date of Sale/Time
VA	Veterans Administration	Sale or Financing Concessions
w	Withdrawn Date	Date of Sale/Time
wo	Walk Out Basement	Basement & Finished Rooms Below Grade
wu	Walk Up Basement	Basement & Finished Rooms Below Grade
WtrFr	Water Frontage	Location
Wtr	Water View	View
Woods	Woods View	View

Other Appraiser-Defined Abbreviations

Abbreviation	Full Name	Fields Where This Abbreviation May Appear

Form UADDEFINE - "TOTAL" appraisal software by a la mode, inc. - 1-800-ALAMODE

Subject Photo Page

Borrower	Hung La						
Property Address	96 Baell Trace Ct SE						
City	Moultrie	County	Colquitt	State	GA	Zip Code	31788
Lender/Client	Clear2Mortgage, Inc.						

Subject Front

96 Baell Trace Ct SE

Sales Price	263,000
Gross Living Area	1,513
Total Rooms	6
Total Bedrooms	3
Total Bathrooms	2.0
Location	N;Res;
View	N;Res;
Site	7841 sf
Quality	Q3
Age	1

Subject Rear



Subject Street

Subject Photo Page

Borrower	Hung La						
Property Address	96 Baell Trace Ct SE						
City	Moultrie	County	Colquitt	State	GA	Zip Code	31788
Lender/Client	Clear2Mortgage, Inc.						

Subject Side

96 Baell Trace Ct SE

Sales Price	263,000
Gross Living Area	1,513
Total Rooms	6
Total Bedrooms	3
Total Bathrooms	2.0
Location	N;Res;
View	N;Res;
Site	7841 sf
Quality	Q3
Age	1

Subject Side



Subject Street

Subject Photo Page

Borrower	Hung La						
Property Address	96 Baell Trace Ct SE						
City	Moultrie	County	Colquitt	State	GA	Zip Code	31788
Lender/Client	Clear2Mortgage, Inc.						

Subject Living Room

96 Baell Trace Ct SE

Sales Price	263,000
Gross Living Area	1,513
Total Rooms	6
Total Bedrooms	3
Total Bathrooms	2.0
Location	N;Res;
View	N;Res;
Site	7841 sf
Quality	Q3
Age	1

Subject Kitchen



Subject Bath

Subject Photo Page

Borrower	Hung La						
Property Address	96 Baell Trace Ct SE						
City	Moultrie	County	Colquitt	State	GA	Zip Code	31788
Lender/Client	Clear2Mortgage, Inc.						

Subject Bath

96 Baell Trace Ct SE

Sales Price	263,000
Gross Living Area	1,513
Total Rooms	6
Total Bedrooms	3
Total Bathrooms	2.0
Location	N;Res;
View	N;Res;
Site	7841 sf
Quality	Q3
Age	1

Subject Bedroom



Subject Bedroom

Subject Photo Page

Borrower	Hung La						
Property Address	96 Baell Trace Ct SE						
City	Moultrie	County	Colquitt	State	GA	Zip Code	31788
Lender/Client	Clear2Mortgage, Inc.						

Subject Bedroom

96 Baell Trace Ct SE

Sales Price	263,000
Gross Living Area	1,513
Total Rooms	6
Total Bedrooms	3
Total Bathrooms	2.0
Location	N;Res;
View	N;Res;
Site	7841 sf
Quality	Q3
Age	1



Subject Dining



Subject Laundry

Building Sketch

Borrower	Hung La						
Property Address	96 Baell Trace Ct SE						
City	Moultrie	County	Colquitt	State	GA	Zip Code	31788
Lender/Client	Clear2Mortgage, Inc.						

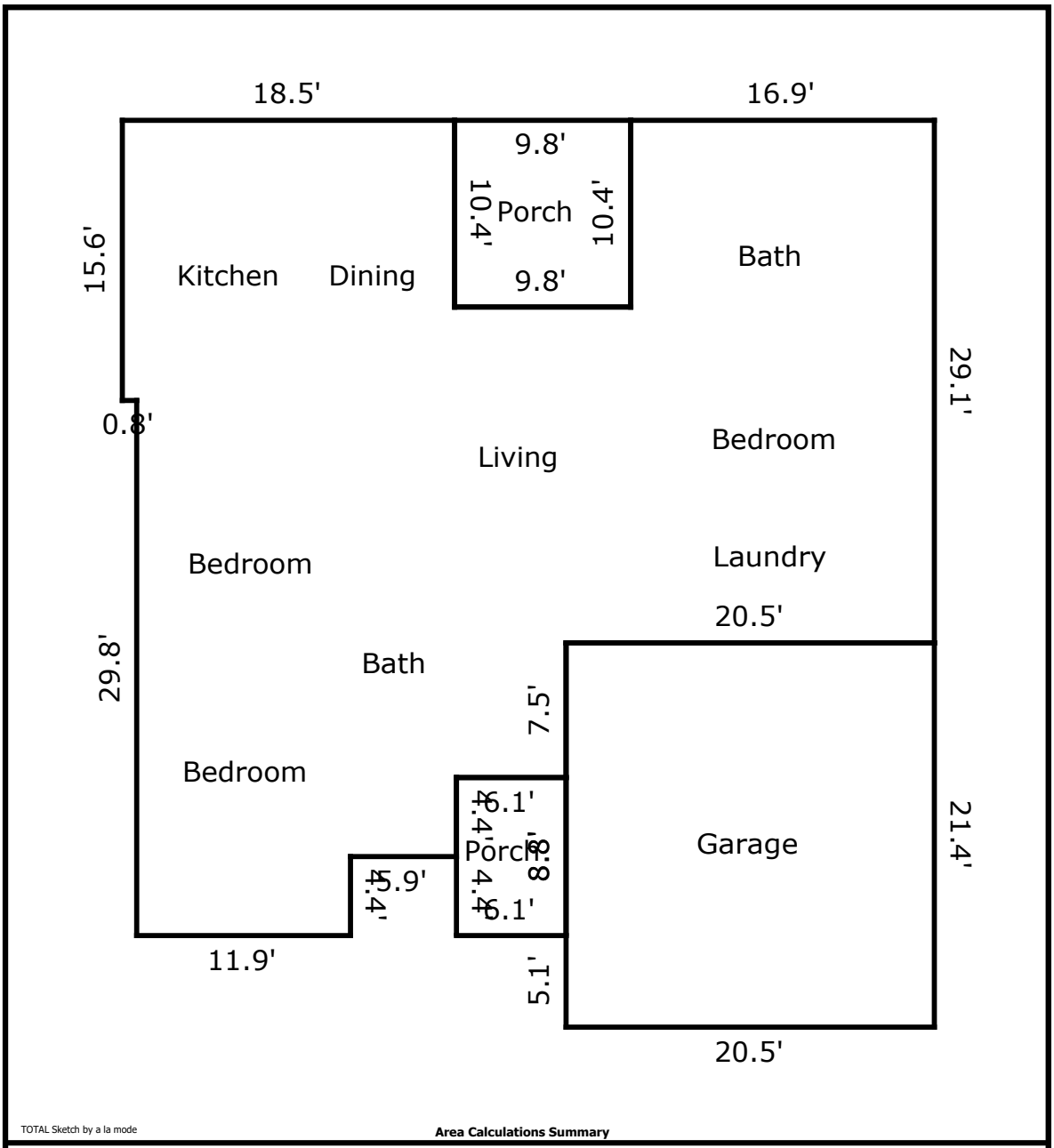

Area Calculations Summary

Living Area		Calculation Details
First Floor	1512.5 Sq ft	29.1 × 16.9 = 491.8
		18.5 × 10.4 = 192.4
		11.9 × 4.4 = 52.4
		17.8 × 4.4 = 78.3
		23.9 × 7.5 = 179.2
		18.7 × 27.5 = 514.2
		5.2 × 0.8 = 4.2
Total Living Area (Rounded):	**1513 Sq ft**	
Non-living Area		
Open Porch	53.7 Sq ft	6.1 × 8.8 = 53.7
2 Car Attached	438.7 Sq ft	20.5 × 21.4 = 438.7
Open Porch	101.9 Sq ft	10.4 × 9.8 = 101.9

Comparable Photo Page

Borrower	Hung La						
Property Address	96 Baell Trace Ct SE						
City	Moultrie	County	Colquitt	State	GA	Zip Code	31788
Lender/Client	Clear2Mortgage, Inc.						

Comparable 1

210 Baell Trace Ct SE

Prox. to Subject	0.10 miles E
Sale Price	280,000
Gross Living Area	1,566
Total Rooms	6
Total Bedrooms	3
Total Bathrooms	2.0
Location	N;Res;
View	N;Res;
Site	8464 sf
Quality	Q3
Age	1

Comparable 2

108 Baell Trace Ct SE

Prox. to Subject	0.02 miles E
Sale Price	275,000
Gross Living Area	1,453
Total Rooms	6
Total Bedrooms	3
Total Bathrooms	2.0
Location	N;Res;
View	N;Res;
Site	7841 sf
Quality	Q3
Age	1

Comparable 3

213 Baell Trace Ct SE

Prox. to Subject	0.13 miles W
Sale Price	286,000
Gross Living Area	1,497
Total Rooms	6
Total Bedrooms	3
Total Bathrooms	2.0
Location	N;Res;
View	N;Res;
Site	6098 sf
Quality	Q3
Age	1

Comparable Photo Page

Borrower	Hung La						
Property Address	96 Baell Trace Ct SE						
City	Moultrie	County	Colquitt	State	GA	Zip Code	31788
Lender/Client	Clear2Mortgage, Inc.						

Comparable 4

207 Baell Trace Ct SE

Prox. to Subject	0.13 miles W
Sales Price	279,900
Gross Living Area	1,356
Total Rooms	6
Total Bedrooms	3
Total Bathrooms	2.0
Location	N;Res;
View	N;Res;
Site	6970 sf
Quality	Q3
Age	1

Comparable 5

Prox. to Subject	
Sales Price	
Gross Living Area	
Total Rooms	
Total Bedrooms	
Total Bathrooms	
Location	
View	
Site	
Quality	
Age	

Comparable 6

Prox. to Subject	
Sales Price	
Gross Living Area	
Total Rooms	
Total Bedrooms	
Total Bathrooms	
Location	
View	
Site	
Quality	
Age	

Location Map

Borrower	Hung La						
Property Address	96 Baell Trace Ct SE						
City	Moultrie	County	Colquitt	State	GA	Zip Code	31788
Lender/Client	Clear2Mortgage, Inc.						

Aerial Map

Borrower	Hung La						
Property Address	96 Baell Trace Ct SE						
City	Moultrie	County	Colquitt	State	GA	Zip Code	31788
Lender/Client	Clear2Mortgage, Inc.						

Craig Certification

Borrower	Hung La						
Property Address	96 Baell Trace Ct SE						
City	Moultrie	County	Colquitt	State	GA	Zip Code	31788
Lender/Client	Clear2Mortgage, Inc.						

STATE OF GEORGIA
REAL ESTATE APPRAISERS BOARD

CRAIG M BARDES

348700

IS AUTHORIZED TO TRANSACT BUSINESS IN GEORGIA AS A
CERTIFIED RESIDENTIAL REAL PROPERTY APPRAISER

THE PRIVILEGE AND RESPONSIBILITIES OF THIS APPRAISER CLASSIFICATION SHALL CONTINUE IN EFFECT AS LONG AS THE APPRAISER PAYS REQUIRED APPRAISER FEES AND COMPLIES WITH ALL OTHER REQUIREMENTS OF THE OFFICIAL CODE OF GEORGIA ANNOTATED, CHAPTER 43-39-A. THE APPRAISER IS SOLELY RESPONSIBLE FOR THE PAYMENT OF ALL FEES ON A TIMELY BASIS.

D. SCOTT MURPHY
Chairperson

Vice Chairperson

MARLON L. DAY
WILLIAM A. MURRAY
JOHN P. SMITHMYER
KEITH STONE

1335440413505033

BARDES, CRAIG M
3727 STUDSTILL RD
VALDOSTA, GA 31605

CRAIG M BARDES

**348700**
Status **ACTIVE**

END OF RENEWAL
01/31/2027

CERTIFIED RESIDENTIAL REAL PROPERTY APPRAISER

THIS LICENSE EXPIRES IF YOU FAIL TO PAY RENEWAL FEES OR IF YOU FAIL TO COMPLETE ANY REQUIRED EDUCATION IN A TIMELY MANNER.

State of Georgia
Real Estate Commission
Suite 1000 - International Tower
229 Peachtree Street, N.E.
Atlanta, GA 30303-1605

LYNN DEMPSEY
Real Estate Commissioner

1335440413505033

CRAIG M BARDES

**348700**
Status **ACTIVE**

END OF RENEWAL
01/31/2027

CERTIFIED RESIDENTIAL REAL PROPERTY APPRAISER

THIS LICENSE EXPIRES IF YOU FAIL TO PAY RENEWAL FEES OR IF YOU FAIL TO COMPLETE ANY REQUIRED EDUCATION IN A TIMELY MANNER.

State of Georgia
Real Estate Commission
Suite 1000 - International Tower
229 Peachtree Street, N.E.
Atlanta, GA 30303-1605

LYNN DEMPSEY
Real Estate Commissioner

1335440413505033

Report Version 5

Generated on 1/7/2026 at 10:51:08 AM

E & O Insurance

Borrower	Hung La						
Property Address	96 Baell Trace Ct SE						
City	Moultrie	County	Colquitt	State	GA	Zip Code	31788
Lender/Client	Clear2Mortgage, Inc.						

ACORD®

CERTIFICATE OF LIABILITY INSURANCE

DATE (MM/DD/YYYY) 02/24/2026

THIS CERTIFICATE IS ISSUED AS A MATTER OF INFORMATION ONLY AND CONFERS NO RIGHTS UPON THE CERTIFICATE HOLDER. THIS CERTIFICATE DOES NOT AFFIRMATIVELY OR NEGATIVELY AMEND, EXTEND OR ALTER THE COVERAGE AFFORDED BY THE POLICIES BELOW. THIS CERTIFICATE OF INSURANCE DOES NOT CONSTITUTE A CONTRACT BETWEEN THE ISSUING INSURER(S), AUTHORIZED REPRESENTATIVE OR PRODUCER, AND THE CERTIFICATE HOLDER.

IMPORTANT: If the certificate holder is an ADDITIONAL INSURED, the policy(ies) must have ADDITIONAL INSURED provisions or be endorsed. If SUBROGATION IS WAIVED, subject to the terms and conditions of the policy, certain policies may require an endorsement. A statement on this certificate does not confer rights to the certificate holder in lieu of such endorsement(s).

PRODUCER
BIBERK
P.O. Box 113247
Stamford, CT 06911

CONTACT NAME:
PHONE (A/C, No, Ext): 844-472-0967 FAX (A/C, No): 203-654-3613
E-MAIL ADDRESS: customerservice@biBERK.com

INSURER(S) AFFORDING COVERAGE	NAIC #
INSURER A : National Liability & Fire Insurance Company	20052
INSURER B :	
INSURER C :	
INSURER D :	
INSURER E :	
INSURER F :	

INSURED
Craig Bardes

3727 Studstill Rd
Valdosta, GA 31605

COVERAGES CERTIFICATE NUMBER: REVISION NUMBER:

THIS IS TO CERTIFY THAT THE POLICIES OF INSURANCE LISTED BELOW HAVE BEEN ISSUED TO THE INSURED NAMED ABOVE FOR THE POLICY PERIOD INDICATED. NOTWITHSTANDING ANY REQUIREMENT, TERM OR CONDITION OF ANY CONTRACT OR OTHER DOCUMENT WITH RESPECT TO WHICH THIS CERTIFICATE MAY BE ISSUED OR MAY PERTAIN, THE INSURANCE AFFORDED BY THE POLICIES DESCRIBED HEREIN IS SUBJECT TO ALL THE TERMS, EXCLUSIONS AND CONDITIONS OF SUCH POLICIES. LIMITS SHOWN MAY HAVE BEEN REDUCED BY PAID CLAIMS.

INSR LTR	TYPE OF INSURANCE	ADDL INSD	SUBR WVD	POLICY NUMBER	POLICY EFF (MM/DD/YYYY)	POLICY EXP (MM/DD/YYYY)	LIMITS	
	COMMERCIAL GENERAL LIABILITY CLAIMS-MADE OCCUR GEN'L AGGREGATE LIMIT APPLIES PER: POLICY PRO-JECT LOC OTHER:						EACH OCCURRENCE	$
							DAMAGE TO RENTED PREMISES (Ea occurrence)	$
							MED EXP (Any one person)	$
							PERSONAL & ADV INJURY	$
							GENERAL AGGREGATE	$
							PRODUCTS - COMP/OP AGG	$
								$
	AUTOMOBILE LIABILITY ANY AUTO OWNED AUTOS ONLY HIRED AUTOS ONLY SCHEDULED AUTOS NON-OWNED AUTOS ONLY						COMBINED SINGLE LIMIT (Ea accident)	$
							BODILY INJURY (Per person)	$
							BODILY INJURY (Per accident)	$
							PROPERTY DAMAGE (Per accident)	$
								$
	UMBRELLA LIAB OCCUR EXCESS LIAB CLAIMS-MADE DED RETENTION $						EACH OCCURRENCE	$
							AGGREGATE	$
								$
	WORKERS COMPENSATION AND EMPLOYERS' LIABILITY ANYPROPRIETOR/PARTNER/EXECUTIVE OFFICER/MEMBER EXCLUDED? Y / N (Mandatory in NH) If yes, describe under DESCRIPTION OF OPERATIONS below	N / A					PER STATUTE OTH-ER	
							E.L. EACH ACCIDENT	$
							E.L. DISEASE - EA EMPLOYEE	$
							E.L. DISEASE - POLICY LIMIT	$
A	Professional Liability (Errors & Omissions): Claims-Made			N9PL168112	03/07/2026	03/07/2027	Per Occurrence/ Aggregate	$1,000,000/ $1,000,000

DESCRIPTION OF OPERATIONS / LOCATIONS / VEHICLES (ACORD 101, Additional Remarks Schedule, may be attached if more space is required)

CERTIFICATE HOLDER

Craig Bardes
3727 Studstill Rd
Valdosta, GA 31605

CANCELLATION

SHOULD ANY OF THE ABOVE DESCRIBED POLICIES BE CANCELLED BEFORE THE EXPIRATION DATE THEREOF, NOTICE WILL BE DELIVERED IN ACCORDANCE WITH THE POLICY PROVISIONS.

AUTHORIZED REPRESENTATIVE Rakesh Gupta

© 1988-2015 ACORD CORPORATION. All rights reserved.

ACORD 25 (2016/03) The ACORD name and logo are registered marks of ACORD