APPRAISAL OF REAL PROPERTY

LOCATED AT

8234 E Pearson
Shelby Township, MI 48316
L 5 WATSON SUBDIVISION LOT 5. LIBER 35 PAGE 20

FOR

The Loan Store, Inc.
6340 N. Campbell Ave., Ste. 100
Tucson, AZ 85718

OPINION OF VALUE

403,000

AS OF

04/19/2026

BY

Sarah Gunter
MARRCH Valuations, LLC
6304 Orchard Lake Rd
West Bloomfield, MI 48322
(586)557-0465
sgunterappraisals@gmail.com

Sarah Gunter
Serial# 0BF66656
esign.alamode.com/verify

Uniform Residential Appraisal Report

File # 800170342 ESMI-0044375

The purpose of this summary appraisal report is to provide the lender/client with an accurate, and adequately supported, opinion of the market value of the subject property.

SUBJECT

Property Address 8234 E Pearson | City Shelby Township | State MI | Zip Code 48316
Borrower Robert Roncelli | Owner of Public Record Nicholas & Brekelle DiTomaso | County Macomb
Legal Description L 5 WATSON SUBDIVISION LOT 5. LIBER 35 PAGE 20
Assessor's Parcel # 23-07-03-151-007 | Tax Year 2025 | R.E. Taxes $ 5,059
Neighborhood Name Watson Subdivision | Map Reference 47664 | Census Tract 2251.00
Occupant [X] Owner [ ] Tenant [ ] Vacant | Special Assessments $ 0 | [ ] PUD | HOA $ 0 [ ] per year [ ] per month
Property Rights Appraised [X] Fee Simple [ ] Leasehold [ ] Other (describe)
Assignment Type [X] Purchase Transaction [ ] Refinance Transaction [ ] Other (describe)
Lender/Client The Loan Store, Inc. | Address 6340 N. Campbell Ave., Ste. 100, Tucson, AZ 85718
Is the subject property currently offered for sale or has it been offered for sale in the twelve months prior to the effective date of this appraisal? [X] Yes [ ] No
Report data source(s) used, offering price(s), and date(s). DOM 3;The subject was listed for sale on 03/26/2026 for $399,999 per MLS# 20261019608

CONTRACT

I [X] did [ ] did not analyze the contract for sale for the subject purchase transaction. Explain the results of the analysis of the contract for sale or why the analysis was not performed. Arms length sale; I have analyzed the contract for sale and the contract price appears to be the agreed upon price for the real estate only without any other valuable considerations or conditions.
Contract Price $ 411,000 | Date of Contract 03/29/2026 | Is the property seller the owner of public record? [X] Yes [ ] No | Data Source(s) Assessor Records
Is there any financial assistance (loan charges, sale concessions, gift or downpayment assistance, etc.) to be paid by any party on behalf of the borrower? [ ] Yes [X] No
If Yes, report the total dollar amount and describe the items to be paid. $0;;

NEIGHBORHOOD

Note: Race and the racial composition of the neighborhood are not appraisal factors.

Neighborhood Characteristics			One-Unit Housing Trends			One-Unit Housing			Present Land Use %	
Location	[ ] Urban	[X] Suburban [ ] Rural	Property Values	[ ] Increasing	[X] Stable [ ] Declining	PRICE		AGE	One-Unit	80 %
Built-Up	[X] Over 75%	[ ] 25-75% [ ] Under 25%	Demand/Supply	[ ] Shortage	[X] In Balance [ ] Over Supply	$ (000)		(yrs)	2-4 Unit	1 %
Growth	[ ] Rapid	[X] Stable [ ] Slow	Marketing Time	[X] Under 3 mths	[ ] 3-6 mths [ ] Over 6 mths	215	Low	1	Multi-Family	1 %
Neighborhood Boundaries	The subject is located north of 25 Mile Road, east of Van Dyke Ave , south of 26 Mile Road, and west of Van Dyke Fwy.					1,750	High	76	Commercial	14 %
						400	Pred.	40	Other	4 %

Neighborhood Description See attached addendum. The "other" present land use refers to vacant land. The subject is located in a neighborhood with a variety of home styles, sizes, ages, quality, and condition.

Market Conditions (including support for the above conclusions) See addendum

SITE

Dimensions 80x211 | Area 16880 sf | Shape Rectangular | View N;Res;
Specific Zoning Classification R-1-B | Zoning Description Single Family Residential
Zoning Compliance [X] Legal [ ] Legal Nonconforming (Grandfathered Use) [ ] No Zoning [ ] Illegal (describe)
Is the highest and best use of subject property as improved (or as proposed per plans and specifications) the present use? [X] Yes [ ] No If No, describe See attached addenda.

Utilities	Public	Other (describe)		Public	Other (describe)	Off-site Improvements – Type		Public	Private
Electricity	[X]	[ ]	Water	[X]	[ ]	Street	Paved	[X]	[ ]
Gas	[X]	[ ]	Sanitary Sewer	[ ]	[X] Septic	Alley	None	[ ]	[ ]

FEMA Special Flood Hazard Area [ ] Yes [X] No | FEMA Flood Zone X | FEMA Map # 26099C0208H | FEMA Map Date 11/20/2013
Are the utilities and off-site improvements typical for the market area? [X] Yes [ ] No If No, describe
Are there any adverse site conditions or external factors (easements, encroachments, environmental conditions, land uses, etc.)? [ ] Yes [X] No If Yes, describe
Site is typical, no adverse site conditions noted.

IMPROVEMENTS

General Description		Foundation		Exterior Description	materials/condition	Interior	materials/condition
Units	[X] One [ ] One with Accessory Unit	[ ] Concrete Slab	[ ] Crawl Space	Foundation Walls	Concrete/Avg	Floors	Crpt/Tile/LVP/Good
# of Stories	1	[X] Full Basement	[ ] Partial Basement	Exterior Walls	Brick/Avg	Walls	Drywall/Avg
Type	[X] Det. [ ] Att. [ ] S-Det./End Unit	Basement Area	1,501 sq.ft.	Roof Surface	AspShg/Avg	Trim/Finish	Wood/Paint/Avg
[X] Existing	[ ] Proposed [ ] Under Const.	Basement Finish	0 %	Gutters & Downspouts	Aluminum/Avg	Bath Floor	Tile/Good
Design (Style)	Ranch	[ ] Outside Entry/Exit	[X] Sump Pump	Window Type	Vinyl/Sld/Avg	Bath Wainscot	Tile/Avg
Year Built	1988	Evidence of [ ] Infestation	NoneNoted	Storm Sash/Insulated	Yes/Avg	Car Storage	[ ] None
Effective Age (Yrs)	19	[ ] Dampness	[ ] Settlement	Screens	Yes/Avg	[X] Driveway	# of Cars 2
Attic	[ ] None	Heating [X] FWA	[ ] HWBB [ ] Radiant	Amenities	[ ] Woodstove(s) # 0	Driveway Surface	Paved
[ ] Drop Stair	[ ] Stairs	[ ] Other	Fuel Gas	[X] Fireplace(s) # 1	[ ] Fence None	[X] Garage	# of Cars 2
[ ] Floor	[X] Scuttle	Cooling [X] Central Air Conditioning		[X] Patio/Deck Deck	[X] Porch Entry	[ ] Carport	# of Cars 0
[ ] Finished	[ ] Heated	[ ] Individual	[ ] Other	[ ] Pool None	[ ] Other None	[X] Att.	[ ] Det. [ ] Built-in

Appliances [X] Refrigerator [X] Range/Oven [X] Dishwasher [X] Disposal [ ] Microwave [X] Washer/Dryer [ ] Other (describe)
Finished area **above** grade contains: 5 Rooms 3 Bedrooms 2.0 Bath(s) 1,510 Square Feet of Gross Living Area Above Grade
Additional features (special energy efficient items, etc.). No value is given to personal property.
Describe the condition of the property (including needed repairs, deterioration, renovations, remodeling, etc.). C3;Kitchen-not updated;Bathrooms-updated-timeframe unknown;The subject appears to be in good condition overall.
Are there any physical deficiencies or adverse conditions that affect the livability, soundness, or structural integrity of the property? [ ] Yes [X] No If Yes, describe
This appraisal was performed to estimate the market value of this property but does not guarantee the home is free of defects. A property inspection is always recommended.
Does the property generally conform to the neighborhood (functional utility, style, condition, use, construction, etc.)? [X] Yes [ ] No If No, describe

Form 1004UAD - "TOTAL" appraisal software by a la mode, inc. - 1-800-ALAMODE
Serial# 0BF66656
esign.alamode.com/verify

Uniform Residential Appraisal Report

800170342
File # ESMI-0044375

There are 6 comparable properties currently offered for sale in the subject neighborhood ranging in price from $ 315,000 to $ 400,000 .

There are 20 comparable sales in the subject neighborhood within the past twelve months ranging in sale price from $ 310,000 to $ 455,000 .

SALES COMPARISON APPROACH

FEATURE	SUBJECT	COMPARABLE SALE # 1		COMPARABLE SALE # 2		COMPARABLE SALE # 3	
Address	8234 E Pearson Shelby Township, MI 48316	53020 Wolf Dr Shelby Township, MI 48316		5541 Meadow Ln Shelby Township, MI 48316		8459 Lindamar Ln Shelby Township, MI 48316	
Proximity to Subject		1.72 miles S		1.46 miles SW		1.44 miles S	
Sale Price	$ 411,000		$ 430,000		$ 400,000		$ 455,000
Sale Price/Gross Liv. Area	$ 272.19 sq.ft.	$ 251.76 sq.ft.		$ 240.24 sq.ft.		$ 277.78 sq.ft.	
Data Source(s)		RCMLS#20251005364;DOM 29		RCMLS#20251055315;DOM 8		RCMLS#58050188562;DOM 7	
Verification Source(s)		Realcomp MLS/Tax Data		Realcomp MLS/Tax Data		Realcomp MLS/Tax Data	
VALUE ADJUSTMENTS	DESCRIPTION	DESCRIPTION	+(-) $ Adjustment	DESCRIPTION	+(-) $ Adjustment	DESCRIPTION	+(-) $ Adjustment
Sales or Financing Concessions		ArmLth FHA;8000	-8,000	ArmLth Conv;0		ArmLth Conv;0	
Date of Sale/Time		s07/25;c07/25		s12/25;c12/25		s10/25;c09/25	
Location	N;Res;	N;Res;		N;Res;		N;Res;	
Leasehold/Fee Simple	Fee Simple	Fee Simple		Fee Simple		Fee Simple	
Site	16880 sf	11326 sf	0	10454 sf	0	10716 sf	0
View	N;Res;	N;Res;		N;Res;		N;Res;	
Design (Style)	DT1;Ranch	DT1;Ranch		DT1;Ranch		DT1;Ranch	
Quality of Construction	Q4	Q4		Q4		Q4	
Actual Age	38	36	0	55	0	26	0
Condition	C3	C3		C3		C3	
Above Grade Room Count (Total / Bdrms. / Baths)	5 / 3 / 2.0	5 / 3 / 2.0		6 / 3 / 1.1	+4,000	5 / 3 / 2.1	-4,000
Gross Living Area	1,510 sq.ft.	1,708 sq.ft.	-16,434	1,665 sq.ft.	-12,865	1,638 sq.ft.	-10,624
Basement & Finished Rooms Below Grade	1501sf0sfin	1690sf0sfin	0	1375sf887sfin 1rr0br1.0ba1o	0 -8,870	1606sf1450sfin 1rr1br1.0ba1o	0 -14,500
Functional Utility	Average	Average		Average		Average	
Heating/Cooling	FWA/CA	FWA/CA		FWA/CA		FWA/CA	
Energy Efficient Items	Ins/Win	Ins/Win		Ins/Win		Ins/Win	
Garage/Carport	2ga2dw	2ga2dw		2ga2dw		3ga3dw	-5,000
Porch/Patio/Deck	Porch/Deck	Porch/Deck		Porch/Patio	0	Porch/Deck	
Fireplace	1 Fireplace	1 Fireplace		1 Fireplace		1 Fireplace	
Net Adjustment (Total)		☐ + ☒ -	$ -24,434	☐ + ☒ -	$ -17,735	☐ + ☒ -	$ -34,124
Adjusted Sale Price of Comparables		Net Adj. 5.7 % Gross Adj. 5.7 %	$ 405,566	Net Adj. 4.4 % Gross Adj. 6.4 %	$ 382,265	Net Adj. 7.5 % Gross Adj. 7.5 %	$ 420,876

I ☒ did ☐ did not research the sale or transfer history of the subject property and comparable sales. If not, explain

My research ☐ did ☒ did not reveal any prior sales or transfers of the subject property for the three years prior to the effective date of this appraisal.

Data Source(s) Realcomp MLS / PRD

My research ☐ did ☒ did not reveal any prior sales or transfers of the comparable sales for the year prior to the date of sale of the comparable sale.

Data Source(s) Realcomp MLS / PRD

Report the results of the research and analysis of the prior sale or transfer history of the subject property and comparable sales (report additional prior sales on page 3).

ITEM	SUBJECT	COMPARABLE SALE #1	COMPARABLE SALE #2	COMPARABLE SALE #3
Date of Prior Sale/Transfer				
Price of Prior Sale/Transfer				
Data Source(s)	Realcomp MLS/Tax Data	Realcomp MLS/Tax Data	Realcomp MLS/Tax Data	Realcomp MLS/Tax Data
Effective Date of Data Source(s)	04/19/2026	04/19/2026	04/19/2026	04/19/2026

Analysis of prior sale or transfer history of the subject property and comparable sales The appraiser could not locate any prior sales or transfers within the past (36) months for the subject or within (12) months for any comparable properties, unless listed above.

Summary of Sales Comparison Approach See attached addenda.

Indicated Value by Sales Comparison Approach $ 403,000

RECONCILIATION

Indicated Value by: Sales Comparison Approach $ 403,000 **Cost Approach (if developed) $** **Income Approach (if developed) $**

The closed sales analyzed above are given the most weight since they best reflect the actions of buyers and sellers in the market. The Cost Approach was considered but deemed inappropriate due to the nature of this report. The Income Approach was not applicable.

This appraisal is made ☒ "as is", ☐ subject to completion per plans and specifications on the basis of a hypothetical condition that the improvements have been completed, ☐ subject to the following repairs or alterations on the basis of a hypothetical condition that the repairs or alterations have been completed, or ☐ subject to the following required inspection based on the extraordinary assumption that the condition or deficiency does not require alteration or repair: The subject was appraised in an as is condition. This appraisal report is intended for mortgage purposes only and not intended for any other use.

Based on a complete visual inspection of the interior and exterior areas of the subject property, defined scope of work, statement of assumptions and limiting conditions, and appraiser's certification, my (our) opinion of the market value, as defined, of the real property that is the subject of this report is $ 403,000 **, as of** 04/19/2026 **, which is the date of inspection and the effective date of this appraisal.**

Form 1004UAD - "TOTAL" appraisal software by a la mode, inc. - 1-800-ALAMODE

Serial# 0BF66656
esign.alamode.com/verify

Uniform Residential Appraisal Report

800170342
File # ESMI-0044375

SALES COMPARISON APPROACH

FEATURE	SUBJECT	COMPARABLE SALE # 4		COMPARABLE SALE # 5		COMPARABLE SALE # 6	
Address	8234 E Pearson Shelby Township, MI 48316	5267 Rostraver Ct Shelby Township, MI 48316		57946 Emerald Ct Washington, MI 48094			
Proximity to Subject		1.57 miles SW		1.34 miles NE			
Sale Price	$ 411,000		$ 400,000		$ 430,000		$
Sale Price/Gross Liv. Area	$ 272.19 sq.ft.	$ 234.19 sq.ft.		$ 255.50 sq.ft.		$ sq.ft.	
Data Source(s)		RCMLS#20261002329;DOM 3		RCMLS#20250028163;DOM 7			
Verification Source(s)		Realcomp MLS/Tax Data		Realcomp MLS/Tax Data			
VALUE ADJUSTMENTS	DESCRIPTION	DESCRIPTION	+(-) $ Adjustment	DESCRIPTION	+(-) $ Adjustment	DESCRIPTION	+(-) $ Adjustment
Sales or Financing Concessions		ArmLth Conv;0		ArmLth Conv;0			
Date of Sale/Time		s02/26;c01/26		s06/25;c05/25			
Location	N;Res;	N;Res;		N;Res;			
Leasehold/Fee Simple	Fee Simple	Fee Simple		Fee Simple			
Site	16880 sf	13939 sf	0	10019 sf	0		
View	N;Res;	N;Res;		N;Res;			
Design (Style)	DT1;Ranch	DT1;Ranch		DT1;Ranch			
Quality of Construction	Q4	Q4		Q4			
Actual Age	38	55	0	33	0		
Condition	C3	C3		C4	+25,000		
Above Grade Room Count (Total / Bdrms. / Baths)	5 / 3 / 2.0	6 / 3 / 1.1	+4,000	6 / 3 / 3.0	-8,000	/ /	
Gross Living Area	1,510 sq.ft.	1,708 sq.ft.	-16,434	1,683 sq.ft.	-14,359	sq.ft.	
Basement & Finished Rooms Below Grade	1501sf0sfin	1708sf1200sfin 1rr1br0.0ba1o	0 -12,000	1653sf0sfin	0		
Functional Utility	Average	Average		Average			
Heating/Cooling	FWA/CA	FWA/CA		FWA/CA			
Energy Efficient Items	Ins/Win	Ins/Win		Ins/Win			
Garage/Carport	2ga2dw	2ga2dw		2ga2dw			
Porch/Patio/Deck	Porch/Deck	Porch/Deck		Porch/Deck			
Fireplace	1 Fireplace	1 Fireplace		1 Fireplace			
Net Adjustment (Total)		☐ + ☒ -	$ -24,434	☒ + ☐ -	$ 2,641	☐ + ☐ -	$
Adjusted Sale Price of Comparables		Net Adj. 6.1 % Gross Adj. 8.1 %	$ 375,566	Net Adj. 0.6 % Gross Adj. 11.0 %	$ 432,641	Net Adj. % Gross Adj. %	$

SALE HISTORY

Report the results of the research and analysis of the prior sale or transfer history of the subject property and comparable sales (report additional prior sales on page 3).

ITEM	SUBJECT	COMPARABLE SALE # 4	COMPARABLE SALE # 5	COMPARABLE SALE # 6
Date of Prior Sale/Transfer				
Price of Prior Sale/Transfer				
Data Source(s)	Realcomp MLS/Tax Data	Realcomp MLS/Tax Data	Realcomp MLS/Tax Data	
Effective Date of Data Source(s)	04/19/2026	04/19/2026	04/19/2026	

Analysis of prior sale or transfer history of the subject property and comparable sales

ANALYSIS / COMMENTS

Analysis/Comments

Form 1004UAD.(AC) - "TOTAL" appraisal software by a la mode, inc. - 1-800-ALAMODE

Serial# 0BF66656
esign.alamode.com/verify

ADDITIONAL COMMENTS

See attached addenda.

COST APPROACH

COST APPROACH TO VALUE (not required by Fannie Mae)

Provide adequate information for the lender/client to replicate the below cost figures and calculations.

Support for the opinion of site value (summary of comparable land sales or other methods for estimating site value) Site value was estimated based on the allocation and the sales comparison method. In the allocation method, the appraiser analyzes sales of improved properties to establish a typical ratio of site value to total property value and applies this ratio to the property being appraised.

ESTIMATED ☐ REPRODUCTION OR ☐ REPLACEMENT COST NEW	OPINION OF SITE VALUE			=$ 80,000
Source of cost data	DWELLING	Sq.Ft. @ $		=$
Quality rating from cost service Effective date of cost data	Bsmt	Sq.Ft. @ $		=$
Comments on Cost Approach (gross living area calculations, depreciation, etc.)				=$
See attached sketch for dimensions.	Garage/Carport	Sq.Ft. @ $		=$
	Total Estimate of Cost-New			=$
	Less Physical	Functional	External	
	Depreciation			=$( )
	Depreciated Cost of Improvements			=$
	"As-is" Value of Site Improvements			=$
Estimated Remaining Economic Life (HUD and VA only) 51 Years	**INDICATED VALUE BY COST APPROACH**			**=$**

INCOME

INCOME APPROACH TO VALUE (not required by Fannie Mae)

Estimated Monthly Market Rent $ X Gross Rent Multiplier = $ Indicated Value by Income Approach

Summary of Income Approach (including support for market rent and GRM) The income approach was not considered due to the lack of sufficient reliable income date to derive a gross rent multiplier.

PUD INFORMATION

PROJECT INFORMATION FOR PUDs (if applicable)

Is the developer/builder in control of the Homeowners' Association (HOA)? ☐ Yes ☐ No Unit type(s) ☐ Detached ☐ Attached

Provide the following information for PUDs ONLY if the developer/builder is in control of the HOA and the subject property is an attached dwelling unit.

Legal Name of Project

Total number of phases Total number of units Total number of units sold

Total number of units rented Total number of units for sale Data source(s)

Was the project created by the conversion of existing building(s) into a PUD? ☐ Yes ☐ No If Yes, date of conversion.

Does the project contain any multi-dwelling units? ☐ Yes ☐ No Data Source

Are the units, common elements, and recreation facilities complete? ☐ Yes ☐ No If No, describe the status of completion.

Are the common elements leased to or by the Homeowners' Association? ☐ Yes ☐ No If Yes, describe the rental terms and options.

Describe common elements and recreational facilities.

Form 1004UAD - "TOTAL" appraisal software by a la mode, inc. - 1-800-ALAMODE

Serial# 0BF66656
esign.alamode.com/verify

This report form is designed to report an appraisal of a one-unit property or a one-unit property with an accessory unit; including a unit in a planned unit development (PUD). This report form is not designed to report an appraisal of a manufactured home or a unit in a condominium or cooperative project.

This appraisal report is subject to the following scope of work, intended use, intended user, definition of market value, statement of assumptions and limiting conditions, and certifications. Modifications, additions, or deletions to the intended use, intended user, definition of market value, or assumptions and limiting conditions are not permitted. The appraiser may expand the scope of work to include any additional research or analysis necessary based on the complexity of this appraisal assignment. Modifications or deletions to the certifications are also not permitted. However, additional certifications that do not constitute material alterations to this appraisal report, such as those required by law or those related to the appraiser's continuing education or membership in an appraisal organization, are permitted.

SCOPE OF WORK: The scope of work for this appraisal is defined by the complexity of this appraisal assignment and the reporting requirements of this appraisal report form, including the following definition of market value, statement of assumptions and limiting conditions, and certifications. The appraiser must, at a minimum: (1) perform a complete visual inspection of the interior and exterior areas of the subject property, (2) inspect the neighborhood, (3) inspect each of the comparable sales from at least the street, (4) research, verify, and analyze data from reliable public and/or private sources, and (5) report his or her analysis, opinions, and conclusions in this appraisal report.

INTENDED USE: The intended use of this appraisal report is for the lender/client to evaluate the property that is the subject of this appraisal for a mortgage finance transaction.

INTENDED USER: The intended user of this appraisal report is the lender/client.

DEFINITION OF MARKET VALUE: The most probable price which a property should bring in a competitive and open market under all conditions requisite to a fair sale, the buyer and seller, each acting prudently, knowledgeably and assuming the price is not affected by undue stimulus. Implicit in this definition is the consummation of a sale as of a specified date and the passing of title from seller to buyer under conditions whereby: (1) buyer and seller are typically motivated; (2) both parties are well informed or well advised, and each acting in what he or she considers his or her own best interest; (3) a reasonable time is allowed for exposure in the open market; (4) payment is made in terms of cash in U. S. dollars or in terms of financial arrangements comparable thereto; and (5) the price represents the normal consideration for the property sold unaffected by special or creative financing or sales concessions* granted by anyone associated with the sale.

*Adjustments to the comparables must be made for special or creative financing or sales concessions. No adjustments are necessary for those costs which are normally paid by sellers as a result of tradition or law in a market area; these costs are readily identifiable since the seller pays these costs in virtually all sales transactions. Special or creative financing adjustments can be made to the comparable property by comparisons to financing terms offered by a third party institutional lender that is not already involved in the property or transaction. Any adjustment should not be calculated on a mechanical dollar for dollar cost of the financing or concession but the dollar amount of any adjustment should approximate the market's reaction to the financing or concessions based on the appraiser's judgment.

STATEMENT OF ASSUMPTIONS AND LIMITING CONDITIONS: The appraiser's certification in this report is subject to the following assumptions and limiting conditions:

1. The appraiser will not be responsible for matters of a legal nature that affect either the property being appraised or the title to it, except for information that he or she became aware of during the research involved in performing this appraisal. The appraiser assumes that the title is good and marketable and will not render any opinions about the title.

2. The appraiser has provided a sketch in this appraisal report to show the approximate dimensions of the improvements. The sketch is included only to assist the reader in visualizing the property and understanding the appraiser's determination of its size.

3. The appraiser has examined the available flood maps that are provided by the Federal Emergency Management Agency (or other data sources) and has noted in this appraisal report whether any portion of the subject site is located in an identified Special Flood Hazard Area. Because the appraiser is not a surveyor, he or she makes no guarantees, express or implied, regarding this determination.

4. The appraiser will not give testimony or appear in court because he or she made an appraisal of the property in question, unless specific arrangements to do so have been made beforehand, or as otherwise required by law.

5. The appraiser has noted in this appraisal report any adverse conditions (such as needed repairs, deterioration, the presence of hazardous wastes, toxic substances, etc.) observed during the inspection of the subject property or that he or she became aware of during the research involved in performing the appraisal. Unless otherwise stated in this appraisal report, the appraiser has no knowledge of any hidden or unapparent physical deficiencies or adverse conditions of the property (such as, but not limited to, needed repairs, deterioration, the presence of hazardous wastes, toxic substances, adverse environmental conditions, etc.) that would make the property less valuable, and has assumed that there are no such conditions and makes no guarantees or warranties, express or implied. The appraiser will not be responsible for any such conditions that do exist or for any engineering or testing that might be required to discover whether such conditions exist. Because the appraiser is not an expert in the field of environmental hazards, this appraisal report must not be considered as an environmental assessment of the property.

6. The appraiser has based his or her appraisal report and valuation conclusion for an appraisal that is subject to satisfactory completion, repairs, or alterations on the assumption that the completion, repairs, or alterations of the subject property will be performed in a professional manner.

Form 1004UAD - "TOTAL" appraisal software by a la mode, inc. - 1-800-ALAMODE
Serial# 0BF66656
esign.alamode.com/verify

APPRAISER'S CERTIFICATION: The Appraiser certifies and agrees that:

1. I have, at a minimum, developed and reported this appraisal in accordance with the scope of work requirements stated in this appraisal report.

2. I performed a complete visual inspection of the interior and exterior areas of the subject property. I reported the condition of the improvements in factual, specific terms. I identified and reported the physical deficiencies that could affect the livability, soundness, or structural integrity of the property.

3. I performed this appraisal in accordance with the requirements of the Uniform Standards of Professional Appraisal Practice that were adopted and promulgated by the Appraisal Standards Board of The Appraisal Foundation and that were in place at the time this appraisal report was prepared.

4. I developed my opinion of the market value of the real property that is the subject of this report based on the sales comparison approach to value. I have adequate comparable market data to develop a reliable sales comparison approach for this appraisal assignment. I further certify that I considered the cost and income approaches to value but did not develop them, unless otherwise indicated in this report.

5. I researched, verified, analyzed, and reported on any current agreement for sale for the subject property, any offering for sale of the subject property in the twelve months prior to the effective date of this appraisal, and the prior sales of the subject property for a minimum of three years prior to the effective date of this appraisal, unless otherwise indicated in this report.

6. I researched, verified, analyzed, and reported on the prior sales of the comparable sales for a minimum of one year prior to the date of sale of the comparable sale, unless otherwise indicated in this report.

7. I selected and used comparable sales that are locationally, physically, and functionally the most similar to the subject property.

8. I have not used comparable sales that were the result of combining a land sale with the contract purchase price of a home that has been built or will be built on the land.

9. I have reported adjustments to the comparable sales that reflect the market's reaction to the differences between the subject property and the comparable sales.

10. I verified, from a disinterested source, all information in this report that was provided by parties who have a financial interest in the sale or financing of the subject property.

11. I have knowledge and experience in appraising this type of property in this market area.

12. I am aware of, and have access to, the necessary and appropriate public and private data sources, such as multiple listing services, tax assessment records, public land records and other such data sources for the area in which the property is located.

13. I obtained the information, estimates, and opinions furnished by other parties and expressed in this appraisal report from reliable sources that I believe to be true and correct.

14. I have taken into consideration the factors that have an impact on value with respect to the subject neighborhood, subject property, and the proximity of the subject property to adverse influences in the development of my opinion of market value. I have noted in this appraisal report any adverse conditions (such as, but not limited to, needed repairs, deterioration, the presence of hazardous wastes, toxic substances, adverse environmental conditions, etc.) observed during the inspection of the subject property or that I became aware of during the research involved in performing this appraisal. I have considered these adverse conditions in my analysis of the property value, and have reported on the effect of the conditions on the value and marketability of the subject property.

15. I have not knowingly withheld any significant information from this appraisal report and, to the best of my knowledge, all statements and information in this appraisal report are true and correct.

16. I stated in this appraisal report my own personal, unbiased, and professional analysis, opinions, and conclusions, which are subject only to the assumptions and limiting conditions in this appraisal report.

17. I have no present or prospective interest in the property that is the subject of this report, and I have no present or prospective personal interest or bias with respect to the participants in the transaction. I did not base, either partially or completely, my analysis and/or opinion of market value in this appraisal report on the race, color, religion, sex, age, marital status, handicap, familial status, or national origin of either the prospective owners or occupants of the subject property or of the present owners or occupants of the properties in the vicinity of the subject property or on any other basis prohibited by law.

18. My employment and/or compensation for performing this appraisal or any future or anticipated appraisals was not conditioned on any agreement or understanding, written or otherwise, that I would report (or present analysis supporting) a predetermined specific value, a predetermined minimum value, a range or direction in value, a value that favors the cause of any party, or the attainment of a specific result or occurrence of a specific subsequent event (such as approval of a pending mortgage loan application).

19. I personally prepared all conclusions and opinions about the real estate that were set forth in this appraisal report. If I relied on significant real property appraisal assistance from any individual or individuals in the performance of this appraisal or the preparation of this appraisal report, I have named such individual(s) and disclosed the specific tasks performed in this appraisal report. I certify that any individual so named is qualified to perform the tasks. I have not authorized anyone to make a change to any item in this appraisal report; therefore, any change made to this appraisal is unauthorized and I will take no responsibility for it.

20. I identified the lender/client in this appraisal report who is the individual, organization, or agent for the organization that ordered and will receive this appraisal report.

Form 1004UAD - "TOTAL" appraisal software by a la mode, inc. - 1-800-ALAMODE
Serial# 0BF66656
esign.alamode.com/verify

21. The lender/client may disclose or distribute this appraisal report to: the borrower; another lender at the request of the borrower; the mortgagee or its successors and assigns; mortgage insurers; government sponsored enterprises; other secondary market participants; data collection or reporting services; professional appraisal organizations; any department, agency, or instrumentality of the United States; and any state, the District of Columbia, or other jurisdictions; without having to obtain the appraiser's or supervisory appraiser's (if applicable) consent. Such consent must be obtained before this appraisal report may be disclosed or distributed to any other party (including, but not limited to, the public through advertising, public relations, news, sales, or other media).

22. I am aware that any disclosure or distribution of this appraisal report by me or the lender/client may be subject to certain laws and regulations. Further, I am also subject to the provisions of the Uniform Standards of Professional Appraisal Practice that pertain to disclosure or distribution by me.

23. The borrower, another lender at the request of the borrower, the mortgagee or its successors and assigns, mortgage insurers, government sponsored enterprises, and other secondary market participants may rely on this appraisal report as part of any mortgage finance transaction that involves any one or more of these parties.

24. If this appraisal report was transmitted as an "electronic record" containing my "electronic signature," as those terms are defined in applicable federal and/or state laws (excluding audio and video recordings), or a facsimile transmission of this appraisal report containing a copy or representation of my signature, the appraisal report shall be as effective, enforceable and valid as if a paper version of this appraisal report were delivered containing my original hand written signature.

25. Any intentional or negligent misrepresentation(s) contained in this appraisal report may result in civil liability and/or criminal penalties including, but not limited to, fine or imprisonment or both under the provisions of Title 18, United States Code, Section 1001, et seq., or similar state laws.

SUPERVISORY APPRAISER'S CERTIFICATION: The Supervisory Appraiser certifies and agrees that:

1. I directly supervised the appraiser for this appraisal assignment, have read the appraisal report, and agree with the appraiser's analysis, opinions, statements, conclusions, and the appraiser's certification.

2. I accept full responsibility for the contents of this appraisal report including, but not limited to, the appraiser's analysis, opinions, statements, conclusions, and the appraiser's certification.

3. The appraiser identified in this appraisal report is either a sub-contractor or an employee of the supervisory appraiser (or the appraisal firm), is qualified to perform this appraisal, and is acceptable to perform this appraisal under the applicable state law.

4. This appraisal report complies with the Uniform Standards of Professional Appraisal Practice that were adopted and promulgated by the Appraisal Standards Board of The Appraisal Foundation and that were in place at the time this appraisal report was prepared.

5. If this appraisal report was transmitted as an "electronic record" containing my "electronic signature," as those terms are defined in applicable federal and/or state laws (excluding audio and video recordings), or a facsimile transmission of this appraisal report containing a copy or representation of my signature, the appraisal report shall be as effective, enforceable and valid as if a paper version of this appraisal report were delivered containing my original hand written signature.

esign.alamode.com/verify Serial:0BF66656

APPRAISER

Signature Sarah Gunter
Name Sarah Gunter
Company Name MARRCH Valuations, LLC
Company Address 6304 Orchard Lake Rd
West Bloomfield MI,48322
Telephone Number (586)557-0465
Email Address sgunterappraisals@gmail.com
Date of Signature and Report 04/20/2026
Effective Date of Appraisal 04/19/2026
State Certification #
or State License # 1203078360
or Other (describe) State #
State MI
Expiration Date of Certification or License 07/31/2027

ADDRESS OF PROPERTY APPRAISED
8234 E Pearson
Shelby Township, MI 48316
APPRAISED VALUE OF SUBJECT PROPERTY $ 403,000

LENDER/CLIENT
Name Equity Solutions, USA
Company Name The Loan Store, Inc.
Company Address 6340 N. Campbell Ave., Ste. 100, Tucson, AZ 85718
Email Address

SUPERVISORY APPRAISER (ONLY IF REQUIRED)

Signature
Name
Company Name
Company Address
Telephone Number
Email Address
Date of Signature
State Certification #
or State License #
State
Expiration Date of Certification or License

SUBJECT PROPERTY

☐ Did not inspect subject property
☐ Did inspect exterior of subject property from street
Date of Inspection
☐ Did inspect interior and exterior of subject property
Date of Inspection

COMPARABLE SALES

☐ Did not inspect exterior of comparable sales from street
☐ Did inspect exterior of comparable sales from street
Date of Inspection

Form 1004UAD - "TOTAL" appraisal software by a la mode, inc. - 1-800-ALAMODE

Serial# 0BF66656
esign.alamode.com/verify

Supplemental Addendum

File No. ESMI-0044375

Borrower	Robert Roncelli						
Property Address	8234 E Pearson						
City	Shelby Township	County	Macomb	State	MI	Zip Code	48316
Lender/Client	The Loan Store, Inc.						

Neighborhood - Description
The area is comprised of various size, style, and aged single family homes which display average overall maintenance. Proximity to employment, amenities, and major roadways is average and commensurate with competing neighborhoods. Employment stability and immediate area dwelling market appeal is average and similar to competing neighborhoods. The overall neighborhood is acceptable and conducive to typical area buyer appeal and criteria. Commercial zoning is limited to the main arteries which define the outer boundaries of the neighborhood and does not adversely affect marketability.

Previous Services
I have not performed services, as an appraiser, regarding the property that is the subject of this report within the three-year period immediately preceding acceptance of this assignment.

Reasonable Exposure and Marketing time:
A reasonable marketing time for the subject property is 30-90 days utilizing market conditions pertinent to the appraisal assignment.
A reasonable exposure time for the subject property is 30-90 days.

Market Condition
Government and Conventional assisted financing is most common in this market area. Concessions are being utilized and average anywhere from 2 - 6% of the sale price. This information is supported by analysis of immediate area MLS market data including current listings, pending sales activity, and sold properties.

The area may contains sales that are bank owned or HUD auctioned selling "as-is". Some, but not all, bank owned homes are offered at lower prices than non-bank owned homes and are often in fair to below average condition. Due to this fact these properties are often marketed differently. Homes sold in 'as-is' condition typically appeal to a more limited number of purchasers then the average home and are typically not considered comparable to non-bank owned properties.

COVID-19 Addendum
The global outbreak of a “novel coronavirus” known as COVID-19 was officially declared a pandemic by the World Health Organization (WHO). The reader is cautioned, and reminded that the conclusions presented in this appraisal report apply only as of the effective date indicated. The appraiser makes no representation as to the effect on the subject property of any unforeseen event, subsequent to the effective date of the appraisal.

Regulatory Information
Appraisers are required to be licensed in the State of Michigan and are regulated by the Department of Licensing and Regulatory Affairs. PO Box 30018, Lansing Michigan, 48909

Digital Signature Addendum
THE SIGNATURES CONTAINED IN THIS REPORT ARE DIGITAL SIGNATURES WHICH ARE COMPUTER GENERATED AND PRINTED ON THE REPORT. THE APPRAISAL WAS ELECTRONICALLY TRANSMITTED TO OUR OFFICE. THE APPRAISER'S SIGNATURE IS SECURED BY A PASSWORD TO WHICH ONLY THE APPRAISER HAS ACCESS. IF ANY MODIFICATIONS WERE MADE ON THIS APPRAISAL, THE SIGNATURE WOULD BE ELIMINATED.

THIS FORM OF CERTIFICATION HAS BEEN APPROVED BY THE APPRAISAL FOUNDATION WHICH IS LOCATED AT 1029 VERMONT AVE, N.W.,STE. 900, WASHINGTON D.C., 20005-3517. THE APPRAISAL FOUNDATION IS AUTHORIZED BY CONGRESS AS THE SOURCE OF APPRAISER STANDARDS AND APPRAISER QUALIFICATIONS. THIS APPROVAL CAN BE FOUND IN THE STATEMENT ON APPRAISAL STANDARDS NO. 8 (SMT-8) ON ELECTRONIC TRANSMISSION OF REPORTS. THE SECTION REGARDING SIGNED CERTIFICATION READS AS FOLLOWS:

ANY SOFTWARE PROGRAM USED TO ELECTRONICALLY TRANSFER A REPORT MUST PROVIDE, AT A MINIMUM, A DIGITAL SIGNATURE SECURITY FEATURE FOR ALL APPRAISERS SIGNING A REPORT. THE APPRAISER(S) SHOULD ENSURE THE SIGNATURE(S) ARE PROTECTED AND THAT ONLY THE APPRAISER(S) MAINTAIN CONTROL OF THE SIGNATURE. THIS CONTROL MAY BE MAINTAINED BY PASSWORDS (EG PIN NUMBERS), HARDWARE DEVICES (EG SECURE CARDS) OR OTHER MEANS. ELECTRONICALLY AFFIXING A SIGNATURE TO A REPORT CARRIES THE SAME LEVEL OF AUTHENTICITY AND RESPONSIBILITY AS AN INK SIGNATURE ON A PAPER COPY REPORT. APPRAISAL STANDARDS BOARD, ADOPTED 7/18/95, EFFECTIVE 1/1/96.

Contractual Responsibility of Appraisers
The purpose of this appraisal is to estimate the market value of the subject property as defined herein. The function of the appraisal is to assist the above-named Lender/Client, its successors and/or assigns, in evaluating the subject property for lending purposes. This is a federally regulated transaction. Additional supporting data can be found in our appraiser work file.

It is assumed that the title to this property is good and marketable. No title search has been made, nor have we attempted to determine ownership of the property. The value estimate is given without regard to any questions of title, boundaries, or encroachments. It is assumed that all assessments are paid. We assume the property to be free and clear of liens and encumbrances except as noted.

We are not familiar with any engineering studies made to determine the bearing capacity of the land. Improvements in the area appear to be structurally sound. It is therefore assumed that soil and subsoil conditions are stable unless specifically outlined in this report.

Areas and dimensions of the property were physically measured. If data is furnished by the principal or from plot plans or surveys furnished by the principal, or from public records, we assume it to be reasonably accurate. In the absence of current surveys, land areas may be based upon representations made by the owner’s agents or the client. No attempt has been made to render an opinion or determine the status of easements that may exist. No responsibility is assumed for discrepancies that may become evident from a licensed survey of the property.

The value estimate involves only the real estate and all normal building equipment if any improvements are involved. No consideration was given to personal property, (or special equipment), unless stated.

Information in this report concerning market data was obtained from buyers, sellers, brokers, attorneys, trade publications or public records. To the extent possible, this information was examined for accuracy and is believed to be reliable. Dimensions, areas or data obtained from others is believed correct; however, no guarantee is made.

Any information, in whatever form, furnished by others is believed to be reliable; however, no responsibility is assumed for accuracy.

The separate allocations between land and improvements, if applicable, represents our judgment only under the existing utilization of the property. A re-evaluation should be made if the improvements are removed or substantially altered, and the land utilized for another purpose.

All information and comments concerning the location, neighborhood trends, construction quality and costs, loss in value from whatever cause, condition, rents, or any other data for the property appraised herein, represents the estimates and opinions of the appraiser formed after an examination and study of the property.

Sarah Shuster

Serial# 0BF66656
esign.alamode.com/verify

Supplemental Addendum

File No. ESMI-0044375

Borrower	Robert Roncelli						
Property Address	8234 E Pearson						
City	Shelby Township	County	Macomb	State	MI	Zip Code	48316
Lender/Client	The Loan Store, Inc.						

All opinions, as to values stated, are presented as the appraiser's considered opinion based on the information set forth in the report and his experience. We assume no responsibility for changes in market conditions or for the inability of the client or any other party to achieve their desired results based upon the appraised value. Further, some of the assumptions made can be subject to variation depending upon evolving events. We realize some assumptions may never occur and unanticipated events or circumstances may occur. Therefore, actual results achieved during the projection period may vary from those in this report.

It is agreed that the liability of the appraiser/consultant to the client is limited to the amount of the fee paid as liquidated damages. The Appraiser/consultant responsibility is limited to the client, and use of this appraisal by third parties shall be solely at the risk of the client and/or third parties.

The appraisal assignment was not based on developing or reporting predetermined results, or a requested minimum valuation, a specific valuation, or the approval of a loan.

The appraiser's analyses, opinions, conclusions, and report has been prepared, in conformity with the requirements of: USPAP Uniform Standards of Professional Appraisal Practice, and SPP-AI Code of Professional Ethics and the Standards of Professional Practice of the Appraisal Institute; and, except as noted in the Scope of Appraisal, in conformity with specific implementation rules of the following agencies: FIRREA Title XI of the Financial Institutions Reform, Recovery and Enforcement Act and section 5(b) of the Bank Company Holding Act; FRB – Federal Reserve Board; RTC-Resolution Trust Corporation; OTS-Office of Thrift Supervision; FDIC – Federal Deposit Insurance Corporation; OTC – Office of the Comptroller; NCUA – National Credit Union Association.

UAD Compliance
At the request of the client, this appraisal report has been prepared in compliance with the Uniform Appraisal Data (UAD) from Fannie Mae and Freddie Mac. The UAD requires the appraiser to use standardized responses that include specific formats, definitions, abbreviations, and acronyms. See UAD Definitions Addendum near end of report for additional information.

Appraisal Independence
No employee, director, officer or agent of the lender, or any other third party acting as a joint venture partner, independent contractor, appraisal management company, or partner on behalf of the lender has influenced or attempted to influence the development, reporting, result or review of this assignment through coercion, extortion, collusion, compensation, instruction, inducement, intimidation, bribery or in any other manner. The appraiser has not been contracted by anyone other than the intended user (lender/client as identified on the first page of the report), borrower or designated contact to make an appointment to enter the property. The appraiser agrees to immediately report any unauthorized contacts either personally by phone or electronically.

Adverse Conditions
This appraisal assumes that all building services are operable and not subject to any hidden deficiencies which would render the subject property less valuable. The final reconciliation of value is made assuming that the roof, electrical, heating, plumbing and, if applicable, the cooling, septic tank and sprinkler systems are operational and functional and is based upon a casual inspection only and is not intended to be used to evaluate the condition or adequacy of the subject property.

Roof & Foundation: The roof was inspected from the ground level only. Structural problems may be present but were not apparent at the time of the inspection. The reader of this appraisal should understand that purchasing a home entails a certain amount of risk. Properties may have latent problems that are not detectable at the time of the sale or at the time it is appraised. Properties may have hidden problems or may develop structural problems after the sale.

Infestation: The appraiser has no expertise in the field of insect, termite, or pest infestation. We are not qualified to detect he presence of these or any other unfavorable infestations. We have not specifically inspected the subject property to determine the presence of any infestation. No effort was made to dismantle or probe the structure to observe enclosed, encased, or otherwise concealed evidence of infestation. Infestation may be present in areas the appraiser cannot see. However, there was no obvious evidence of termite or other infestation as of the time of this appraisal.

Environmental: The appraisal has made no allowances for the possible existence of hazardous material such as UREA formaldehyde foam insulation, mold, radon gas, etc., and assumes there is none present on the subject property. The appraiser is not a home or environmental inspector and therefore is not qualified to detect such substances.

The appraisal was developed using the extraordinary assumption that the acreage being valued is assumed to be free of any environmental hazards, i.e., pesticides, herbicides, underground storage tanks, etc. The appraiser is not aware of any environmental screening of the property as of the effective date of the appraisal. The use of this extraordinary assumption might have an affect on the assignment results.

Mechanical Systems: The appraiser is not a home inspector, electrician, or plumber. If an electrical capacity has been noted in the appraisal report, it has been taken from the electrical service panel within the subject property or provided by another source including but not limited to, the owner, blueprints, specifications, contractors, or other sources believed to be reliable. The appraiser will not be responsible for the condition, alterations, defects, or other unapparent modifications related to the mechanical systems of the subject property. The lender/client should utilize, or at least consider, the services of a licensed home inspector or other professionals if concerned about the condition and the functional utility of the subject's mechanical systems.

Mold / Discoloration: The appraiser is not qualified to determine if mold is present in the property and if present, the appraiser is not qualified to determine the cause of the mold, the type of mold, or whether it poses any risk or hazard to the inhabitants.

Seasonal Conditions: There are instances when portions of the exterior of the property are obscured or not readily observable due to weather related conditions. In those instances, the appraiser(s) has relied upon a source(s) familiar with the property to cite the material and the condition of those improvements.

Zoning and Flood Maps
The appraisers have tried to use the most recently available zoning maps to determine the zoning of the subject property. However, no notification is given to the appraiser when zoning changes. Zoning may be different than that stated and may severely limit the possible use of the property. If a property is a legal non-conforming use, it may not be able to have continued residential use if fully or partially destroyed or vacated for any length of time. Zoning has only been checked as it relates to the highest and best use section of this report and any significant question regarding zoning should be addressed to local zoning or land use officials.

Flood determination is as provided by mapping services. The appraiser has provided appropriate panel grids as returned by search results from this mapping service, if one is available. The appraiser does not guarantee the accuracy of this flood determination and the client is advised to obtain separate insured certifications from appropriate agencies.

Under the flood zone area section, the term "NSFHA" (if present) is defined as No Special Flood Hazard Area, according to FEMA.

Title and Boundaries
Appraiser takes no responsibility for matters of a legal nature that affects the title to the property nor is an opinion of title rendered. The value is given without regard to questions of title, boundaries, encumbrances or encroachments. We are not usually provided with information regarding title or legal description.

FEMA Disaster Area

Serial# 0BF66656
esign.alamode.com/verify

Supplemental Addendum

File No. ESMI-0044375

Borrower	Robert Roncelli						
Property Address	8234 E Pearson						
City	Shelby Township	County	Macomb	State	MI	Zip Code	48316
Lender/Client	The Loan Store, Inc.						

There has been NO FEMA disaster within the past three (3) years.

Additional Information
Information was verified, when possible, through public records, multi-listing services, real estate agents and exterior inspection. No verification technique is 100% accurate but the appraiser has made the assumption that all data is accurate as reported.

From time to time the indicated sizes of the comparables shown in available sources such as Multi-List Services or listing sheets appears to be incorrect based on the appraisers professional experience. If the size used in the MLS sheet does not correlate with other known data, the appraiser may use other methods to determine the size of the comparables. These include assessors sheets, physical inspection and use of interior room measurements along with a multiplier to depict size based on exterior measurements. The deviation of comparable size from published sizes only indicate an attempt at higher accuracy in the final report. However, there are many times the exact size and features found in comparables cannot be confirmed except by an exterior inspection from the street. We have used three or more comparables in this report to eliminate the limited data associated with any single comparable.

Subject property data was based on the physical inspection of the property interior and exterior and any plans and specifications provided. Additional data was compiled from public records.

It is presumed that whomever relies on this appraisal has clarified the owner/occupant issue through their own research methods. The appraiser makes no warranties, either implied or directly, and is not responsible as to whom the occupant of the property is at the time of the appraisal.

The dimensions used are approximate calculations after measuring the exterior of the subject property.

THE APPRAISAL IS NOT AN ENGINEERING OR PROPERTY INSPECTION REPORT.

Exposure Time
The estimated length of time the subject property would have been offered on the market prior to the hypothetical consummation of a sale at market value on the effective date of the appraisal. Key factor in exposure time: it is presumed to occur preceding the effective valuation date.

Comparable Photos & Condition Rating
The comparable photos provided were extracted from the MLS listing. These photos were utilized due to the fact that new owners sometimes change the appearance noticeably over the first several months of occupancy. The photo in the listing will best reflect the condition and appearance of the home at the time it was exposed to the market.

The appraiser has made assumptions, based upon interior MLS photos (if available), as to the overall condition of the comparable properties. If these conditions are found to be inaccurate and/or misrepresented on the MLS, changes to the adjustments may be required.

Utilities
All of the utilities were on and in working order at the time of the inspection.

Principle of Substitution
The sales comparison approach in a real estate appraisal is based primarily on the Principle of Substitution. This approach assumes a prudent individual will pay no more for a property than it would cost to purchase a comparable, substitute property.

Energy Efficient Items
Per UAD Field Specific Standardization Requirements v1.6: "The appraiser must enter any energy efficient items for the subject property and each comparable". For each comparable the appraiser must solely rely on the MLS description provided and/or the exterior inspection from the road. Items such as insulation, roof (if snow covered), etc., if not listed within the MLS description, cannot be known by the appraiser. Therefore, an extraordinary assumption has to be made as to the energy efficient items for each comparable in order to comply with UAD requirements.

ANSI Z765-2021 Reporting Standards

The appraiser employs ANSI standards base floor area calculations on the exterior dimensions of the building at each floor level and including all interior walls and voids. As second floors cannot be physically measured from the outside, the appraiser measured interior walls and added 6” to account for standard wall thickness.

For attached single family homes or attached condominiums, the outside dimension is the center line of the common walls. Internal room dimensions aren’t used in this system of measuring.

Measurements are taken to the nearest inch or tenth of an inch of a foot. The appraiser’s sketch reflects this guideline. However, the square footage that results from these measurements has been rounded to the nearest whole foot and is reported in whole numbers in the Subject Improvements Section, Sales Comparison Grid, and Cost Approach (if applicable).

Home Façade has no impact on the exterior measurements with the following exceptions:

-Vinyl siding ridge cap

-Exterior ornamental façade that creates a gap between the exterior and the interior walls

These were factored into the appraiser’s exterior measurements when necessary.

In the case of the subject property, the GLA was determined by the calculation resulting from exterior measurements taken during the physical inspection of the property that were taken with a digital tape measure. No information was available regarding the source or method of determining the GLA in public records or other sources noted.

The GLA measurements and calculations contained within the sketch file are based on onsite measurements. The measurements are reported to the nearest tenth of a foot and rounded to the nearest whole square foot.

Finished Area: An enclosed area in a house that is suitable for year-round use based upon its geographic reason, embodying walls, floors, and ceilings that are resemble the rest of the residence. Square Footage: An area of a house that is measured and calculated in accordance with the standard.

Gross Living Area (GLA): A total area of finished, above-grade residential space; calculated by measuring the outside perimeter of the structure and includes only finished, habitable, above-grade living space. The term “GLA” is not specifically defined by ANSI standards.

Ceiling Height Requirements
To be included in the finished square footage calculations, finished areas must have a ceiling height of at least 7 feet, with there being an exception for under beams, ducts, or other obstructions. Then the height is acceptable to be at least 6 ft, 4 inches. If a ceiling is sloped, at least one-half of the finished square footage in that room must have a vertical ceiling height of 7 ft. No portion of the finished area that has a height of less than 5 feet may be included in this square footage.

Sarah Hunter

Serial# 0BF66656
esign.alamode.com/verify

Supplemental Addendum

File No. ESMI-0044375

Borrower	Robert Roncelli						
Property Address	8234 E Pearson						
City	Shelby Township	County	Macomb	State	MI	Zip Code	48316
Lender/Client	The Loan Store, Inc.						

URAR: Site - Highest and Best Use
Given the current zoning, location and size of the site, surrounding land uses (recognizing the principle of conformity) and development characteristics of the market area, our opinion of the highest and best use of the property "as vacant" is for single family residential development. Further, the existing use/improvements exceed the value of the site vacant; therefore our opinion of the highest and best use of the site "as improved" is for continued single family residential use.

Verification Source of Comparable Data
Square footage were obtained from the assessor's office. Where assessor records were unavailable or appeared inaccurate, square footages were obtained from a multiplier derived from the market. The appraiser uses a variety of data services such as public and private online databases which include assessor's records, county recorder, FEMA Flood Maps, county websites, local zoning maps an/or phone confirmations by the appropriate zoning authorities, local MLS information, or any other reliable sources considered typical for the market area. All sources are considered to be reliable sources of data. When discrepancies in the information are found, the appraiser will use the source(s) that is believed to be the most reliable in the appraisal report. The appraiser will report only the data pertinent to the valuation process. When applicable, the data presented in the Sales Comparison Approach has been verified by more than one source unless otherwise noted.

URAR : Sales Comparison Analysis - Summary of Sales Comparison Approach

All comparable information is based on either MLS or city records.

Gross living area adjustments were rendered at $83.00 per square foot with a difference greater than 100 square feet.

All adjustments made were according to market value for the area, for each amenity.

Adjustments for basement size are based on $25.00 per square foot with a difference greater than 500 square feet. (number on top). Adjustments for basement finish were rendered at $10.00 per square foot with a difference greater than 100 square feet. (number on bottom). The appraiser attempted to verify below grade room information for the comparables but had to estimate due to lack of hard data.

Differences in age are reflected in the condition adjustment, if necessary, as this reflects the degree of updates and maintenance, based on personal inspection and MLS data.

Bathroom count adjustments were rendered at $4,000 per half bath and $8,000 per full bathroom on the Room Count line (bottom number).

The subject's garage size was taken into consideration on the line item Garage/Carport as a 2 car attached garage. Adjustments for garage size was based solely on the number of vehicles that can be stored in the garage without tandem. Garage adjustments were rendered at $5,000 per additional bay.

The excessive days on market are the result of listing agents failure to meet the current market expectations of pricing. When pricing is brought into line with the competition, normal exposure time typically results in contracts.

Concessions were adjusted at a dollar for dollar rate as this is typical reaction for the market.

All other adjustments were based on paired sales analysis.

The condition line-item includes any necessary adjustments for the varied condition, repairs, and/or updates of the subject and all of the comparables. This information was taken either from appraisal records and from the MLS listing and verified through public tax records. This is in accordance with the client's requirements.

All comparables are located within 2 miles of the subject.

The subjects market value, as determined by extensive data and analysis contained in this appraisal is below contract price. The appraiser was not a party to the listing nor contract writing/negotiation process and therefore cannot comment on how the listing price or contract price were determined.
The market data and analysis the appraiser has included in this appraisal and work file does not support the contract price.

After reviewing the market conditions and comparable properties, it has been determined that no time adjustment is necessary for this appraisal. The analysis indicates that the subject property's value remains consistent with current market trends.

Comparable #1 was utilized because it is a similar ranch style home. It is also similar in quality, age, condition and room count.

Comparable #2 was utilized because it is a similar ranch style home. It is also similar in quality and condition.

Comparable #3 was utilized because it is a similar ranch style home. It is also similar in quality and condition.

Comparable #4 was utilized because it is a very recent sale (February 2026). It is also similar in style, quality and condition.

Comparable #5 was utilized because it is a similar ranch style home. It is also similar in quality and age.

• **Comparable Summary**
Comparables Summary & Estimated Indicated Value

	Sale Price	Net Adj %	Grs Adj %	Ind Value	Weight
Comp #1:	430,000	5.7	5.7	405,566	21.32
Comp #2:	400,000	4.4	6.4	382,265	20.87
Comp #3:	455,000	7.5	7.5	420,876	20.16
Comp #4:	400,000	6.1	8.1	375,566	19.77
Comp #5:	430,000	0.6	11	432,641	17.88

Sarah Hunter

Serial# 0BF66656
esign.alamode.com/verify

Supplemental Addendum

File No. ESMI-0044375

Borrower	Robert Roncelli						
Property Address	8234 E Pearson						
City	Shelby Township	County	Macomb	State	MI	Zip Code	48316
Lender/Client	The Loan Store, Inc.						

ESTIMATED INDICATED VALUE OF THE SUBJECT: 403,000

• **Indicated Weight Value**

Estimated indicated value is determined by using the Gross Adjustment of sale price for each comparable as a measure of the relative quality of the comp. The Indicated Value is derived by multiplying the weight of each comp by the Adjusted Sale Price of that comp, repeating for each property, then adding them all together. This weighted average is used as the indicated value of the subject.

As with any method, this technique is not perfect.However, it does do a very good job of giving more weight to the most similar comps while at the same time minimizing values near the extremes of the indicated value range.

Serial# 0BF66656
esign.alamode.com/verify

Sales Comparison Adjustment Methods

Allocation
For the allocation method, a certain percentage of the sale price of a property is allocated to each feature. The potential adjustment is based on that percentage allocated for a particular feature.

Depreciated Cost
This method determines a potential adjustment by subtracting depreciation from the cost to build an improvement with the result being the value (adjustment) for the feature being measured. The difference between cost and value is depreciation so if the cost to build an improvement and the depreciation can be determined with relative accuracy then the result is the potential adjustment for that feature.

Grouped Data
This method involves grouping the data (sales) into two categories based on the feature being measured. The average or median price of the first group is compared to the average or median price of the second. The difference in those two prices is the potential adjustment for the feature being measured.

Paired Sales (True)
A method of comparing two properties that are considered to be the same in all features except for one. In theory, the difference in the sales price of each property is an approximation of the value difference (or adjustment) for the one feature in which the properties differ. For this analysis, all properties that were analyzed are compared against each other to find all "pairs" and then the average and median of the results of all of those pairs is found.

Paired Sales (Adjusted)
This is the same as True Paired Sales except that if, in analyzing two properties, they differ in more than one feature (True Paired Sales requires that only one feature is different) and the appraiser is confident they can adjust for those differing features such that the result is only one differing feature, then this would be an "Adjusted Pair". Adjusted Pairs will nearly always have more data points since it allows for more than one differing feature (non-perfect matches).

Sensitivity
This method is based on the theory that the best adjustment is the one that results in the smallest range of adjusted sales prices for all sales analyzed. It "plugs in" an adjustment and calculates what the sales price would be if that were the adjustment and it does that for every sale. Then it determines the range (difference between the low and high) of the adjusted sales prices. It repeats that process to test every possible adjustment. The adjustment that leads to the smallest range of adjusted prices is the final result.

Survey
In this method, market participants (e.g. appraisers, brokers, real estate agents, etc) are contacted in order to determine what they believe to be what a typical buyer and seller would agree to as far as the added value for a particular feature (swimming pool, barn, new roof, addition, etc). Typically the average and/or median of those results is the potential adjustment based on the survey method.

Ordinary Least Squares Regression
Among the most common of all types of simple regression, this method minimizes the sum of the squares of the differences between a variable and it's predicted value (called the residual). One of the results of this regression method is the slope of a line that can be drawn through the data points. That slope is the potential adjustment based on this method.

Theil-Sen Regression
This simple regression method finds the slope of every possible line that can be drawn between every pair of data points if they were plotted on a chart. It then takes the median of all of the slopes of those lines and that is the potential adjustment based on this method. Since this method utilizes the median, it does reduce the impact of outliers on the data.

Least Absolute Deviation
This simple regression method determines every line that can be drawn between each pair of data points. For each of those lines, the distance of the remaining data points to the line is calculated using the absolute value. All of those distances are then added up and the slope of the particular line that results in the smallest sum of absolute values for the residuals (deviation) is the potential adjustment result based on this method.

Least Median of Squares
Another form of simple regression that is very similar to Ordinary Least Squares Regression except that instead of taking the average of the squares of the residuals, this method utilizes the median of the squares of the residuals. As a result this method tends to be a bit more robust to outliers than Ordinary Least Squares Regression.

Robust Simple Regression
If any of the above Simple Regression methods has the word "Robust" in front of it that means that during the calculations, when the average of all of the data points is subtracted from the data point in question, instead the median of all data points is subtracted from the data point in question. This tends to make a particular regression method more "robust" to outliers (meaning less impacted by outliers).

Modified Quantile Regression
This is a modified type of Robust Least Squares Regression where, instead of subtracting the median (the 50th percentile) from each data point, 9 different percentiles are tested (from 10% up to 90%) and the result from the one that has the best (highest) r-squared is the final result. This means that regression is calculated nine times (one time for each percentile tested) but only the results from the one with the best r-squared score is utilized.

Peer Adjustments
Peer adjustments represent the average or median of the adjustments that were utilized by other appraisers for similar quality properties in the same zip code, assuming those appraisers opted to share that information.

Serial# 0BF66656
esign.alamode.com/verify

Sales Comparison Adjustment Comments

The following transactional items were accounted for in the order shown prior to calculating any property feature adjustment results: Property Rights, Financing Terms, Distressed Sales, Seller Concessions, and Market Conditions.

GLA
The GLA adjustment was developed at $83 per square foot. To arrive at this adjustment, 13 different adjustment methods were utilized and many of those were calculated on five sets of data. That resulted in a total of 45 different analyses being performed. Of those analyses, a total of 19 were given weight and consideration. The results (based on those 19 methods) provide an adjustment range from $53 to $287. Depreciated Cost, Grouped Data (Median and Average), 7 different types of simple regression, and Sensitivity Analysis were the adjustment methods used to develop this adjustment.

Full Bath
The Full Bath adjustment was developed at $8,000. To arrive at this adjustment, 13 different adjustment methods were utilized and many of those were calculated on five sets of data. That resulted in a total of 45 different analyses being performed. Of those analyses, a total of 11 were given weight and consideration. The results (based on those 11 methods) provide an adjustment range from $0 to $37,300. Depreciated Cost, Average Grouped Data, 6 different types of simple regression, and Sensitivity Analysis were the adjustment methods used to develop this adjustment.

Half Bath
The Half Bath adjustment was developed at $4,000. To arrive at this adjustment, 13 different adjustment methods were utilized and many of those were calculated on five sets of data. That resulted in a total of 45 different analyses being performed. Of those analyses, a total of 20 were given weight and consideration. The results (based on those 20 methods) provide an adjustment range from $0 to $106,000. Depreciated Cost, Grouped Data (Median and Average), 7 different types of simple regression, and Sensitivity Analysis were the adjustment methods used to develop this adjustment.

Basement Finish
The Basement Finish adjustment was developed at $10. To arrive at this adjustment, 12 different adjustment methods were utilized and many of those were calculated on three sets of data. That resulted in a total of 44 different analyses being performed. Of those analyses, a total of 22 were given weight and consideration. The results (based on those 22 methods) provide an adjustment range from -$19 to $111. 7 different types of simple regression in addition to Sensitivity Analysis were the adjustment methods used to develop this adjustment.

Condition
The Condition adjustment was developed at $25,000. To arrive at this adjustment, one adjustment method was calculated on two separate sets of data. Of those analyses, a total of 8 were given weight and consideration. The results (based on those 8 calculations) provide an adjustment range from $8,400 to $83,700. Depreciated Cost was the method utilized to develop this adjustment.

Garage Spaces
The Garage Space adjustment was developed at $5,000. To arrive at this adjustment, 13 different adjustment methods were utilized and many of those were calculated on five sets of data. That resulted in a total of 45 different analyses being performed. Of those analyses, a total of 2 were given weight and consideration. The results (based on those 2 methods) provide an adjustment range from $3,500 to $10,700. Depreciated Cost in addition to Sensitivity Analysis were the adjustment methods used to develop this adjustment.

Serial# 0BF66656
esign.alamode.com/verify

Sales Comparison Adjustment Support

Summary Information

Property Address	**8234 E Pearson Rd, 48316**		
Effective Date	**04/19/2026**	Datasets Analyzed	**3**
Analysis Date	**04/19/2026**	Properties per Dataset	**176 - 59 - 20**

The following transactional items were accounted for in the order shown prior to calculating any property feature adjustments below and only as necessary for transaction adjustments: Property Rights, Financing, Distressed Sales, Seller Concessions, Market Conditions.

GLA

$83 / SqFt

Calculated Results for the Adjustment Methods

Low: $53 **High: $287**

Name of the Adjustment Methods Calculated Above:
Depreciated Cost, Grouped Data (Median and Average), 7 different types of Simple Regression, Sensitivity Analysis

Full Bath

$8,000

Calculated Results for the Adjustment Methods

Low: $0 **High: $37,279**

Name of the Adjustment Methods Calculated Above:
Depreciated Cost, Average Grouped Data, Least Median of Squares Regression, Modified Quantile Regression, Ordinary Least Squares Regression, Robust Least Median of Squares Regression, Robust Least Squares Regression, Sensitivity Analysis, Theil-Sen Regression

Half Bath

$4,000

Calculated Results for the Adjustment Methods

Low: $0 **High: $105,647**

Name of the Adjustment Methods Calculated Above:
Depreciated Cost, Grouped Data (Median and Average), 7 different types of Simple Regression, Sensitivity Analysis

Basement Finish

$10

Calculated Results for the Adjustment Methods

Low: -$19 **High: $111**

Name of the Adjustment Methods Calculated Above:
7 different types of Simple Regression, Sensitivity Analysis

Condition

$25,000

Calculated Results for the Adjustment Methods

Low: $8,362 **High: $83,702**

Name of the Adjustment Methods Calculated Above:
Depreciated Cost

Garage Spaces

$5,000

Calculated Results for the Adjustment Methods

Low: $3,454 **High: $10,697**

Name of the Adjustment Methods Calculated Above:
Depreciated Cost, Sensitivity Analysis

Serial# 0BF66656
esign.alamode.com/verify

Market Conditions Addendum to the Appraisal Report

File No. 800170342 ESMI-0044375

The purpose of this addendum is to provide the lender/client with a clear and accurate understanding of the market trends and conditions prevalent in the subject neighborhood. This is a required addendum for all appraisal reports with an effective date on or after April 1, 2009.

Property Address 8234 E Pearson City Shelby Township State MI ZIP Code 48316

Borrower Robert Roncelli

Instructions: The appraiser must use the information required on this form as the basis for his/her conclusions, and must provide support for those conclusions, regarding housing trends and overall market conditions as reported in the Neighborhood section of the appraisal report form. The appraiser must fill in all the information to the extent it is available and reliable and must provide analysis as indicated below. If any required data is unavailable or is considered unreliable, the appraiser must provide an explanation. It is recognized that not all data sources will be able to provide data for the shaded areas below; if it is available, however, the appraiser must include the data in the analysis. If data sources provide the required information as an average instead of the median, the appraiser should report the available figure and identify it as an average. Sales and listings must be properties that compete with the subject property, determined by applying the criteria that would be used by a prospective buyer of the subject property. The appraiser must explain any anomalies in the data, such as seasonal markets, new construction, foreclosures, etc.

MARKET RESEARCH & ANALYSIS

Inventory Analysis	Prior 7–12 Months	Prior 4–6 Months	Current – 3 Months	Overall Trend		
Total # of Comparable Sales (Settled)	13	4	3	☐ Increasing	☒ Stable	☐ Declining
Absorption Rate (Total Sales/Months)	2.17	1.33	1.00	☐ Increasing	☒ Stable	☐ Declining
Total # of Comparable Active Listings	14	3	6	☐ Declining	☒ Stable	☐ Increasing
Months of Housing Supply (Total Listings/Ab.Rate)	6.5	2.3	6.0	☐ Declining	☒ Stable	☐ Increasing

Median Sale & List Price, DOM, Sale/List %	Prior 7–12 Months	Prior 4–6 Months	Current – 3 Months	Overall Trend		
Median Comparable Sale Price	$353,900	$405,615	$380,000	☐ Increasing	☒ Stable	☐ Declining
Median Comparable Sales Days on Market	13	12	3	☐ Declining	☒ Stable	☐ Increasing
Median Comparable List Price	$387,450	$385,000	$367,500	☐ Increasing	☒ Stable	☐ Declining
Median Comparable Listings Days on Market	18	8	6	☐ Declining	☒ Stable	☐ Increasing
Median Sale Price as % of List Price	95.67%	94.66%	100.03%	☐ Increasing	☒ Stable	☐ Declining
Seller-(developer, builder, etc.)paid financial assistance prevalent? ☒ Yes ☐ No				☐ Declining	☒ Stable	☐ Increasing

Explain in detail the seller concessions trends for the past 12 months (e.g., seller contributions increased from 3% to 5%, increasing use of buydowns, closing costs, condo fees, options, etc.). Seller concessions are being utilized and over the past 12 months appear to average 1 - 3% of the sale price. This information is supported by analysis of immediate area MLS market data including current listings, pending sales activity, and sold properties.

Are foreclosure sales (REO sales) a factor in the market? ☐ Yes ☒ No If yes, explain (including the trends in listings and sales of foreclosed properties).

The data used in the grid above does not indicate there were any REO/Short sales or other distressed properties associated with the reported transactions. However, this is not a mandatory reporting field for agents and there may be some distressed sales that were not reported. It is beyond the scope of this assignment to confirm each sale used in the Market Conditions Report.

Cite data sources for above information. The Realcomp was the data source used to complete the Market Conditions Addendum.

Summarize the above information as support for your conclusions in the Neighborhood section of the appraisal report form. If you used any additional information, such as an analysis of pending sales and/or expired and withdrawn listings, to formulate your conclusions, provide both an explanation and support for your conclusions.

The information reported on this 1004MC form pertains to the subjects entire market area rather then its immediate neighborhood.

Based upon the available comparable sales and listings in the subjects immediate area, property values appear to be stable while there appears to be a stable to low supply of similar homes. Marketing time appears to be approximately 1 - 3 months based upon the available sales data for the subject immediate area. Government and Conventional assisted financing is most common in this market area.

CONDO/CO-OP PROJECTS

If the subject is a unit in a condominium or cooperative project , complete the following: **Project Name:**

Subject Project Data	Prior 7–12 Months	Prior 4–6 Months	Current – 3 Months	Overall Trend		
Total # of Comparable Sales (Settled)				☐ Increasing	☐ Stable	☐ Declining
Absorption Rate (Total Sales/Months)				☐ Increasing	☐ Stable	☐ Declining
Total # of Active Comparable Listings				☐ Declining	☐ Stable	☐ Increasing
Months of Unit Supply (Total Listings/Ab.Rate)				☐ Declining	☐ Stable	☐ Increasing

Are foreclosure sales (REO sales) a factor in the project? ☐ Yes ☐ No If yes, indicate the number of REO listings and explain the trends in listings and sales of foreclosed properties.

Summarize the above trends and address the impact on the subject unit and project.

esign.alamode.com/verify Serial:0BF66656

APPRAISER

Signature	Sarah Gunter	Signature	
Appraiser Name	Sarah Gunter	Supervisory Appraiser Name	
Company Name	MARRCH Valuations, LLC	Company Name	
Company Address	6304 Orchard Lake Rd, West Bloomfield MI,48322	Company Address	
State License/Certification #	1203078360 State MI	State License/Certification #	State
Email Address	sgunterappraisals@gmail.com	Email Address	

Form 1004MC2 - "TOTAL" appraisal software by a la mode, inc. - 1-800-ALAMODE

Serial# 0BF66656
esign.alamode.com/verify

USPAP Compliance Addendum

Loan # 800170342
File # ESMI-0044375

Borrower	Robert Roncelli						
Property Address	8234 E Pearson						
City	Shelby Township	County	Macomb	State	MI	Zip Code	48316
Lender/Client	The Loan Store, Inc.						

APPRAISAL AND REPORT IDENTIFICATION

This Appraisal Report is one of the following types:

- [x] Appraisal Report — This report was prepared in accordance with the requirements of the Appraisal Report option of USPAP Standards Rule 2-2(a).
- [ ] Restricted Appraisal Report — This report was prepared in accordance with the requirements of the Restricted Appraisal Report option of USPAP Standards Rule 2-2(b), and is intended only for the use of the client and any other named intended user(s). Users of this report must clearly understand that the report may not contain supporting rationale for all of the opinions and conclusions set forth in the report.

ADDITIONAL CERTIFICATIONS

I certify that, to the best of my knowledge and belief:

- The statements of fact contained in this report are true and correct.
- The report analyses, opinions, and conclusions are limited only by the reported assumptions and are my personal, impartial, and unbiased professional analyses, opinions, and conclusions.
- I have no (or the specified) present or prospective interest in the property that is the subject of this report and no (or specified) personal interest with respect to the parties involved.
- I have no bias with respect to the property that is the subject of this report or the parties involved with this assignment.
- My engagement in this assignment was not contingent upon developing or reporting predetermined results.
- My compensation for completing this assignment is not contingent upon the development or reporting of a predetermined value or direction in value that favors the cause of the client, the amount of the value opinion, the attainment of a stipulated result, or the occurrence of a subsequent event directly related to the intended use of this appraisal.
- My analyses, opinions, and conclusions were developed and this report has been prepared, in conformity with the Uniform Standards of Professional Appraisal Practice.
- This appraisal report was prepared in accordance with the requirements of Title XI of FIRREA and any implementing regulations.

PRIOR SERVICES

- [x] I have NOT performed services, as an appraiser or in any other capacity, regarding the property that is the subject of this report within the three-year period immediately preceding acceptance of this assignment.
- [ ] I HAVE performed services, as an appraiser or in another capacity, regarding the property that is the subject of this report within the three-year period immediately preceding acceptance of this assignment. Those services are described in the comments below.

PROPERTY INSPECTION

- [ ] I have NOT made a personal inspection of the property that is the subject of this report.
- [x] I HAVE made a personal inspection of the property that is the subject of this report.

APPRAISAL ASSISTANCE

Unless otherwise noted, no one provided significant real property appraisal assistance to the person signing this certification. If anyone did provide significant assistance, they are hereby identified along with a summary of the extent of the assistance provided in the report.

N/A

ADDITIONAL COMMENTS

Additional USPAP related issues requiring disclosure and/or any state mandated requirements: N/A

MARKETING TIME AND EXPOSURE TIME FOR THE SUBJECT PROPERTY

- [x] A reasonable marketing time for the subject property is 30 day(s) utilizing market conditions pertinent to the appraisal assignment.
- [x] A reasonable exposure time for the subject property is 30-60 day(s).

esign.alamode.com/verify Serial: 0BF66656

APPRAISER		SUPERVISORY APPRAISER (ONLY IF REQUIRED)	
Signature	Sarah Gunter	Signature	
Name	Sarah Gunter	Name	
Date of Signature	04/20/2026	Date of Signature	
State Certification #		State Certification #	
or State License #	1203078360	or State License #	
State	MI	State	
Expiration Date of Certification or License	07/31/2027	Expiration Date of Certification or License	
Effective Date of Appraisal	04/19/2026	Supervisory Appraiser Inspection of Subject Property	☐ Did Not ☐ Exterior-only from Street ☐ Interior and Exterior

Form ID20EC - "TOTAL" appraisal software by a la mode, inc. - 1-800-ALAMODE

Serial# 0BF66656
esign.alamode.com/verify

Building Sketch

Borrower	Robert Roncelli						
Property Address	8234 E Pearson						
City	Shelby Township	County	Macomb	State	MI	Zip Code	48316
Lender/Client	The Loan Store, Inc.						

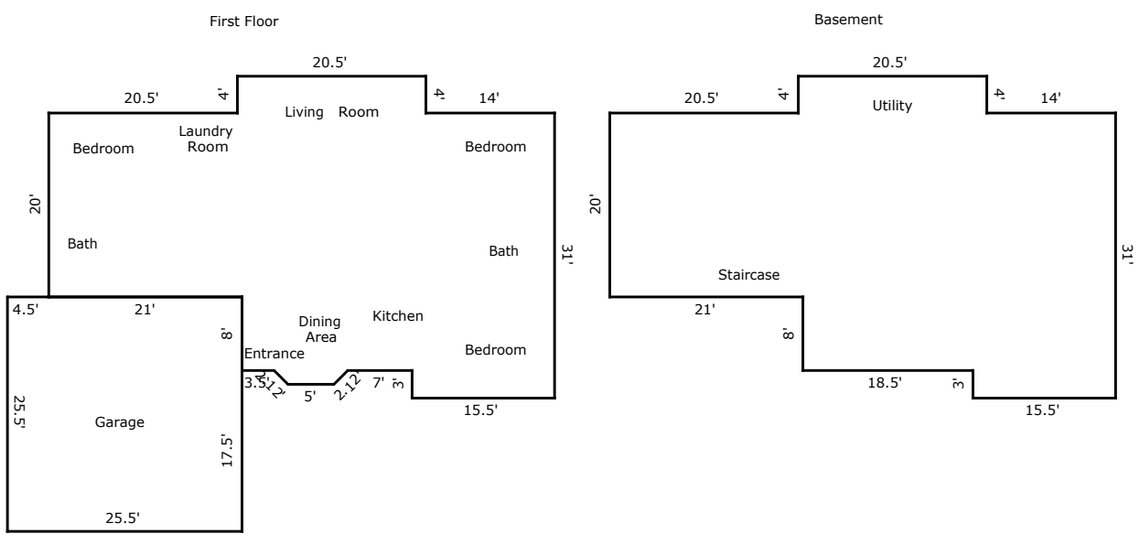

TOTAL Sketch by a la mode

Area Calculations Summary

Living Area		**Calculation Details**		
First Floor	1510.25 Sq ft	20.5 × 4	=	82
		0.5 × 1.5 × 1.5	=	1.12
		0.5 × 1.5 × 1.5	=	1.12
		5 × 1.5	=	7.5
		20 × 21	=	420
		34 × 28	=	952
		3 × 15.5	=	46.5
Total Living Area (Rounded):	**1510 Sq ft**			
Non-living Area				
2 Car Attached	650.25 Sq ft	25.5 × 25.5	=	650.25
Basement	1500.5 Sq ft	20.5 × 4	=	82
		20 × 21	=	420
		34 × 28	=	952
		3 × 15.5	=	46.5

Form SKT.BLDSKI - "TOTAL" appraisal software by a la mode, inc. - 1-800-ALAMODE

Serial# 0BF66656
esign.alamode.com/verify

Aerial Map

Borrower	Robert Roncelli						
Property Address	8234 E Pearson						
City	Shelby Township	County	Macomb	State	MI	Zip Code	48316
Lender/Client	The Loan Store, Inc.						

Serial# 0BF66656
esign.alamode.com/verify

Location Map

Borrower	Robert Roncelli						
Property Address	8234 E Pearson						
City	Shelby Township	County	Macomb	State	MI	Zip Code	48316
Lender/Client	The Loan Store, Inc.						

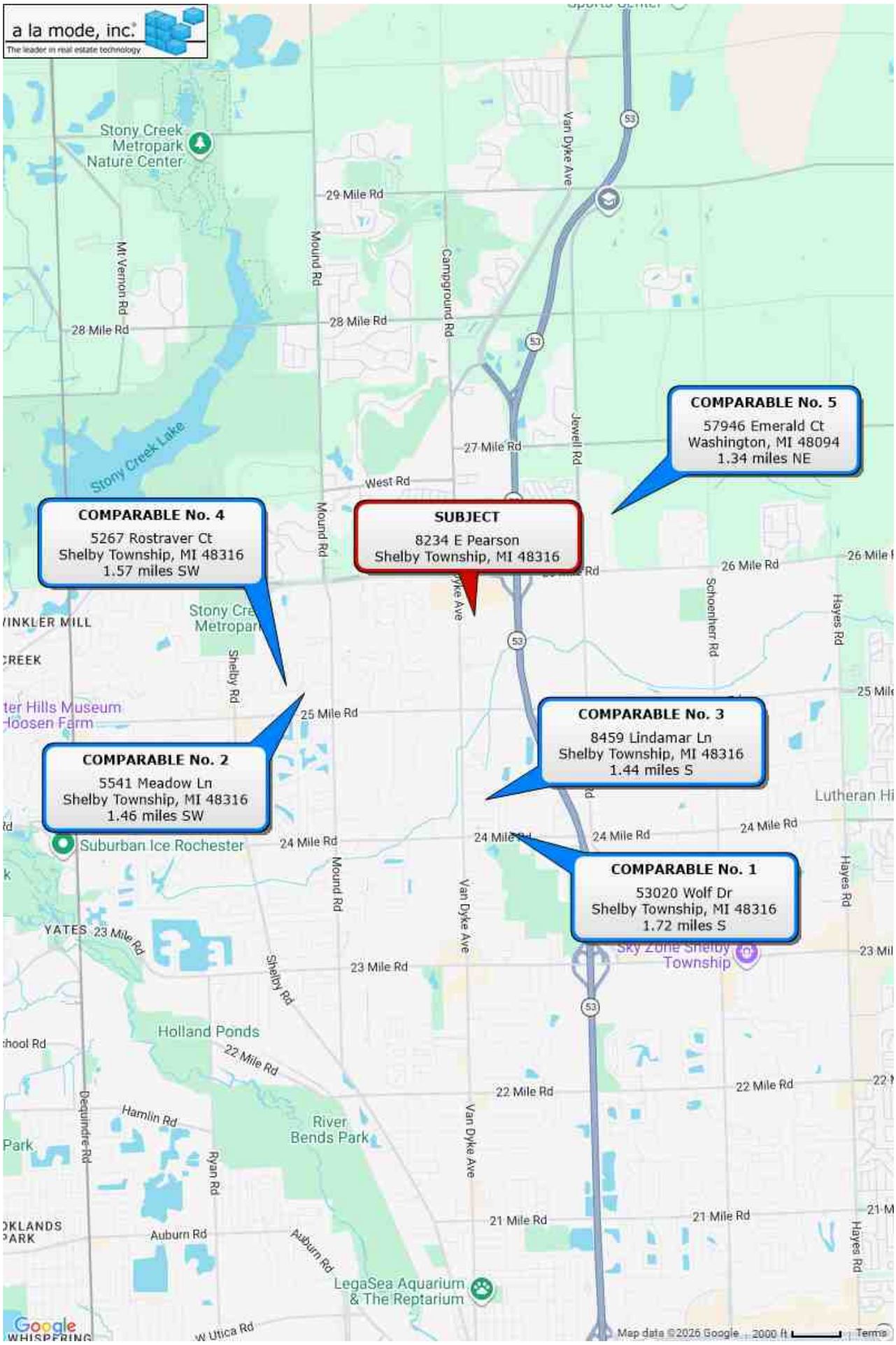

Serial# 0BF66656
esign.alamode.com/verify

Subject Photo Page

Borrower	Robert Roncelli						
Property Address	8234 E Pearson						
City	Shelby Township	County	Macomb	State	MI	Zip Code	48316
Lender/Client	The Loan Store, Inc.						

Subject Front

8234 E Pearson

Sales Price	411,000
Gross Living Area	1,510
Total Rooms	5
Total Bedrooms	3
Total Bathrooms	2.0
Location	N;Res;
View	N;Res;
Site	16880 sf
Quality	Q4
Age	38

Subject Rear



Subject Street

Serial# 0BF66656
esign.alamode.com/verify

Photograph Addendum

Borrower	Robert Roncelli						
Property Address	8234 E Pearson						
City	Shelby Township	County	Macomb	State	MI	Zip Code	48316
Lender/Client	The Loan Store, Inc.						

Subject side

Subject side

Entrance

Dining Area



Kitchen

Living Room

Serial# 0BF66656
esign.alamode.com/verify

Photograph Addendum

Borrower	Robert Roncelli						
Property Address	8234 E Pearson						
City	Shelby Township	County	Macomb	State	MI	Zip Code	48316
Lender/Client	The Loan Store, Inc.						



Garage Interior

Bathroom

Smoke Detector

Bedroom

Laundry Room



Bedroom

Serial# 0BF66656
esign.alamode.com/verify

Photograph Addendum

Borrower	Robert Roncelli						
Property Address	8234 E Pearson						
City	Shelby Township	County	Macomb	State	MI	Zip Code	48316
Lender/Client	The Loan Store, Inc.						



Bathroom



Bedroom

Basement

Circuit Breaker



Water Heater/Furnace

Subject yard

Serial# 0BF66656
esign.alamode.com/verify

Photograph Addendum

Borrower	Robert Roncelli						
Property Address	8234 E Pearson						
City	Shelby Township	County	Macomb	State	MI	Zip Code	48316
Lender/Client	The Loan Store, Inc.						

Central Air Unit

Serial# 0BF66656
esign.alamode.com/verify

Comparable Photo Page

Borrower	Robert Roncelli						
Property Address	8234 E Pearson						
City	Shelby Township	County	Macomb	State	MI	Zip Code	48316
Lender/Client	The Loan Store, Inc.						

Comparable 1

53020 Wolf Dr

Prox. to Subject	1.72 miles S
Sales Price	430,000
Gross Living Area	1,708
Total Rooms	5
Total Bedrooms	3
Total Bathrooms	2.0
Location	N;Res;
View	N;Res;
Site	11326 sf
Quality	Q4
Age	36

Comparable 2

5541 Meadow Ln

Prox. to Subject	1.46 miles SW
Sales Price	400,000
Gross Living Area	1,665
Total Rooms	6
Total Bedrooms	3
Total Bathrooms	1.1
Location	N;Res;
View	N;Res;
Site	10454 sf
Quality	Q4
Age	55

Comparable 3

8459 Lindamar Ln

Prox. to Subject	1.44 miles S
Sales Price	455,000
Gross Living Area	1,638
Total Rooms	5
Total Bedrooms	3
Total Bathrooms	2.1
Location	N;Res;
View	N;Res;
Site	10716 sf
Quality	Q4
Age	26

Sarah Hunter

Serial# 0BF66656
esign.alamode.com/verify

Comparable Photo Page

Borrower	Robert Roncelli						
Property Address	8234 E Pearson						
City	Shelby Township	County	Macomb	State	MI	Zip Code	48316
Lender/Client	The Loan Store, Inc.						

Comparable 4

5267 Rostraver Ct

Prox. to Subject	1.57 miles SW
Sales Price	400,000
Gross Living Area	1,708
Total Rooms	6
Total Bedrooms	3
Total Bathrooms	1.1
Location	N;Res;
View	N;Res;
Site	13939 sf
Quality	Q4
Age	55

Comparable 5

57946 Emerald Ct

Prox. to Subject	1.34 miles NE
Sales Price	430,000
Gross Living Area	1,683
Total Rooms	6
Total Bedrooms	3
Total Bathrooms	3.0
Location	N;Res;
View	N;Res;
Site	10019 sf
Quality	Q4
Age	33

Comparable 6

Prox. to Subject	
Sales Price	
Gross Living Area	
Total Rooms	
Total Bedrooms	
Total Bathrooms	
Location	
View	
Site	
Quality	
Age	

Serial# 0BF66656
esign.alamode.com/verify

UNIFORM APPRAISAL DATASET (UAD) DEFINITIONS ADDENDUM

(Source: Fannie Mae UAD Appendix D: UAD Field-Specific Standardization Requirements)

Condition Ratings and Definitions

C1

The improvements have been recently constructed and have not been previously occupied. The entire structure and all components are new and the dwelling features no physical depreciation.

Note: Newly constructed improvements that feature recycled or previously used materials and/or components can be considered new dwellings provided that the dwelling is placed on a 100 percent new foundation and the recycled materials and the recycled components have been rehabilitated/remanufactured into like-new condition. Improvements that have not been previously occupied are not considered “new” if they have any significant physical depreciation (that is, newly constructed dwellings that have been vacant for an extended period of time without adequate maintenance or upkeep).

C2

The improvements feature no deferred maintenance, little or no physical depreciation, and require no repairs. Virtually all building components are new or have been recently repaired, refinished, or rehabilitated. All outdated components and finishes have been updated and/or replaced with components that meet current standards. Dwellings in this category are either almost new or have been recently completely renovated and are similar in condition to new construction.

Note: The improvements represent a relatively new property that is well maintained with no deferred maintenance and little or no physical depreciation, or an older property that has been recently completely renovated.

C3

The improvements are well maintained and feature limited physical depreciation due to normal wear and tear. Some components, but not every major building component, may be updated or recently rehabilitated. The structure has been well maintained.

Note: The improvement is in its first-cycle of replacing short-lived building components (appliances, floor coverings, HVAC, etc.) and is being well maintained. Its estimated effective age is less than its actual age. It also may reflect a property in which the majority of short-lived building components have been replaced but not to the level of a complete renovation.

C4

The improvements feature some minor deferred maintenance and physical deterioration due to normal wear and tear. The dwelling has been adequately maintained and requires only minimal repairs to building components/mechanical systems and cosmetic repairs. All major building components have been adequately maintained and are functionally adequate.

Note: The estimated effective age may be close to or equal to its actual age. It reflects a property in which some of the short-lived building components have been replaced, and some short-lived building components are at or near the end of their physical life expectancy; however, they still function adequately. Most minor repairs have been addressed on an ongoing basis resulting in an adequately maintained property.

C5

The improvements feature obvious deferred maintenance and are in need of some significant repairs. Some building components need repairs, rehabilitation, or updating. The functional utility and overall livability is somewhat diminished due to condition, but the dwelling remains useable and functional as a residence.

Note: Some significant repairs are needed to the improvements due to the lack of adequate maintenance. It reflects a property in which many of its short-lived building components are at the end of or have exceeded their physical life expectancy but remain functional.

C6

The improvements have substantial damage or deferred maintenance with deficiencies or defects that are severe enough to affect the safety, soundness, or structural integrity of the improvements. The improvements are in need of substantial repairs and rehabilitation, including many or most major components.

Note: Substantial repairs are needed to the improvements due to the lack of adequate maintenance or property damage. It reflects a property with conditions severe enough to affect the safety, soundness, or structural integrity of the improvements.

Quality Ratings and Definitions

Q1

Dwellings with this quality rating are usually unique structures that are individually designed by an architect for a specified user. Such residences typically are constructed from detailed architectural plans and specifications and feature an exceptionally high level of workmanship and exceptionally high-grade materials throughout the interior and exterior of the structure. The design features exceptionally high-quality exterior refinements and ornamentation, and exceptionally high-quality interior refinements. The workmanship, materials, and finishes throughout the dwelling are of exceptionally high quality.

Q2

Dwellings with this quality rating are often custom designed for construction on an individual property owner’s site. However, dwellings in this quality grade are also found in high-quality tract developments featuring residence constructed from individual plans or from highly modified or upgraded plans. The design features detailed, high quality exterior ornamentation, high-quality interior refinements, and detail. The workmanship, materials, and finishes throughout the dwelling are generally of high or very high quality.

Serial# 0BF66656
esign.alamode.com/verify

UNIFORM APPRAISAL DATASET (UAD) DEFINITIONS ADDENDUM

(Source: Fannie Mae UAD Appendix D: UAD Field-Specific Standardization Requirements)

Quality Ratings and Definitions (continued)

Q3

Dwellings with this quality rating are residences of higher quality built from individual or readily available designer plans in above-standard residential tract developments or on an individual property owner's site. The design includes significant exterior ornamentation and interiors that are well finished. The workmanship exceeds acceptable standards and many materials and finishes throughout the dwelling have been upgraded from "stock" standards.

Q4

Dwellings with this quality rating meet or exceed the requirements of applicable building codes. Standard or modified standard building plans are utilized and the design includes adequate fenestration and some exterior ornamentation and interior refinements. Materials, workmanship, finish, and equipment are of stock or builder grade and may feature some upgrades.

Q5

Dwellings with this quality rating feature economy of construction and basic functionality as main considerations. Such dwellings feature a plain design using readily available or basic floor plans featuring minimal fenestration and basic finishes with minimal exterior ornamentation and limited interior detail. These dwellings meet minimum building codes and are constructed with inexpensive, stock materials with limited refinements and upgrades.

Q6

Dwellings with this quality rating are of basic quality and lower cost; some may not be suitable for year-round occupancy. Such dwellings are often built with simple plans or without plans, often utilizing the lowest quality building materials. Such dwellings are often built or expanded by persons who are professionally unskilled or possess only minimal construction skills. Electrical, plumbing, and other mechanical systems and equipment may be minimal or non-existent. Older dwellings may feature one or more substandard or non-conforming additions to the original structure

Definitions of Not Updated, Updated, and Remodeled

Not Updated

Little or no updating or modernization. This description includes, but is not limited to, new homes.

Residential properties of fifteen years of age or less often reflect an original condition with no updating, if no major components have been replaced or updated. Those over fifteen years of age are also considered not updated if the appliances, fixtures, and finishes are predominantly dated. An area that is 'Not Updated' may still be well maintained and fully functional, and this rating does not necessarily imply deferred maintenance or physical/functional deterioration.

Updated

The area of the home has been modified to meet current market expectations. These modifications are limited in terms of both scope and cost.

An updated area of the home should have an improved look and feel, or functional utility. Changes that constitute updates include refurbishment and/or replacing components to meet existing market expectations. Updates do not include significant alterations to the existing structure.

Remodeled

Significant finish and/or structural changes have been made that increase utility and appeal through complete replacement and/or expansion.

A remodeled area reflects fundamental changes that include multiple alterations. These alterations may include some or all of the following: replacement of a major component (cabinet(s), bathtub, or bathroom tile), relocation of plumbing/gas fixtures/appliances, significant structural alterations (relocating walls, and/or the addition of) square footage). This would include a complete gutting and rebuild.

Explanation of Bathroom Count

Three-quarter baths are counted as a full bath in all cases. Quarter baths (baths that feature only a toilet) are not included in the bathroom count. The number of full and half baths is reported by separating the two values using a period, where the full bath count is represented to the left of the period and the half bath count is represented to the right of the period.

Example:
3.2 indicates three full baths and two half baths.

Sarah Hunter

Serial# 0BF66656
esign.alamode.com/verify

UNIFORM APPRAISAL DATASET (UAD) DEFINITIONS ADDENDUM

(Source: Fannie Mae UAD Appendix D: UAD Field-Specific Standardization Requirements)

Abbreviations Used in Data Standardization Text

Abbreviation	Full Name	Fields Where This Abbreviation May Appear
A	Adverse	Location & View
ac	Acres	Area, Site
AdjPrk	Adjacent to Park	Location
AdjPwr	Adjacent to Power Lines	Location
ArmLth	Arms Length Sale	Sale or Financing Concessions
AT	Attached Structure	Design (Style)
B	Beneficial	Location & View
ba	Bathroom(s)	Basement & Finished Rooms Below Grade
br	Bedroom	Basement & Finished Rooms Below Grade
BsyRd	Busy Road	Location
c	Contracted Date	Date of Sale/Time
Cash	Cash	Sale or Financing Concessions
Comm	Commercial Influence	Location
Conv	Conventional	Sale or Financing Concessions
cp	Carport	Garage/Carport
CrtOrd	Court Ordered Sale	Sale or Financing Concessions
CtySky	City View Skyline View	View
CtyStr	City Street View	View
cv	Covered	Garage/Carport
DOM	Days On Market	Data Sources
DT	Detached Structure	Design (Style)
dw	Driveway	Garage/Carport
e	Expiration Date	Date of Sale/Time
Estate	Estate Sale	Sale or Financing Concessions
FHA	Federal Housing Authority	Sale or Financing Concessions
g	Garage	Garage/Carport
ga	Attached Garage	Garage/Carport
gbi	Built-in Garage	Garage/Carport
gd	Detached Garage	Garage/Carport
GlfCse	Golf Course	Location
Glfvw	Golf Course View	View
GR	Garden	Design (Style)
HR	High Rise	Design (Style)
in	Interior Only Stairs	Basement & Finished Rooms Below Grade
Ind	Industrial	Location & View
Listing	Listing	Sale or Financing Concessions
Lndfl	Landfill	Location
LtdSght	Limited Sight	View
MR	Mid-rise	Design (Style)
Mtn	Mountain View	View
N	Neutral	Location & View
NonArm	Non-Arms Length Sale	Sale or Financing Concessions
o	Other	Basement & Finished Rooms Below Grade
O	Other	Design (Style)
op	Open	Garage/Carport
Prk	Park View	View
Pstrl	Pastoral View	View
PwrLn	Power Lines	View
PubTrn	Public Transportation	Location
Relo	Relocation Sale	Sale or Financing Concessions
REO	REO Sale	Sale or Financing Concessions
Res	Residential	Location & View
RH	USDA - Rural Housing	Sale or Financing Concessions
rr	Recreational (Rec) Room	Basement & Finished Rooms Below Grade
RT	Row or Townhouse	Design (Style)
s	Settlement Date	Date of Sale/Time
SD	Semi-detached Structure	Design (Style)
Short	Short Sale	Sale or Financing Concessions
sf	Square Feet	Area, Site, Basement
sqm	Square Meters	Area, Site
Unk	Unknown	Date of Sale/Time
VA	Veterans Administration	Sale or Financing Concessions
w	Withdrawn Date	Date of Sale/Time
wo	Walk Out Basement	Basement & Finished Rooms Below Grade
Woods	Woods View	View
Wtr	Water View	View
WtrFr	Water Frontage	Location
wu	Walk Up Basement	Basement & Finished Rooms Below Grade

Serial# 0BF66656
esign.alamode.com/verify

License

R346143

GRETCHEN WHITMER
GOVERNOR

STATE OF MICHIGAN
DEPARTMENT OF LICENSING AND REGULATORY AFFAIRS
BUREAU OF PROFESSIONAL LICENSING
STATE LICENSED REAL ESTATE APPRAISER LICENSE

SARAH KAY GUNTER

LICENSE NO-
1203078360

EXPIRATION DATE
07/31/2027

25152040601

THIS DOCUMENT IS DULY ISSUED UNDER THE LAWS OF THE STATE OF MICHIGAN

Sarah Gunter

Serial# 0BF66656
esign.alamode.com/verify

ACORD®

CERTIFICATE OF LIABILITY INSURANCE

DATE (MM/DD/YYYY): 07/01/2025

THIS CERTIFICATE IS ISSUED AS A MATTER OF INFORMATION ONLY AND CONFERS NO RIGHTS UPON THE CERTIFICATE HOLDER. THIS CERTIFICATE DOES NOT AFFIRMATIVELY OR NEGATIVELY AMEND, EXTEND OR ALTER THE COVERAGE AFFORDED BY THE POLICIES BELOW. THIS CERTIFICATE OF INSURANCE DOES NOT CONSTITUTE A CONTRACT BETWEEN THE ISSUING INSURER(S), AUTHORIZED REPRESENTATIVE OR PRODUCER, AND THE CERTIFICATE HOLDER.

IMPORTANT: If the certificate holder is an ADDITIONAL INSURED, the policy(ies) must have ADDITIONAL INSURED provisions or be endorsed. If SUBROGATION IS WAIVED, subject to the terms and conditions of the policy, certain policies may require an endorsement. A statement on this certificate does not confer rights to the certificate holder in lieu of such endorsement(s).

PRODUCER
Norman-Spencer Agency, LLC
10050 Innovation Drive, Suite 340
Miamisburg, OH 45342

CONTACT NAME: Susan Lomeli
PHONE (A/C, No, Ext): 805-331-6981 FAX (A/C, No):
E-MAIL ADDRESS: susanlomeli@norman-spencer.com

INSURER(S) AFFORDING COVERAGE	NAIC #
INSURER A: The Hanover Atlantic Insurance Company, LTD	N/A
INSURER B:	
INSURER C:	
INSURER D:	
INSURER E:	
INSURER F:	

INSURED
MARRCH Valuations LLC
6304 ORCHARD LAKE RD
W BLOOMFIELD, MI 48322

COVERAGES **CERTIFICATE NUMBER:** **REVISION NUMBER:**

THIS IS TO CERTIFY THAT THE POLICIES OF INSURANCE LISTED BELOW HAVE BEEN ISSUED TO THE INSURED NAMED ABOVE FOR THE POLICY PERIOD INDICATED. NOTWITHSTANDING ANY REQUIREMENT, TERM OR CONDITION OF ANY CONTRACT OR OTHER DOCUMENT WITH RESPECT TO WHICH THIS CERTIFICATE MAY BE ISSUED OR MAY PERTAIN, THE INSURANCE AFFORDED BY THE POLICIES DESCRIBED HEREIN IS SUBJECT TO ALL THE TERMS, EXCLUSIONS AND CONDITIONS OF SUCH POLICIES. LIMITS SHOWN MAY HAVE BEEN REDUCED BY PAID CLAIMS.

INSR LTR	TYPE OF INSURANCE	ADDL INSD	SUBR WVD	POLICY NUMBER	POLICY EFF (MM/DD/YYYY)	POLICY EXP (MM/DD/YYYY)	LIMITS	
	COMMERCIAL GENERAL LIABILITY						EACH OCCURRENCE	$
	CLAIMS-MADE / OCCUR						DAMAGE TO RENTED PREMISES (Ea occurrence)	$
							MED EXP (Any one person)	$
							PERSONAL & ADV INJURY	$
	GEN'L AGGREGATE LIMIT APPLIES PER:						GENERAL AGGREGATE	$
	POLICY / PRO-JECT / LOC						PRODUCTS - COMP/OP AGG	$
	OTHER:							$
	AUTOMOBILE LIABILITY						COMBINED SINGLE LIMIT (Ea accident)	$
	ANY AUTO						BODILY INJURY (Per person)	$
	OWNED AUTOS ONLY / SCHEDULED AUTOS						BODILY INJURY (Per accident)	$
	HIRED AUTOS ONLY / NON-OWNED AUTOS ONLY						PROPERTY DAMAGE (Per accident)	$
								$
	UMBRELLA LIAB / OCCUR						EACH OCCURRENCE	$
	EXCESS LIAB / CLAIMS-MADE						AGGREGATE	$
	DED / RETENTION $							$
	WORKERS COMPENSATION AND EMPLOYERS' LIABILITY						PER STATUTE / OTH-ER	
	ANY PROPRIETOR/PARTNER/EXECUTIVE OFFICER/MEMBER EXCLUDED? Y / N (Mandatory in NH)	N / A					E.L. EACH ACCIDENT	$
	If yes, describe under DESCRIPTION OF OPERATIONS below						E.L. DISEASE - EA EMPLOYEE	$
							E.L. DISEASE - POLICY LIMIT	$
A	Errors & Omissions Claims-Made Policy			L3D-J468258-02	07/05/2025	07/05/2026	Per Claim Aggregate Deductible Retroactive Date	$1,000,000 $1,000,000 $2,500 07/05/2023

DESCRIPTION OF OPERATIONS / LOCATIONS / VEHICLES (ACORD 101, Additional Remarks Schedule, may be attached if more space is required)

The insurance afforded by the E&O policy applies solely to wrongful acts in the insured's performance of the following professional services for others for a fee:
Real Estate Appraisal Services

The following are insureds on the E&O policy: Adam Orr, Aidan Bourdo, Alpay Onder, James Waldrop, Kenny Ebinger, Matthew D Gluck, Michael Orr, Randall J Thomas, Rick Davis, Sarah Gunter, Timothy T Beard

CERTIFICATE HOLDER

Evidence of Insurance

CANCELLATION

SHOULD ANY OF THE ABOVE DESCRIBED POLICIES BE CANCELLED BEFORE THE EXPIRATION DATE THEREOF, NOTICE WILL BE DELIVERED IN ACCORDANCE WITH THE POLICY PROVISIONS.

AUTHORIZED REPRESENTATIVE

© 1988-2016 ACORD CORPORATION. All rights reserved.

ACORD 25 (2016/03) The ACORD name and logo are registered marks of ACORD

Serial# 0BF66656
esign.alamode.com/verify