Borrower	See attached addenda.					File No.	25-0335081
Property Address	25126 N Jack Tone Rd						
City	Acampo	County	San Joaquin	State	CA	Zip Code	95220
Lender/Client	United American Mortgage Corporation						

TABLE OF CONTENTS

URAR 1
URAR 2
Additional Comparables 4-6 3
URAR 4
URAR 5
URAR 6
URAR 7
Supplemental Addendum 8
Scanned Document 11
Subject Photos 12
Interior Photos 13
Interior Photos 14
Interior Photos 15
Comparable Photos 1-3 16
Comparable Photos 4-6 17
Photograph Addendum 18
Analytics Addendum 19
Analytics Addendum 20
Analytics Addendum 21
Market Conditions Addendum to the Appraisal Report 22
Plat Map 23
Building Sketch 24
Location Map 25
Location Map 26
Flood Map 27
USPAP Compliance 28
UAD Definitions Addendum 29
Scanned Document 32
Scanned Document 33

Serial# 452C540F
esign.alamode.com/verify

Uniform Residential Appraisal Report

File # 25-0335081

The purpose of this summary appraisal report is to provide the lender/client with an accurate, and adequately supported, opinion of the market value of the subject property.

SUBJECT

Property Address 25126 N Jack Tone Rd | City Acampo | State CA | Zip Code 95220
Borrower See attached addenda. | Owner of Public Record Kenneth E Bond, Marion J Bond | County San Joaquin
Legal Description SMALL FARMS TR MAP 6 PG 48 PART OF LOT 13
Assessor's Parcel # 021-041-13 | Tax Year 2024 | R.E. Taxes $ 487
Neighborhood Name Small Farms / Acampo | Map Reference TB/GIS | Census Tract 0047.03
Occupant ☐ Owner ☐ Tenant ☒ Vacant | Special Assessments $ 0 | ☐ PUD HOA $ 0 ☐ per year ☐ per month
Property Rights Appraised ☒ Fee Simple ☐ Leasehold ☐ Other (describe)
Assignment Type ☒ Purchase Transaction ☐ Refinance Transaction ☐ Other (describe)
Lender/Client United American Mortgage Corporation | Address 3198 Airport Loop Drive, Suite F, Costa Mesa, CA 92626
Is the subject property currently offered for sale or has it been offered for sale in the twelve months prior to the effective date of this appraisal? ☒ Yes ☐ No
Report data source(s) used, offering price(s), and date(s). DOM 0;The subject has not been publicly listed for sale within the last 12 month period, and has been offered between parties with an existing relationship (neighbors).

CONTRACT

I ☒ did ☐ did not analyze the contract for sale for the subject purchase transaction. Explain the results of the analysis of the contract for sale or why the analysis was not performed. Non-arms length sale;Per the appraiser's review, the contract is a typical CA RPA, with a purchase price of $300,000, and a contract date of 11/01/2025. There are no counter offers. This is a sale between neighbors, with an existing relationship. The sellers are Entity Sellers.
Contract Price $ 300,000 | Date of Contract 11/01/2025 | Is the property seller the owner of public record? ☒ Yes ☐ No | Data Source(s) County / Contract
Is there any financial assistance (loan charges, sale concessions, gift or downpayment assistance, etc.) to be paid by any party on behalf of the borrower? ☐ Yes ☒ No
If Yes, report the total dollar amount and describe the items to be paid. $0;;There is no financial assistance to be paid to the borrower.

NEIGHBORHOOD

Note: Race and the racial composition of the neighborhood are not appraisal factors.

Neighborhood Characteristics				One-Unit Housing Trends				One-Unit Housing			Present Land Use %	
Location	☐ Urban	☐ Suburban	☒ Rural	Property Values	☐ Increasing	☒ Stable	☐ Declining	PRICE		AGE	One-Unit	50 %
Built-Up	☐ Over 75%	☒ 25-75%	☐ Under 25%	Demand/Supply	☒ Shortage	☐ In Balance	☐ Over Supply	$ (000)		(yrs)	2-4 Unit	1 %
Growth	☐ Rapid	☐ Stable	☒ Slow	Marketing Time	☒ Under 3 mths	☐ 3-6 mths	☐ Over 6 mths	340	Low	22	Multi-Family	1 %
								780	High	120	Commercial	3 %
								525	Pred.	102	Other	45 %

Neighborhood Boundaries Bound to the north by Liberty Rd, to the east by County Rd 88, to the south by Victor Rd, and to the west by CA Hwy 99.
Neighborhood Description See attached addenda.
Market Conditions (including support for the above conclusions) See attached addenda.

SITE

Dimensions See Plat Map (Not All Dimensions Listed) | Area 3.03 ac | Shape Rectangular | View N;Pstrl;
Specific Zoning Classification AL-5 | Zoning Description Agricultural (See attached addenda)
Zoning Compliance ☐ Legal ☒ Legal Nonconforming (Grandfathered Use) ☐ No Zoning ☐ Illegal (describe)
Is the highest and best use of subject property as improved (or as proposed per plans and specifications) the present use? ☒ Yes ☐ No If No, describe See attached addenda.

Utilities	Public	Other (describe)		Public	Other (describe)	Off-site Improvements – Type		Public	Private
Electricity	☒	☐	Water	☒	☐	Street	Asphalt	☒	☐
Gas	☒	☐	Sanitary Sewer	☒	☐	Alley	None	☐	☐

FEMA Special Flood Hazard Area ☐ Yes ☒ No | FEMA Flood Zone X | FEMA Map # 06077C0185G | FEMA Map Date 10/20/2016
Are the utilities and off-site improvements typical for the market area? ☒ Yes ☐ No If No, describe
Are there any adverse site conditions or external factors (easements, encroachments, environmental conditions, land uses, etc.)? ☐ Yes ☒ No If Yes, describe
See attached addenda.

IMPROVEMENTS

General Description		Foundation		Exterior Description	materials/condition	Interior	materials/condition
Units	☒ One ☐ One with Accessory Unit	☒ Concrete Slab	☐ Crawl Space	Foundation Walls	Slab/Avg	Floors	Lmnt,Crpt/Fair
# of Stories	1	☐ Full Basement	☐ Partial Basement	Exterior Walls	Wood/Avg	Walls	Drywall/Avg
Type	☒ Det. ☐ Att. ☐ S-Det./End Unit	Basement Area	0 sq.ft.	Roof Surface	Comp/Avg	Trim/Finish	Wood/Avg
☒ Existing	☐ Proposed ☐ Under Const.	Basement Finish	0 %	Gutters & Downspouts	Metal/Avg	Bath Floor	Tile/Fair
Design (Style)	Ranch	☐ Outside Entry/Exit	☐ Sump Pump	Window Type	Dual Pane/Avg	Bath Wainscot	Fiberglass/Avg
Year Built	1952	Evidence of ☐ Infestation		Storm Sash/Insulated	None/None	Car Storage	☐ None
Effective Age (Yrs)	40	☐ Dampness	☐ Settlement	Screens	Mesh/Avg	☒ Driveway	# of Cars 2
Attic	☐ None	Heating ☒ FWA	☐ HWBB ☐ Radiant	Amenities	☐ Woodstove(s) # 0	Driveway Surface	Gravel
☐ Drop Stair	☐ Stairs	☐ Other	Fuel Gas	☐ Fireplace(s) # 0	☒ Fence Wood,Mtl	☐ Garage	# of Cars 0
☐ Floor	☒ Scuttle	Cooling ☒ Central Air Conditioning		☒ Patio/Deck Deck	☒ Porch Porch	☐ Carport	# of Cars 0
☐ Finished	☐ Heated	☐ Individual	☐ Other	☐ Pool None	☐ Other None	☐ Att.	☐ Det. ☐ Built-in

Appliances ☒ Refrigerator ☒ Range/Oven ☒ Dishwasher ☐ Disposal ☐ Microwave ☐ Washer/Dryer ☐ Other (describe)
Finished area **above** grade contains: 5 Rooms 2 Bedrooms 1.0 Bath(s) 942 Square Feet of Gross Living Area Above Grade
Additional features (special energy efficient items, etc.). Measurement complies with the ANSI standard.
Describe the condition of the property (including needed repairs, deterioration, renovations, remodeling, etc.). C5;No updates in the prior 15 years;**See attached addenda.**
Are there any physical deficiencies or adverse conditions that affect the livability, soundness, or structural integrity of the property? ☐ Yes ☒ No If Yes, describe
Does the property generally conform to the neighborhood (functional utility, style, condition, use, construction, etc.)? ☒ Yes ☐ No If No, describe

Form 1004UAD - "TOTAL" appraisal software by a la mode, inc. - 1-800-ALAMODE
Serial# 452C540F
esign.alamode.com/verify

Uniform Residential Appraisal Report

File # 25-0335081

There are 0 comparable properties currently offered for sale in the subject neighborhood ranging in price from $ 0 to $ 0 .

There are 4 comparable sales in the subject neighborhood within the past twelve months ranging in sale price from $ 490,000 to $ 780,000 .

SALES COMPARISON APPROACH

FEATURE	SUBJECT	COMPARABLE SALE # 1		COMPARABLE SALE # 2		COMPARABLE SALE # 3	
Address	25126 N Jack Tone Rd Acampo, CA 95220	23707 N Graham Rd Acampo, CA 95220		25362 N Highway 99 Acampo, CA 95220		25055 N Watkinson Rd Acampo, CA 95220	
Proximity to Subject		1.03 miles SW		6.30 miles W		0.46 miles E	
Sale Price	$ 300,000		$ 475,000		$ 340,000		$ 685,000
Sale Price/Gross Liv. Area	$ 318.47 sq.ft.	$ 463.41 sq.ft.		$ 349.79 sq.ft.		$ 503.68 sq.ft.	
Data Source(s)		SACM#225055120;DOM 14		SACM#224069040;DOM 6		SACM#224079656;DOM 27	
Verification Source(s)		Doc#56640		Doc#58905		Doc#80617	
VALUE ADJUSTMENTS	DESCRIPTION	DESCRIPTION	+(-) $ Adjustment	DESCRIPTION	+(-) $ Adjustment	DESCRIPTION	+(-) $ Adjustment
Sales or Financing Concessions		ArmLth Private;0		ArmLth Cash;0		ArmLth Conv;0	
Date of Sale/Time		s07/25;c06/25		s07/24;c06/24		s09/24;c08/24	
Location	N;Rural;	N;Rural;		N;Res;A;Hwy;	+40,000	N;Rural;	
Leasehold/Fee Simple	Fee Simple	Fee Simple		Fee Simple		Fee Simple	
Site	3.03 ac	4.92 ac	-30,000	34412 sf	+30,000	4.88 ac	-30,000
View	N;Pstrl;	N;Pstrl;		N;Res;Pstrl	0	N;Pstrl;	
Design (Style)	DT1;Ranch	DT1;Ranch		DT1;Bungalow	0	DT1;Ranch	
Quality of Construction	Q4	Q4		Q5	0	Q4	
Actual Age	73	107	0	57	0	53	0
Condition	C5	C4	-80,000	C5		C4	-80,000
Above Grade Room Count (Total / Bdrms. / Baths)	5 / 2 / 1.0	3 / 1 / 1.0	+20,000	4 / 2 / 1.0	0	6 / 3 / 1.1	-20,000
Gross Living Area	942 sq.ft.	1,025 sq.ft.	0	972 sq.ft.	0	1,360 sq.ft.	-5,000
Basement & Finished Rooms Below Grade	0sf	0sf		0sf		0sf	-41,800
Functional Utility	Typical	Typical		Typical		Typical	
Heating/Cooling	FWA/CAC	Wall/Window	+10,000	Wall/Window	+10,000	FWA/CAC	
Energy Efficient Items	None	None		None		None	
Garage/Carport	2dw	2ga3cp	-20,000	4dw	0	2gd5dw	-20,000
Porch/Patio/Deck	Porch/Deck	Porch/Patio	0	Porch/Patio	0	Porch/Patio	0
Pool/Other	Barn	None	0	None	0	Workshop	-20,000
Updating	"Fixer"/Dmgd.	Similar	0	"Fixer"/Similar	0	Min. Superior	-25,000
Listing Price	N/A	$475,000	0	$339,000	0	$719,000	0
Net Adjustment (Total)		☐ + ☒ -	$ -100,000	☒ + ☐ -	$ 80,000	☐ + ☒ -	$ -241,800
Adjusted Sale Price of Comparables		Net Adj. 21.1 % Gross Adj. 33.7 %	$ 375,000	Net Adj. 23.5 % Gross Adj. 23.5 %	$ 420,000	Net Adj. 35.3 % Gross Adj. 35.3 %	$ 443,200

I ☒ did ☐ did not research the sale or transfer history of the subject property and comparable sales. If not, explain

My research ☐ did ☒ did not reveal any prior sales or transfers of the subject property for the three years prior to the effective date of this appraisal.

Data Source(s) County Records, MLS

My research ☒ did ☐ did not reveal any prior sales or transfers of the comparable sales for the year prior to the date of sale of the comparable sale.

Data Source(s) County Records, MLS

Report the results of the research and analysis of the prior sale or transfer history of the subject property and comparable sales (report additional prior sales on page 3).

ITEM	SUBJECT	COMPARABLE SALE #1	COMPARABLE SALE #2	COMPARABLE SALE #3
Date of Prior Sale/Transfer				
Price of Prior Sale/Transfer				
Data Source(s)	CoreLogic Public Records	CoreLogic Public Records	CoreLogic Public Records	CoreLogic Public Records
Effective Date of Data Source(s)	12/15/2025	12/15/2025	12/15/2025	12/15/2025

Analysis of prior sale or transfer history of the subject property and comparable sales The Comparables used in this report appear to be typical, arms length sales transactions. The neighborhoods are mainly owner occupied, with some investment properties. Comparable 5 had a prior nominal transfer, which has no impact on marketability. Comparable 6 had a prior typical arms length sale, which is included as Comparable 1 is this report. The property was updated between the sale of Comparable 1 and the listing of Comparable 6.

Summary of Sales Comparison Approach See Attached Addenda, which includes the Reconciliation. The Sales Comparison approach is given the most consideration, as it best represents the motivations of buyers and sellers in the market. The Cost and Income approaches were considered; however, these approaches are not considered to be as reliable and/or applicable within this market (specifically including properties that are generally similar to the subject), and have not been developed. Please see UAD dataset definitions for the adjustments in the grid and the definitions therefore determined.

Indicated Value by Sales Comparison Approach $ 385,000

RECONCILIATION

Indicated Value by: Sales Comparison Approach $ 385,000 **Cost Approach (if developed) $** **Income Approach (if developed) $**

See attached addenda.

This appraisal is made ☒ "as is", ☐ subject to completion per plans and specifications on the basis of a hypothetical condition that the improvements have been completed, ☐ subject to the following repairs or alterations on the basis of a hypothetical condition that the repairs or alterations have been completed, or ☐ subject to the following required inspection based on the extraordinary assumption that the condition or deficiency does not require alteration or repair: **As Is - See attached addenda for multiple Extraordinary Assumptions made in development of this report.**

Based on a complete visual inspection of the interior and exterior areas of the subject property, defined scope of work, statement of assumptions and limiting conditions, and appraiser's certification, my (our) opinion of the market value, as defined, of the real property that is the subject of this report is $ 385,000 **, as of** 12/12/2025 **, which is the date of inspection and the effective date of this appraisal.**

Form 1004UAD - "TOTAL" appraisal software by a la mode, inc. - 1-800-ALAMODE

Serial# 452C540F
esign.alamode.com/verify

Uniform Residential Appraisal Report

File # 25-0335081

SALES COMPARISON APPROACH

FEATURE	SUBJECT	COMPARABLE SALE # 4		COMPARABLE SALE # 5		COMPARABLE SALE # 6	
Address	25126 N Jack Tone Rd Acampo, CA 95220	19497 E Collier Rd Clements, CA 95227		5860 E Jahant Rd Galt, CA 95632		23707 N Graham Rd Acampo, CA 95220	
Proximity to Subject		3.96 miles E		5.20 miles W		1.03 miles SW	
Sale Price	$ 300,000		$ 706,500		$ 638,800		$ 525,000
Sale Price/Gross Liv. Area	$ 318.47 sq.ft.	$ 489.60 sq.ft.		$ 542.74 sq.ft.		$ 512.20 sq.ft.	
Data Source(s)		SACM#225074169;DOM 38		SACM#225140072;DOM 6		SACM#225143168;DOM 5	
Verification Source(s)		Doc#65609		Exterior Inspection		Exterior Inspection	
VALUE ADJUSTMENTS	DESCRIPTION	DESCRIPTION	+(-) $ Adjustment	DESCRIPTION	+(-) $ Adjustment	DESCRIPTION	+(-) $ Adjustment
Sales or Financing Concessions		ArmLth Conv;0		Listing		Listing	
Date of Sale/Time		s08/25;c07/25		c11/25		c11/25	
Location	N;Rural;	N;Rural;		N;Rural;		N;Rural;	
Leasehold/Fee Simple	Fee Simple	Fee Simple		Fee Simple		Fee Simple	
Site	3.03 ac	6.52 ac	-30,000	1.00 ac	+30,000	4.92 ac	0
View	N;Pstrl;	N;Pstrl;		N;Pstrl;		N;Res;	0
Design (Style)	DT1;Ranch	DT1;Ranch		DT1;Ranch		DT1;Ranch	
Quality of Construction	Q4	Q4		Q4		Q4	
Actual Age	73	61	0	60	0	107	0
Condition	C5	C4	-80,000	C4	-80,000	C3	-80,000
Above Grade Room Count (Total / Bdrms. / Baths)	5 / 2 / 1.0	6 / 3 / 3.0	-20,000	5 / 2 / 2.0	-10,000	4 / 1 / 1.0	+20,000 / 0
Gross Living Area	942 sq.ft.	1,443 sq.ft.	-50,100	1,177 sq.ft.	-23,500	1,025 sq.ft.	0
Basement & Finished Rooms Below Grade	0sf	0sf		0sf		0sf	
Functional Utility	Typical	Typical		Typical		Typical	
Heating/Cooling	FWA/CAC	FWA/CAC		FWA/CAC		Wall/Window	+10,000
Energy Efficient Items	None	None		None		None	
Garage/Carport	2dw	2cp4dw	0	2ga1cp	-20,000	2ga3cp	-20,000
Porch/Patio/Deck	Porch/Deck	Porch/Deck		Porch/Patio	0	Similar	0
Pool/Other	Barn	Built-In	-30,000	Workshop	-20,000	None	0
Updating	"Fixer"/Dmgd.	Min. Superior	-25,000	Similar	0	Rec. Updating	-40,000
Listing Price	N/A	$750,000	0	$638,800	0	$525,000	0
Net Adjustment (Total)		☐ + ☒ -	$ -255,100	☐ + ☒ -	$ -123,500	☐ + ☒ -	$ -110,000
Adjusted Sale Price of Comparables		Net Adj. 36.1 % Gross Adj. 36.1 %	$ 451,400	Net Adj. 19.3 % Gross Adj. 28.7 %	$ 515,300	Net Adj. 21.0 % Gross Adj. 32.4 %	$ 415,000

SALE HISTORY

Report the results of the research and analysis of the prior sale or transfer history of the subject property and comparable sales (report additional prior sales on page 3).

ITEM	SUBJECT	COMPARABLE SALE # 4	COMPARABLE SALE # 5	COMPARABLE SALE # 6
Date of Prior Sale/Transfer			10/28/2025	07/25/2025
Price of Prior Sale/Transfer			$0	$475,000
Data Source(s)	CoreLogic Public Records	CoreLogic Public Records	CoreLogic Public Records	CoreLogic Public Records
Effective Date of Data Source(s)	12/15/2025	12/15/2025	12/15/2025	12/15/2025

Analysis of prior sale or transfer history of the subject property and comparable sales

ANALYSIS / COMMENTS

Analysis/Comments See attached addenda.

Form 1004UAD.(AC) - "TOTAL" appraisal software by a la mode, inc. - 1-800-ALAMODE

Serial# 452C540F
esign.alamode.com/verify

ADDITIONAL COMMENTS

To the best of my knowledge and belief, the inspection revealed no indication of significant physical damage to the property or needed repairs due to and recent natural disaster.

Digital signatures are used in this report, developed from an original signature. Furthermore, the digital signature is created and held by a third party who handles the security and creation for the signature for security reasons. The signature is also password protected.

Per FNMA guidelines, this report includes the standardized the definitions of "neighborhood" and "market area." Neighborhood is defined as "a congruous group of complementary land uses" and market area is "the geographic region, for a subject property, from which most demand comes and in which most of the competition is located."

COST APPROACH

COST APPROACH TO VALUE (not required by Fannie Mae)

Provide adequate information for the lender/client to replicate the below cost figures and calculations.

Support for the opinion of site value (summary of comparable land sales or other methods for estimating site value) See attached addenda.

ESTIMATED ☐ REPRODUCTION OR ☐ REPLACEMENT COST NEW	OPINION OF SITE VALUE			=$ 250,000
Source of cost data	DWELLING	Sq.Ft. @ $		=$
Quality rating from cost service Effective date of cost data		Sq.Ft. @ $		=$
Comments on Cost Approach (gross living area calculations, depreciation, etc.)				=$
	Garage/Carport	Sq.Ft. @ $		=$
	Total Estimate of Cost-New			=$
	Less Physical	Functional	External	
	Depreciation			=$( )
	Depreciated Cost of Improvements			=$
	"As-is" Value of Site Improvements			=$
Estimated Remaining Economic Life (HUD and VA only) 20 Years	**INDICATED VALUE BY COST APPROACH**			**=$**

INCOME

INCOME APPROACH TO VALUE (not required by Fannie Mae)

Estimated Monthly Market Rent $ X Gross Rent Multiplier = $ Indicated Value by Income Approach

Summary of Income Approach (including support for market rent and GRM)

PUD INFORMATION

PROJECT INFORMATION FOR PUDs (if applicable)

Is the developer/builder in control of the Homeowners' Association (HOA)? ☐ Yes ☐ No Unit type(s) ☐ Detached ☐ Attached

Provide the following information for PUDs ONLY if the developer/builder is in control of the HOA and the subject property is an attached dwelling unit.

Legal Name of Project

Total number of phases Total number of units Total number of units sold

Total number of units rented Total number of units for sale Data source(s)

Was the project created by the conversion of existing building(s) into a PUD? ☐ Yes ☐ No If Yes, date of conversion.

Does the project contain any multi-dwelling units? ☐ Yes ☐ No Data Source

Are the units, common elements, and recreation facilities complete? ☐ Yes ☐ No If No, describe the status of completion.

Are the common elements leased to or by the Homeowners' Association? ☐ Yes ☐ No If Yes, describe the rental terms and options.

Describe common elements and recreational facilities.

Form 1004UAD - "TOTAL" appraisal software by a la mode, inc. - 1-800-ALAMODE

Serial# 452C540F
esign.alamode.com/verify

This report form is designed to report an appraisal of a one-unit property or a one-unit property with an accessory unit; including a unit in a planned unit development (PUD). This report form is not designed to report an appraisal of a manufactured home or a unit in a condominium or cooperative project.

This appraisal report is subject to the following scope of work, intended use, intended user, definition of market value, statement of assumptions and limiting conditions, and certifications. Modifications, additions, or deletions to the intended use, intended user, definition of market value, or assumptions and limiting conditions are not permitted. The appraiser may expand the scope of work to include any additional research or analysis necessary based on the complexity of this appraisal assignment. Modifications or deletions to the certifications are also not permitted. However, additional certifications that do not constitute material alterations to this appraisal report, such as those required by law or those related to the appraiser's continuing education or membership in an appraisal organization, are permitted.

SCOPE OF WORK: The scope of work for this appraisal is defined by the complexity of this appraisal assignment and the reporting requirements of this appraisal report form, including the following definition of market value, statement of assumptions and limiting conditions, and certifications. The appraiser must, at a minimum: (1) perform a complete visual inspection of the interior and exterior areas of the subject property, (2) inspect the neighborhood, (3) inspect each of the comparable sales from at least the street, (4) research, verify, and analyze data from reliable public and/or private sources, and (5) report his or her analysis, opinions, and conclusions in this appraisal report.

INTENDED USE: The intended use of this appraisal report is for the lender/client to evaluate the property that is the subject of this appraisal for a mortgage finance transaction.

INTENDED USER: The intended user of this appraisal report is the lender/client.

DEFINITION OF MARKET VALUE: The most probable price which a property should bring in a competitive and open market under all conditions requisite to a fair sale, the buyer and seller, each acting prudently, knowledgeably and assuming the price is not affected by undue stimulus. Implicit in this definition is the consummation of a sale as of a specified date and the passing of title from seller to buyer under conditions whereby: (1) buyer and seller are typically motivated; (2) both parties are well informed or well advised, and each acting in what he or she considers his or her own best interest; (3) a reasonable time is allowed for exposure in the open market; (4) payment is made in terms of cash in U. S. dollars or in terms of financial arrangements comparable thereto; and (5) the price represents the normal consideration for the property sold unaffected by special or creative financing or sales concessions* granted by anyone associated with the sale.

*Adjustments to the comparables must be made for special or creative financing or sales concessions. No adjustments are necessary for those costs which are normally paid by sellers as a result of tradition or law in a market area; these costs are readily identifiable since the seller pays these costs in virtually all sales transactions. Special or creative financing adjustments can be made to the comparable property by comparisons to financing terms offered by a third party institutional lender that is not already involved in the property or transaction. Any adjustment should not be calculated on a mechanical dollar for dollar cost of the financing or concession but the dollar amount of any adjustment should approximate the market's reaction to the financing or concessions based on the appraiser's judgment.

STATEMENT OF ASSUMPTIONS AND LIMITING CONDITIONS: The appraiser's certification in this report is subject to the following assumptions and limiting conditions:

1. The appraiser will not be responsible for matters of a legal nature that affect either the property being appraised or the title to it, except for information that he or she became aware of during the research involved in performing this appraisal. The appraiser assumes that the title is good and marketable and will not render any opinions about the title.

2. The appraiser has provided a sketch in this appraisal report to show the approximate dimensions of the improvements. The sketch is included only to assist the reader in visualizing the property and understanding the appraiser's determination of its size.

3. The appraiser has examined the available flood maps that are provided by the Federal Emergency Management Agency (or other data sources) and has noted in this appraisal report whether any portion of the subject site is located in an identified Special Flood Hazard Area. Because the appraiser is not a surveyor, he or she makes no guarantees, express or implied, regarding this determination.

4. The appraiser will not give testimony or appear in court because he or she made an appraisal of the property in question, unless specific arrangements to do so have been made beforehand, or as otherwise required by law.

5. The appraiser has noted in this appraisal report any adverse conditions (such as needed repairs, deterioration, the presence of hazardous wastes, toxic substances, etc.) observed during the inspection of the subject property or that he or she became aware of during the research involved in performing the appraisal. Unless otherwise stated in this appraisal report, the appraiser has no knowledge of any hidden or unapparent physical deficiencies or adverse conditions of the property (such as, but not limited to, needed repairs, deterioration, the presence of hazardous wastes, toxic substances, adverse environmental conditions, etc.) that would make the property less valuable, and has assumed that there are no such conditions and makes no guarantees or warranties, express or implied. The appraiser will not be responsible for any such conditions that do exist or for any engineering or testing that might be required to discover whether such conditions exist. Because the appraiser is not an expert in the field of environmental hazards, this appraisal report must not be considered as an environmental assessment of the property.

6. The appraiser has based his or her appraisal report and valuation conclusion for an appraisal that is subject to satisfactory completion, repairs, or alterations on the assumption that the completion, repairs, or alterations of the subject property will be performed in a professional manner.

Form 1004UAD - "TOTAL" appraisal software by a la mode, inc. - 1-800-ALAMODE
Serial# 452C540F
esign.alamode.com/verify

APPRAISER'S CERTIFICATION: The Appraiser certifies and agrees that:

1. I have, at a minimum, developed and reported this appraisal in accordance with the scope of work requirements stated in this appraisal report.

2. I performed a complete visual inspection of the interior and exterior areas of the subject property. I reported the condition of the improvements in factual, specific terms. I identified and reported the physical deficiencies that could affect the livability, soundness, or structural integrity of the property.

3. I performed this appraisal in accordance with the requirements of the Uniform Standards of Professional Appraisal Practice that were adopted and promulgated by the Appraisal Standards Board of The Appraisal Foundation and that were in place at the time this appraisal report was prepared.

4. I developed my opinion of the market value of the real property that is the subject of this report based on the sales comparison approach to value. I have adequate comparable market data to develop a reliable sales comparison approach for this appraisal assignment. I further certify that I considered the cost and income approaches to value but did not develop them, unless otherwise indicated in this report.

5. I researched, verified, analyzed, and reported on any current agreement for sale for the subject property, any offering for sale of the subject property in the twelve months prior to the effective date of this appraisal, and the prior sales of the subject property for a minimum of three years prior to the effective date of this appraisal, unless otherwise indicated in this report.

6. I researched, verified, analyzed, and reported on the prior sales of the comparable sales for a minimum of one year prior to the date of sale of the comparable sale, unless otherwise indicated in this report.

7. I selected and used comparable sales that are locationally, physically, and functionally the most similar to the subject property.

8. I have not used comparable sales that were the result of combining a land sale with the contract purchase price of a home that has been built or will be built on the land.

9. I have reported adjustments to the comparable sales that reflect the market's reaction to the differences between the subject property and the comparable sales.

10. I verified, from a disinterested source, all information in this report that was provided by parties who have a financial interest in the sale or financing of the subject property.

11. I have knowledge and experience in appraising this type of property in this market area.

12. I am aware of, and have access to, the necessary and appropriate public and private data sources, such as multiple listing services, tax assessment records, public land records and other such data sources for the area in which the property is located.

13. I obtained the information, estimates, and opinions furnished by other parties and expressed in this appraisal report from reliable sources that I believe to be true and correct.

14. I have taken into consideration the factors that have an impact on value with respect to the subject neighborhood, subject property, and the proximity of the subject property to adverse influences in the development of my opinion of market value. I have noted in this appraisal report any adverse conditions (such as, but not limited to, needed repairs, deterioration, the presence of hazardous wastes, toxic substances, adverse environmental conditions, etc.) observed during the inspection of the subject property or that I became aware of during the research involved in performing this appraisal. I have considered these adverse conditions in my analysis of the property value, and have reported on the effect of the conditions on the value and marketability of the subject property.

15. I have not knowingly withheld any significant information from this appraisal report and, to the best of my knowledge, all statements and information in this appraisal report are true and correct.

16. I stated in this appraisal report my own personal, unbiased, and professional analysis, opinions, and conclusions, which are subject only to the assumptions and limiting conditions in this appraisal report.

17. I have no present or prospective interest in the property that is the subject of this report, and I have no present or prospective personal interest or bias with respect to the participants in the transaction. I did not base, either partially or completely, my analysis and/or opinion of market value in this appraisal report on the race, color, religion, sex, age, marital status, handicap, familial status, or national origin of either the prospective owners or occupants of the subject property or of the present owners or occupants of the properties in the vicinity of the subject property or on any other basis prohibited by law.

18. My employment and/or compensation for performing this appraisal or any future or anticipated appraisals was not conditioned on any agreement or understanding, written or otherwise, that I would report (or present analysis supporting) a predetermined specific value, a predetermined minimum value, a range or direction in value, a value that favors the cause of any party, or the attainment of a specific result or occurrence of a specific subsequent event (such as approval of a pending mortgage loan application).

19. I personally prepared all conclusions and opinions about the real estate that were set forth in this appraisal report. If I relied on significant real property appraisal assistance from any individual or individuals in the performance of this appraisal or the preparation of this appraisal report, I have named such individual(s) and disclosed the specific tasks performed in this appraisal report. I certify that any individual so named is qualified to perform the tasks. I have not authorized anyone to make a change to any item in this appraisal report; therefore, any change made to this appraisal is unauthorized and I will take no responsibility for it.

20. I identified the lender/client in this appraisal report who is the individual, organization, or agent for the organization that ordered and will receive this appraisal report.

Form 1004UAD - "TOTAL" appraisal software by a la mode, inc. - 1-800-ALAMODE
Serial# 452C540F
esign.alamode.com/verify

21. The lender/client may disclose or distribute this appraisal report to: the borrower; another lender at the request of the borrower; the mortgagee or its successors and assigns; mortgage insurers; government sponsored enterprises; other secondary market participants; data collection or reporting services; professional appraisal organizations; any department, agency, or instrumentality of the United States; and any state, the District of Columbia, or other jurisdictions; without having to obtain the appraiser's or supervisory appraiser's (if applicable) consent. Such consent must be obtained before this appraisal report may be disclosed or distributed to any other party (including, but not limited to, the public through advertising, public relations, news, sales, or other media).

22. I am aware that any disclosure or distribution of this appraisal report by me or the lender/client may be subject to certain laws and regulations. Further, I am also subject to the provisions of the Uniform Standards of Professional Appraisal Practice that pertain to disclosure or distribution by me.

23. The borrower, another lender at the request of the borrower, the mortgagee or its successors and assigns, mortgage insurers, government sponsored enterprises, and other secondary market participants may rely on this appraisal report as part of any mortgage finance transaction that involves any one or more of these parties.

24. If this appraisal report was transmitted as an "electronic record" containing my "electronic signature," as those terms are defined in applicable federal and/or state laws (excluding audio and video recordings), or a facsimile transmission of this appraisal report containing a copy or representation of my signature, the appraisal report shall be as effective, enforceable and valid as if a paper version of this appraisal report were delivered containing my original hand written signature.

25. Any intentional or negligent misrepresentation(s) contained in this appraisal report may result in civil liability and/or criminal penalties including, but not limited to, fine or imprisonment or both under the provisions of Title 18, United States Code, Section 1001, et seq., or similar state laws.

SUPERVISORY APPRAISER'S CERTIFICATION: The Supervisory Appraiser certifies and agrees that:

1. I directly supervised the appraiser for this appraisal assignment, have read the appraisal report, and agree with the appraiser's analysis, opinions, statements, conclusions, and the appraiser's certification.

2. I accept full responsibility for the contents of this appraisal report including, but not limited to, the appraiser's analysis, opinions, statements, conclusions, and the appraiser's certification.

3. The appraiser identified in this appraisal report is either a sub-contractor or an employee of the supervisory appraiser (or the appraisal firm), is qualified to perform this appraisal, and is acceptable to perform this appraisal under the applicable state law.

4. This appraisal report complies with the Uniform Standards of Professional Appraisal Practice that were adopted and promulgated by the Appraisal Standards Board of The Appraisal Foundation and that were in place at the time this appraisal report was prepared.

5. If this appraisal report was transmitted as an "electronic record" containing my "electronic signature," as those terms are defined in applicable federal and/or state laws (excluding audio and video recordings), or a facsimile transmission of this appraisal report containing a copy or representation of my signature, the appraisal report shall be as effective, enforceable and valid as if a paper version of this appraisal report were delivered containing my original hand written signature.

esign.alamode.com/verify Serial:452C540F

APPRAISER

Signature
Name Cameron Betts
Company Name Betts Appraisal Services
Company Address 4910 Concord Rd
Sacramento, CA 95820
Telephone Number (916) 873-7137
Email Address betts.appraisals@gmail.com
Date of Signature and Report 12/15/2025
Effective Date of Appraisal 12/12/2025
State Certification # 3004142
or State License #
or Other (describe) State #
State CA
Expiration Date of Certification or License 09/21/2026

ADDRESS OF PROPERTY APPRAISED
25126 N Jack Tone Rd
Acampo, CA 95220
APPRAISED VALUE OF SUBJECT PROPERTY $ 385,000

LENDER/CLIENT
Name Equity Solutions USA
Company Name United American Mortgage Corporation
Company Address 3198 Airport Loop Drive, Suite F, Costa Mesa, CA 92626
Email Address

SUPERVISORY APPRAISER (ONLY IF REQUIRED)

Signature
Name
Company Name
Company Address
Telephone Number
Email Address
Date of Signature
State Certification #
or State License #
State
Expiration Date of Certification or License

SUBJECT PROPERTY

☐ Did not inspect subject property
☐ Did inspect exterior of subject property from street
Date of Inspection
☐ Did inspect interior and exterior of subject property
Date of Inspection

COMPARABLE SALES

☐ Did not inspect exterior of comparable sales from street
☐ Did inspect exterior of comparable sales from street
Date of Inspection

Form 1004UAD - "TOTAL" appraisal software by a la mode, inc. - 1-800-ALAMODE
Serial# 452C540F
esign.alamode.com/verify

Supplemental Addendum

File No. 25-0335081

Borrower	See attached addenda.						
Property Address	25126 N Jack Tone Rd						
City	Acampo	County	San Joaquin	State	CA	Zip Code	95220
Lender/Client	United American Mortgage Corporation						

• **URAR: Borrower**
Susana Hinojosa; Maria Victoria Hinojosa; Victor Hinojosa.

• **URAR: Neighborhood - Description**
The subject is located within the census-designated place of Acampo, and is a rural neighborhood comprised primarily of single family residences, located within 5 miles of features typical for residential communities. These features include schools, parks, and business/commercial centers that cater to residential needs. The area consists of multiple subdivisions of homes of varying quality and condition, with the greatest degree of stylistic similarity among homes of similar ages, and within the same community. Homes generally similar to the subject in this area are of mixed ages (with an age range of 22-120 years), on typical lots of 0.5-8 acres, with less than 1,500 sf GLA typically, based upon the appraiser's inspection of the area. Schools, shopping and community services are located an acceptable distance for within the market. Major employment is located primarily within the Metropolitan Sacramento area, City of Galt, and Cities of Lodi and Stockton, accessed via local streets and major highways/Interstates with average commuting times of under 60 minutes.

One page 1 of this report, under Present Land Use %, the "Other" line item 45% refers to Vacant and Agricultural land.

• **URAR: Neighborhood - Market Conditions**
Low interest rates coupled with lack of inventory in previous market periods made it common for listings to generate multiple offers (this is especially true for homes in turn key condition and properties eligible for FHA, VA, and/or USDA financing); however, due in part to the increase in federal lending rates, this previous trend began to decline. In recent months, this decline has begun to reverse, with a greater number of properties receiving multiple offers.

The indicated predominant price range is considered accurate and reflect the subjects overall market area. The subject and the comparables used reflect the lower range of the market due to being below 10% range of the median market price of $615,750. This is due to the subject and comparables being of generally less than typical quality and condition for the market. This is judged to have no adverse reaction on the marketability or market value of the subject.

Data is taken from sales in the neighborhood over the last 18 month period with up to 1,500 sq ft GLA, with lots of between 0.5-8 acres.

According to the market research for sales similar to the subject property in similar neighborhoods, the median comparable sales price from one year ago was $780,000, as of 6 months ago was $598,250, and as of the appraisal date is $525,000. The appraiser reviewed market trends for the neighborhood, including sales prices, listing prices, and price per square footage data, which indicate that the market is considered to be stabilizing overall. Any perceived decline is due primarily to the significantly limited number of sales over the prior 1 year period (with only 4 total sales), which can skew the data. Furthermore, the research indicates the housing supply is in a shortage, with an existing inventory supply available of under 1 month, and a median of 41 days on the market.

Exposure time is defined by USPAP as: the estimated length of time that a property interest being appraised would have been offered on the market prior to the hypothetical consummation of a sale at market value on the date of the appraisal. (Exposure time is a retrospective opinion based on an analysis of past events assuming a competitive and open market.) Exposure time is determined to be approximately 1-80 days and is based on the data research of the market area. It is noted that it is not uncommon for properties to exceed this exposure time, for varying reasons (which may include location, property features, external factors, and/or other reasons), and the range of 1-80 days reflects what is most typical for the market.

• **URAR: Zoning Description**
The subject's zoning of AL-5 requires a minimum lot size of 5 acres. Multiple properties within the area are of a similar zoning, with a similar lot requirement. Sales of such properties, or with similar zoning discrepancies, from within the last 3 year period include: 25011 N Fuhrman Rd (MLS#225100985); 12301 E Jahant Rd (MLS#225103635); 17755 E Collier Rd (MLS#225040362); and 10090 E Collier Rd (MLS#224080937). This zoning is considered to be legal nonconforming, without any known or measurable impact on marketability.

It cannot be verified by the appraiser if the property can be rebuilt if destroyed. This would require verification by the County of Sacramento Building Department. **This report is completed with the Extraordinary Assumption that the subject could be rebuilt if destroyed, based in part upon the appraiser's familiarity with the zoning and County of San Joaquin Building requirements. If this Extraordinary Assumption is disproved, it may impact assignment results.**

• **URAR: Site - Highest and Best Use**
The appraiser has considered the four tests of Highest and Best Use, which include testing whether the current use is the most profitable, legally permissible, physically possible, and financially feasible. Based upon this analysis, the Highest and Best Use of the subject is determined to be as it currently exists, based primarily upon the zoning, as well as the location, size, and accessibility of the subject. Given the nature of the subject real estate, my conclusions of highest and best use was based on logic and observed evidence. The improvements are substantially the highest and best use for the subject property: free standing, deeded, except for those items of depreciation described in the improvement section.

• **URAR: Site - Adverse Conditions or External Factors**
No apparent easements or encroachments noted except for normal utilities. Properties in the subject's neighborhood are similar in size and utility. The legal description, APN and flood hazard zone information have been verified through available data sources considered reliable though not guaranteed.

The grading and drainage appear to be in conformance.The completed building and construction appear to be in conformance with the exhibits and specifications that were available to the appraiser at the time of the appraisal. There are no notable concerns or adverse conditions due to proximity to busy roads/highways, commercial structures, or any other non-residential feature.

• **URAR: Subject - Overall Condition of the Property**
The subject is a typical single family residence, with limited interior updating/upgrading, and overall features inferior to what is typical for the market area. The home is generally competitive within the market for homes of similar GLA, and with similar features. The property consists of the residence, and multiple outbuildings/sheds. Features of the residence include: older wood siding; an older composite roof (with some visible wear and tear); older, cosmetically damaged flooring; dated kitchen and bathroom features; older interior paint; suspended lighting; and other similar features. The sheds and storage structures on the property were not recently built, and all exhibit some degree of wear and tear due to age and use. The p[illegible] to the

Serial# 452C540F
esign.alamode.com/verify

rear/east of the subject and barn is graded land, previously used for keeping livestock (per the agent).

The publicly available County records do not indicate the presence of the residence. Per a staff member of the County of San Joaquin Office of the Assessor (reached by phone), internal records do indicate a residence, as well as the existing sheds and storage structures. Per the Office of the Assessor, the subject property has a recorded GLA of 640 sf, with an effective year built of 1952. This age is used within this report. The appraiser's measurements indicate a total GLA of 942 sf. The reason for this discrepancy is unknown; however, such discrepancies are not uncommon for homes of similar or older ages within the greater market area. **This report is completed with the Extraordinary Assumption that the information provided by the Assessor is accurate, accessible by the property owner (or authorized party), and able to be replicated by a third party. If this Extraordinary Assumption is disproved, it may impact assignment results.**

Permit records for the subject structure, and all primary utilities (such as the well, septic, and propane systems) are not readily available or known. Public water and sanitary sewer systems are not available to the subject property, based upon a review of public water district information, and a review of historical sales within the subject's immediate market area. There are no immediately or readily visible or otherwise known concerns regarding the well and septic systems, which may include location, distance from the main residence, distance from other utilities, or similar concerns. Per the listing agent, the septic system was recently treated, with recent access to the buried system visible in the disturbed soil behind the residence. This septic system access is within 15 feet of the residence. **This report is completed with the Extraordinary Assumption that there are no concerns, issues, or risks associated with the existing well and septic systems. If this Extraordinary Assumption is disproved, it may impact assignment results. It is left to the lender to decide if any further action or inspection is required.**

No damage noted in this report requires repair. No cost to cures are noted, as these items are known to be cosmetic only.

• URAR: Cost Approach - Support for the Opinion of Site Value
Estimated site value based on appraisers knowledge of the subjects area and extraction of recent sales in the area. Land value is considered typical for the area.

• Reconciliation (Analysis/Comments)
Overview:
The subject is considered to be a typical single family residence, of C5 condition and Q4 quality for the market. Comparables have been selected based upon overall similarity to the subject. The primary variations between homes in this market are updating, GLA, bedroom and bathroom count, and location. A thorough search and review of sales was conducted (based upon the parameters noted in the Market Conditions commentary, as well as a review of sales outside of these ranges to ensure any similar sales are noted and considered), in order to include the most recent, similar, and otherwise necessary sales to develop clear and credible results. It was necessary to use a wide range of sales (in age, style, design, and location), in order to include sales similar overall to the subject. The appraiser has attempted to include the most recent, similar, and/or necessary sales that most clearly indicate the market for home similar to the subject.

It was considered necessary to include a wide range of Comparables, which include those that: exceed 15% and 25% in net and/or gross adjustments; are older sales; are located over 1 mile from the subject; vary in condition and quality; vary in lot size and GLA; and vary in overall updating/features. This was done to include the most recent, similar, and otherwise relevant sales considered necessary to develop credible results.

It is not considered possible to include any sales more recent than those included, as no such sales exist with the market area that merit inclusion in this report.

Comparables:
It is noted that there exists an extremely limited number of sales total within the greater market area, and specifically an extremely limited number of sales that can be considered as similar to the subject. Comparables 1 and 2 are semi-recent and older sales, respectively, and are included as the most recent and defensibly similar sales of homes with generally similar features, that are indicative of the market for homes similar to the subject. Comparable 1 is a semi-recent sale of a home with similar GLA, a slightly superior lot, a similar room count, of slightly superior overall condition. Comparable 2 is an older sale of a home in disrepair (marketed as a "fixer"), with similar GLA, a similar room count, and an inferior overall lot size, with a significant adverse location feature. Comparables 3 and 4 are semi-recent and significantly older sale, respectively, of homes located generally near the subject, that further bracket key features of the subject. Comparables 5 and 6 are listings,and are included to indicate current market trends. It is noted that Comparable 6 is a listing of a property, that a previous sale of which is used as Comparable 1 in this report.

Methodology:
A weighted mean methodology is used to develop an opinion of value. Most consideration is given to Comparables 1-2, due to being the most similar overall. Less consideration is given to Comparables 3-4, due to being less similar overall than Comparables 1-2 (see above). Minimal consideration is given to the pending listings, despite not having closed, as pending listings are considered to be indicators of current market activity.

As noted, this sale is a non-arms length sale between parties with an existing relationship. The contract price is for less than market value which, as far as the appraiser has been made aware, is known to all parties involved.

The appraiser is aware of the wide value range in the sales prices. It was necessary to use a range of sales to accurately represent the current, recent market for residences similar overall to the subject. The subject property is considered to be an adequately updated property, easily and quickly accessible from major access roads/highways. These features contribute to the value overall. The subject is not considered to be over improved. It was necessary to exceed adjustment/distance guidelines in order to include sales similar to the subject.

Adjustments:
Adjustments are based upon a variety of data sets, including, but not limited to: paired sales, 12 month sales history of the neighborhood, the appraiser's familiarity with the features and the market, and market reaction to noted features. All adjustment figures are developed in paired sales analysis (using sales in this report), as well as a general review of the market reaction to such features within the greater market area.

Supplemental Addendum

File No. 25-0335081

Borrower	See attached addenda.						
Property Address	25126 N Jack Tone Rd						
City	Acampo	County	San Joaquin	State	CA	Zip Code	95220
Lender/Client	United American Mortgage Corporation						

Concessions- Adjustments are only made to concessions if the sales price exceeds the listing price, as the credit to the buyer is considered to artificially inflate the final sales price as compared to the price that was intended to represent a reasonable price within the open market. As of August 13, 2024, in California, The California Association of Realtors (CAR) requires buyers to sign a buyer representation agreement, which informs the buyers of the three ways a buyer's agent can get paid for their services. This process has changed the manner in which concessions are paid and reported. The appraiser has attempted to contact both listing and buyers agents for sales with noted concessions, to verify all relevant information. In the event the appraiser is unable to contact the agent(s), no concessions are made, but that existence of concessions is considered by the appraiser. The concessions appear to have impacted the sales prices when above the listing price, elevating the price above what is typical for the market.

Time- Time adjustments are based primarily upon the attached Analytics Addenda, and to a limited extend the 1004MC data (which measures the raw sales data of similar homes within given parameters). As the market has remained measurably stable over the last 18 month period, no adjustments are applied.

Condition/Quality- The overall condition and quality of the homes are weighted in the appraiser's overall opinion of value. The differences in condition are adjusted for within the grid are primarily cosmetic features (such as flooring, bathroom and kitchen upgrades, interior paint, upgraded lighting, etc.). The adjustment support comes from paired sales within the grid (specifically, homes with similar updating compared again those with differing features), as well as a detailed review of the market area. It is noted that homes can have recent or greater than typical updating, and be of less than typical condition. For example, a home could have been updated 10 years prior, but then not adequately maintained, so that the overall condition of the home would be considered to be C4, while the interior does have generally recent updating.

Condition/Updating Differences- The Condition adjustment primarily reflects the overall maintenance of the property and property features, whereas the Updating line item reflects the range of interior and exterior updating and upgrading made to the property. As a theoretical example, a property that was remodeled 10 years prior, but not maintained, and with visible cosmetic damage / wear and tear, could merit a Condition rating of C4, but command a market premium for the interior upgrades. This is consistent throughout the report, and no duplicate adjustments have been applied.

Age- No age adjustments are warranted at this time as the overall market preference appears to be for the condition, quality and amenities of the home, and not necessarily the age of the home. Per the appraiser's review and research, buyers typically consider at the overall age of items such as HVAC, roof, windows, flooring, appliances, and other similar features, but not necessarily the age of the structure. The level of interior updating/upgrading of a subject has the most impact on the consideration of age overall. Adjustments for mentioned items are made in the Condition, Quality, and Updating lines as applicable.

Site- Lot sizes of between 1-4 acres are considered to be functionally similar, with similar utility. Adjustments are made based upon the surplus land of less than 1 acre, and exceeding 4 acres, based upon the market data available.

Bathroom(s)- Fewer/additional half/full bathroom(s) in a home in this market. The adjustment is based on the buyer’s reaction to the contribution of half/full bathroom(s) and is supported by the costs to construct.

Bedroom- Adjustments are only made to homes with greater than or less than 2 bedrooms, based upon the market reaction to having fewer and greater functional bedrooms despite similar GLA. No further bedroom adjustments were warranted.

Solar- Unless clearly stated within the MLS or verified by the sales agent as having owned solar features, homes that have panels without clear ownership are considered to have leased paneling within this report. This is based upon the appraiser's experience with how this feature is marketed and listed within the MLS, and the market reaction to having owned solar paneling. There is no measurable impact, of benefit or adversely, due to the presence of owned or leased solar arrays.

Garage(s)- Fewer/additional garage spaces. The adjustment is based on the buyer’s reaction to the contribution of the security/storage/parking space and is supported by the costs to construct and market data.

Updating/Options- The differences in updating adjusted for within the grid are primarily cosmetic features (such as flooring, bathroom and kitchen upgrades, interior paint, upgraded lighting, etc.). The adjustment support comes from paired sales within the grid (specifically, homes with similar updating compared again those with differing features), as well as a detailed review of the market area.

Shed/Outbuilding(s)- No line item adjustments are made for sheds or other similar structures, as such features are not considered to have a significant or measurable impact on marketability. These structures are considered in the overall opinion of value.

Per Condition/Quality and Updating/Options Adjustments- It is understood that the market reaction to these features is subjective, and an exact "dollar-for-dollar" adjustment that reflects the intentions of every potential or actual buyer is not possible. The adjustment values made are based upon paired sales within this report (reviewed both before and after the application of other adjustments, to ensure the most accurate adjustment value), and are consistent with other sales reviewed within the market. It is noted that some sales do not command a typical market premium due to their updating, and some sales command a more than typical market premium despite a lack of updating, due to unknown and unforeseeable motivations of buyers.

Well/Septic/Propane- All Comparables included in this report have similar well, septic, and propane/natural gas systems. These features have no measurable impact on marketability.

• **URAR: Additional Comments**

At the time of inspection, there was no noticeable damage to the subject property or market area due to any recent weather related disasters, floods or fires. There has been no effect on value or marketability of the subject.

No value is given to any personal property, and not included in the appraised value. All utilities were on and functional at the time of the appraiser's inspection. CO/Smoke detectors are installed, and the hot water heater is double strapped.

Serial# 452C540F
esign.alamode.com/verify

Neighborhood

Serial# 452C540F
esign.alamode.com/verify

Subject Photo Page

Borrower	See attached addenda.						
Property Address	25126 N Jack Tone Rd						
City	Acampo	County	San Joaquin	State	CA	Zip Code	95220
Lender/Client	United American Mortgage Corporation						

Subject Front

25126 N Jack Tone Rd

Sales Price	300,000
Gross Living Area	942
Total Rooms	5
Total Bedrooms	2
Total Bathrooms	1.0
Location	N;Rural;
View	N;Pstrl;
Site	3.03 ac
Quality	Q4
Age	73

Subject Rear



Subject Street

Serial# 452C540F
esign.alamode.com/verify

Interior Photos

Borrower	See attached addenda.						
Property Address	25126 N Jack Tone Rd						
City	Acampo	County	San Joaquin	State	CA	Zip Code	95220
Lender/Client	United American Mortgage Corporation						

Driveway

Subject Lot

Subject Lot / Addtl. View

Electrical Panel

Hot Water Heater Closet

Hot Water Heater / Strapped

Covered Porch

Entry

Living Room



Nook

Damaged Flooring

Dining Room

Kitchen

Kitchen / Addtl. View

No Photo

Serial# 452C540F
esign.alamode.com/verify

Interior Photos

Borrower	See attached addenda.						
Property Address	25126 N Jack Tone Rd						
City	Acampo	County	San Joaquin	State	CA	Zip Code	95220
Lender/Client	United American Mortgage Corporation						

Kitchen / Addtl. View



Laundry Room

Bedroom 1

Bedroom 2

Bathroom

HVAC Vent

CO Detector

Smoke/CO Detector

Smoke/CO Detector



AC Unit



Roof

Septic Access (Buried)

Well Pump

Propane Tank

No Photo

Serial# 452C540F
esign.alamode.com/verify

Interior Photos

Borrower	See attached addenda.						
Property Address	25126 N Jack Tone Rd						
City	Acampo	County	San Joaquin	State	CA	Zip Code	95220
Lender/Client	United American Mortgage Corporation						

Shed #1

Shed #1 Interior

Storage #1

Storage #1 Interior

Storage #2

Shed #2

Shed #2 Interior

Barn

Barn Interior

Barn Interior / Addtl. View

Shed #2 (Locked)

Serial# 452C540F
esign.alamode.com/verify

Comparable Photo Page

Borrower	See attached addenda.						
Property Address	25126 N Jack Tone Rd						
City	Acampo	County	San Joaquin	State	CA	Zip Code	95220
Lender/Client	United American Mortgage Corporation						

Comparable 1

23707 N Graham Rd

Prox. to Subject	1.03 miles SW
Sale Price	475,000
Gross Living Area	1,025
Total Rooms	3
Total Bedrooms	1
Total Bathrooms	1.0
Location	N;Rural;
View	N;Pstrl;
Site	4.92 ac
Quality	Q4
Age	107



Comparable 2

25362 N Highway 99

Prox. to Subject	6.30 miles W
Sale Price	340,000
Gross Living Area	972
Total Rooms	4
Total Bedrooms	2
Total Bathrooms	1.0
Location	N;Res;A;Hwy;
View	N;Res;Pstrl
Site	34412 sf
Quality	Q5
Age	57



Comparable 3

25055 N Watkinson Rd

Prox. to Subject	0.46 miles E
Sale Price	685,000
Gross Living Area	1,360
Total Rooms	6
Total Bedrooms	3
Total Bathrooms	1.1
Location	N;Rural;
View	N;Pstrl;
Site	4.88 ac
Quality	Q4
Age	53

Serial# 452C540F
esign.alamode.com/verify

Comparable Photo Page

Borrower	See attached addenda.						
Property Address	25126 N Jack Tone Rd						
City	Acampo	County	San Joaquin	State	CA	Zip Code	95220
Lender/Client	United American Mortgage Corporation						

Comparable 4

19497 E Collier Rd

Prox. to Subject	3.96 miles E
Sale Price	706,500
Gross Living Area	1,443
Total Rooms	6
Total Bedrooms	3
Total Bathrooms	3.0
Location	N;Rural;
View	N;Pstrl;
Site	6.52 ac
Quality	Q4
Age	61

Comparable 5

5860 E Jahant Rd

Prox. to Subject	5.20 miles W
Sale Price	638,800
Gross Living Area	1,177
Total Rooms	5
Total Bedrooms	2
Total Bathrooms	2.0
Location	N;Rural;
View	N;Pstrl;
Site	1.00 ac
Quality	Q4
Age	60

Comparable 6

23707 N Graham Rd

Prox. to Subject	1.03 miles SW
Sale Price	525,000
Gross Living Area	1,025
Total Rooms	4
Total Bedrooms	1
Total Bathrooms	1.0
Location	N;Rural;
View	N;Res;
Site	4.92 ac
Quality	Q4
Age	107

Serial# 452C540F
esign.alamode.com/verify

Photograph Addendum

Borrower	See attached addenda.						
Property Address	25126 N Jack Tone Rd						
City	Acampo	County	San Joaquin	State	CA	Zip Code	95220
Lender/Client	United American Mortgage Corporation						

5860 E Jahant Rd
Street Sign / View of Comparable Obstructed



23707 N Graham Rd
Private Access

19497 E Collier Rd
Street Sign / View of Comparable Obstructed

Serial# 452C540F
esign.alamode.com/verify

Analytics Addendum

Borrower	See attached addenda.						
Property Address	25126 N Jack Tone Rd						
City	Acampo	County	San Joaquin	State	CA	Zip Code	95220
Lender/Client	United American Mortgage Corporation						

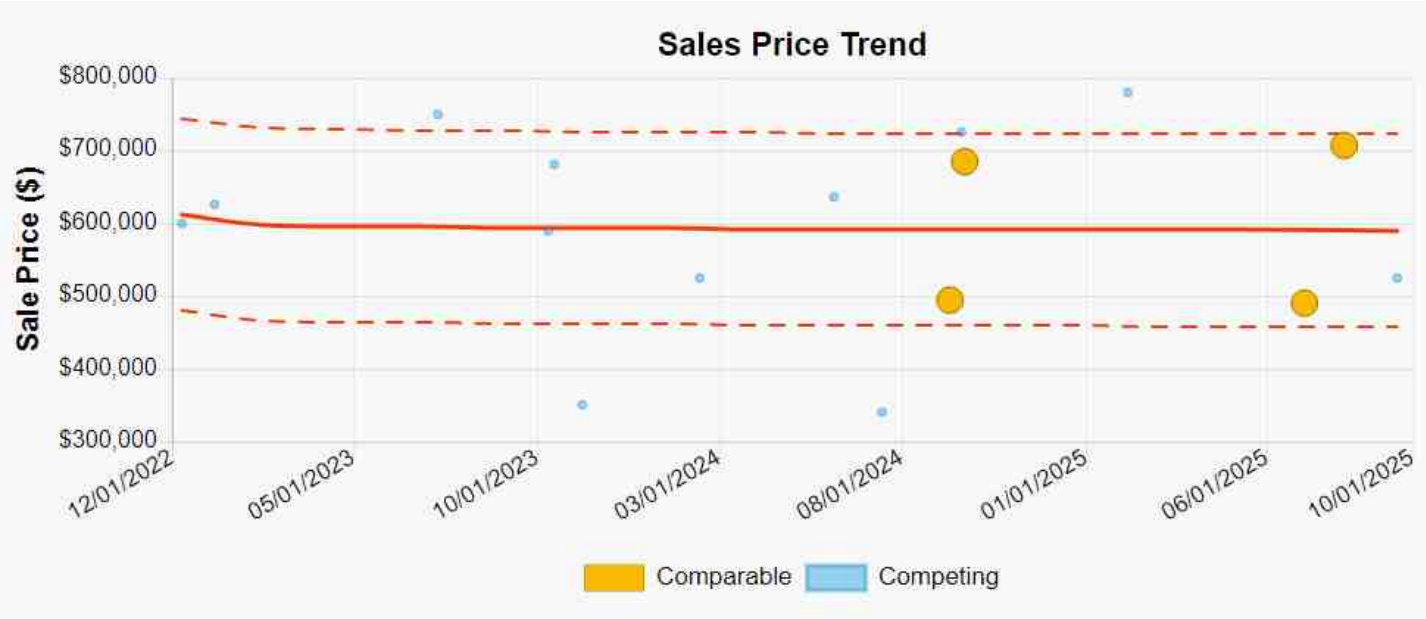

This analysis of prices in the subject market from 12-09-2022 to 09-18-2025 yields a price range of $457,880 to $721,849 for properties in the subject market as of 12-12-2025.

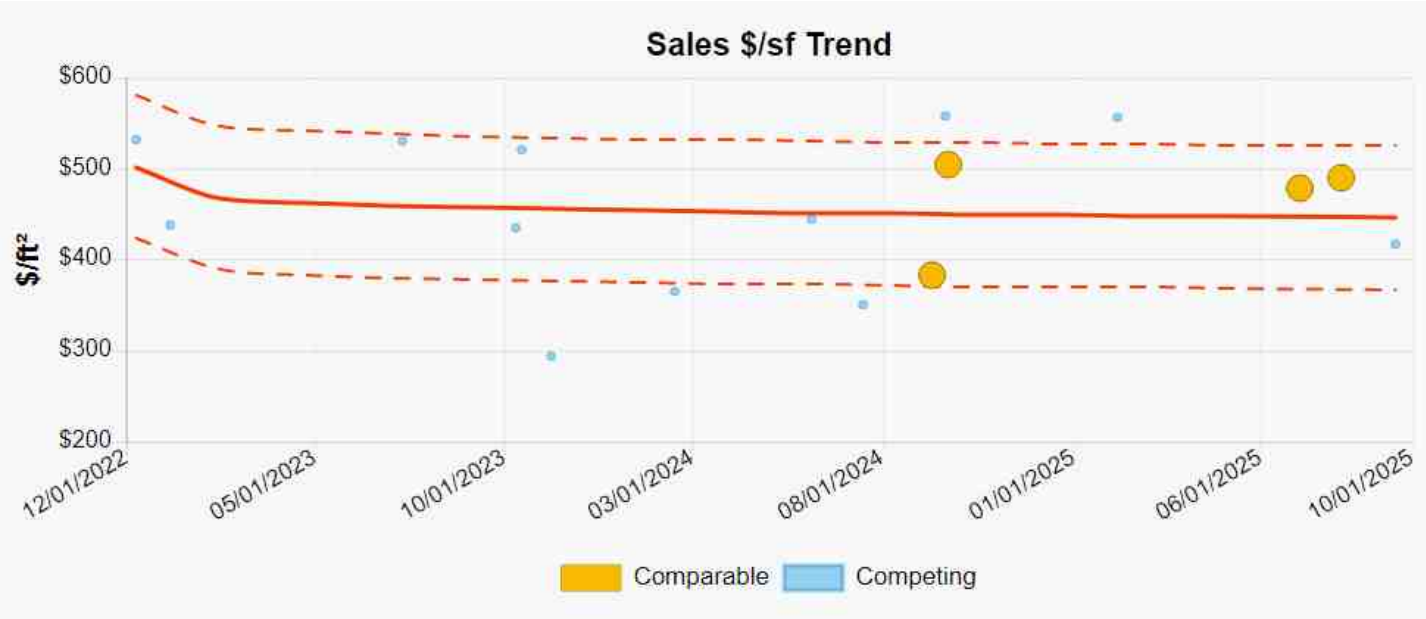

This analysis of the price per sq ft. in the subject market from 12-09-2022 to 09-18-2025 yields a range of $367/sf to $524/sf for properties in the subject market as of 12-12-2025.

Serial# 452C540F
esign.alamode.com/verify

Analytics Addendum

Borrower	See attached addenda.						
Property Address	25126 N Jack Tone Rd						
City	Acampo	County	San Joaquin	State	CA	Zip Code	95220
Lender/Client	United American Mortgage Corporation						

For each month from 11-13-2022 to 12-12-2025 this chart shows the median price for both sales and listings in the subject market.

For each month from 11-13-2022 to 12-12-2025 this chart shows the median price per square foot for both sales and listings in the subject market.

Serial# 452C540F
esign.alamode.com/verify

Analytics Addendum

Borrower	See attached addenda.						
Property Address	25126 N Jack Tone Rd						
City	Acampo	County	San Joaquin	State	CA	Zip Code	95220
Lender/Client	United American Mortgage Corporation						

This analysis of listing prices in the subject market from 06-22-2022 to 11-17-2025 shows a range of $460,314 to $733,836 for a likely sale on 12-12-2025.

This analysis of listing price per square foot in the subject market from 06-22-2022 to 11-17-2025 shows a likely range of $376/sf to $540/sf with a predicted value of $458/sf.

Serial# 452C540F
esign.alamode.com/verify

Market Conditions Addendum to the Appraisal Report

File No. 25-0335081

The purpose of this addendum is to provide the lender/client with a clear and accurate understanding of the market trends and conditions prevalent in the subject neighborhood. This is a required addendum for all appraisal reports with an effective date on or after April 1, 2009.

Property Address 25126 N Jack Tone Rd City Acampo State CA ZIP Code 95220

Borrower See attached addenda.

Instructions: The appraiser must use the information required on this form as the basis for his/her conclusions, and must provide support for those conclusions, regarding housing trends and overall market conditions as reported in the Neighborhood section of the appraisal report form. The appraiser must fill in all the information to the extent it is available and reliable and must provide analysis as indicated below. If any required data is unavailable or is considered unreliable, the appraiser must provide an explanation. It is recognized that not all data sources will be able to provide data for the shaded areas below; if it is available, however, the appraiser must include the data in the analysis. If data sources provide the required information as an average instead of the median, the appraiser should report the available figure and identify it as an average. Sales and listings must be properties that compete with the subject property, determined by applying the criteria that would be used by a prospective buyer of the subject property. The appraiser must explain any anomalies in the data, such as seasonal markets, new construction, foreclosures, etc.

MARKET RESEARCH & ANALYSIS

Inventory Analysis	Prior 7–12 Months	Prior 4–6 Months	Current – 3 Months	Overall Trend		
Total # of Comparable Sales (Settled)	1	2	1	☒ Increasing	☐ Stable	☐ Declining
Absorption Rate (Total Sales/Months)	0.17	0.67	0.33	☒ Increasing	☐ Stable	☐ Declining
Total # of Comparable Active Listings	2	0	0	☒ Declining	☐ Stable	☐ Increasing
Months of Housing Supply (Total Listings/Ab.Rate)	12.00	0.00	0.00	☒ Declining	☐ Stable	☐ Increasing

Median Sale & List Price, DOM, Sale/List %	Prior 7–12 Months	Prior 4–6 Months	Current – 3 Months	Overall Trend		
Median Comparable Sale Price	$780,000	$598,250	$525,000	☐ Increasing	☐ Stable	☒ Declining
Median Comparable Sales Days on Market	47	73	41	☐ Declining	☐ Stable	☒ Increasing
Median Comparable List Price	$612,500	-	-	☐ Increasing	☐ Stable	☐ Declining
Median Comparable Listings Days on Market	53	-	-	☐ Declining	☐ Stable	☐ Increasing
Median Sale Price as % of List Price	94.55%	98.68%	95.63%	☐ Increasing	☒ Stable	☐ Declining
Seller-(developer, builder, etc.)paid financial assistance prevalent?	☐ Yes	☒ No		☐ Declining	☒ Stable	☐ Increasing

Explain in detail the seller concessions trends for the past 12 months (e.g., seller contributions increased from 3% to 5%, increasing use of buydowns, closing costs, condo fees, options, etc.). The MetroList MLS reported no concessions between 12/12/2024 and 12/12/2025.

Are foreclosure sales (REO sales) a factor in the market? ☐ Yes ☒ No If yes, explain (including the trends in listings and sales of foreclosed properties).

Cite data sources for above information. The Market Conditions Addenda was completed with data from MetroList MLS with an effective date of 12/12/2025.

Summarize the above information as support for your conclusions in the Neighborhood section of the appraisal report form. If you used any additional information, such as an analysis of pending sales and/or expired and withdrawn listings, to formulate your conclusions, provide both an explanation and support for your conclusions.

The above data reflects the sales of single family residences from the 12 month period prior to the effective date of this report. See Market Conditions commentary in attached addenda.

CONDO/CO-OP PROJECTS

If the subject is a unit in a condominium or cooperative project , complete the following: **Project Name:**

Subject Project Data	Prior 7–12 Months	Prior 4–6 Months	Current – 3 Months	Overall Trend		
Total # of Comparable Sales (Settled)				☐ Increasing	☐ Stable	☐ Declining
Absorption Rate (Total Sales/Months)				☐ Increasing	☐ Stable	☐ Declining
Total # of Active Comparable Listings				☐ Declining	☐ Stable	☐ Increasing
Months of Unit Supply (Total Listings/Ab.Rate)				☐ Declining	☐ Stable	☐ Increasing

Are foreclosure sales (REO sales) a factor in the project? ☐ Yes ☐ No If yes, indicate the number of REO listings and explain the trends in listings and sales of foreclosed properties.

Summarize the above trends and address the impact on the subject unit and project.

esign.alamode.com/verify Serial:452C540F

APPRAISER

Signature	Signature
Appraiser Name Cameron Betts	Supervisory Appraiser Name
Company Name Betts Appraisal Services	Company Name
Company Address 4910 Concord Rd, Sacramento, CA 95820	Company Address
State License/Certification # 3004142 State CA	State License/Certification # State
Email Address betts.appraisals@gmail.com	Email Address

Form 1004MC2 - "TOTAL" appraisal software by a la mode, inc. - 1-800-ALAMODE

Serial# 452C540F
esign.alamode.com/verify

Plat Map

Borrower	See attached addenda.						
Property Address	25126 N Jack Tone Rd						
City	Acampo	County	San Joaquin	State	CA	Zip Code	95220
Lender/Client	United American Mortgage Corporation						

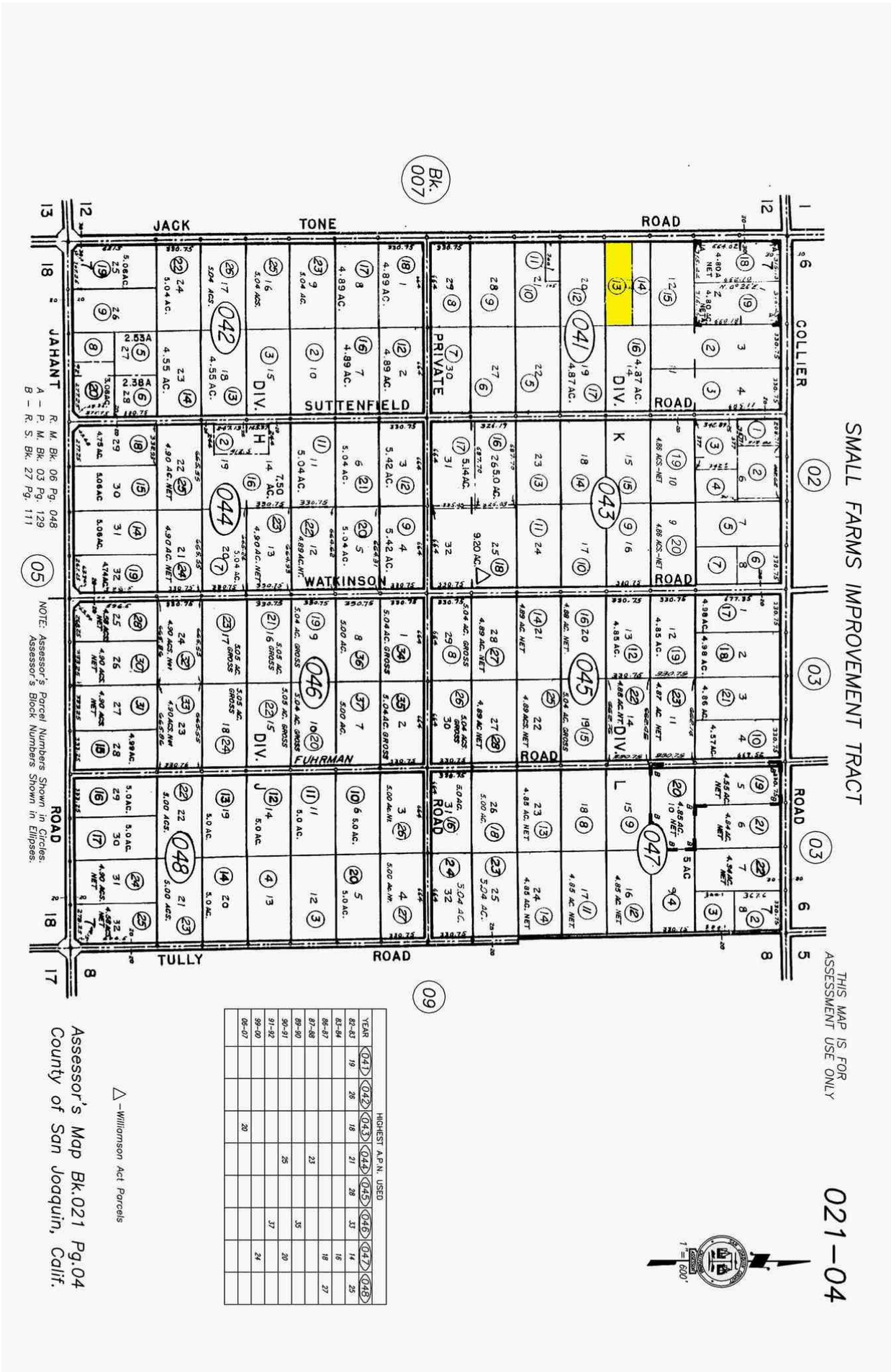

Serial# 452C540F
esign.alamode.com/verify

Building Sketch

Borrower	See attached addenda.						
Property Address	25126 N Jack Tone Rd						
City	Acampo	County	San Joaquin	State	CA	Zip Code	95220
Lender/Client	United American Mortgage Corporation						

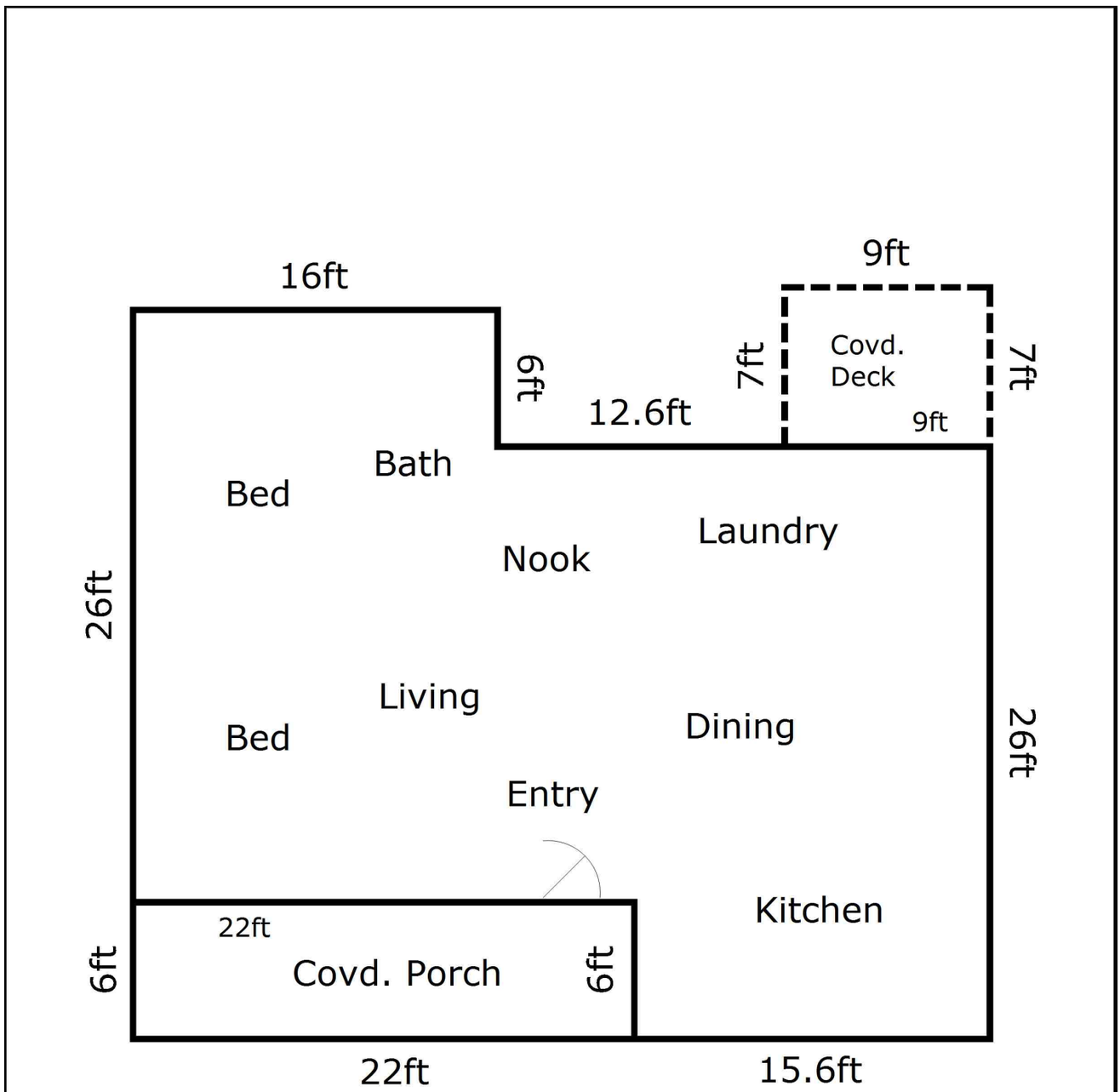

TOTAL Sketch by a la mode

Area Calculations Summary

Living Area		**Calculation Details**
Subject	941.6 Sq ft	26 × 16 = 416
		21.6 × 20 = 432
		6 × 15.6 = 93.6
Total Living Area (Rounded):	**942 Sq ft**	
Non-living Area		
Uncovered Deck	63 Sq ft	9 × 7 = 63
Covered Porch	132 Sq ft	22 × 6 = 132

Serial# 452C540F
esign.alamode.com/verify

Aerial Map

Borrower	See attached addenda.						
Property Address	25126 N Jack Tone Rd						
City	Acampo	County	San Joaquin	State	CA	Zip Code	95220
Lender/Client	United American Mortgage Corporation						

Serial# 452C540F
esign.alamode.com/verify

Location Map

Borrower	See attached addenda.						
Property Address	25126 N Jack Tone Rd						
City	Acampo	County	San Joaquin	State	CA	Zip Code	95220
Lender/Client	United American Mortgage Corporation						

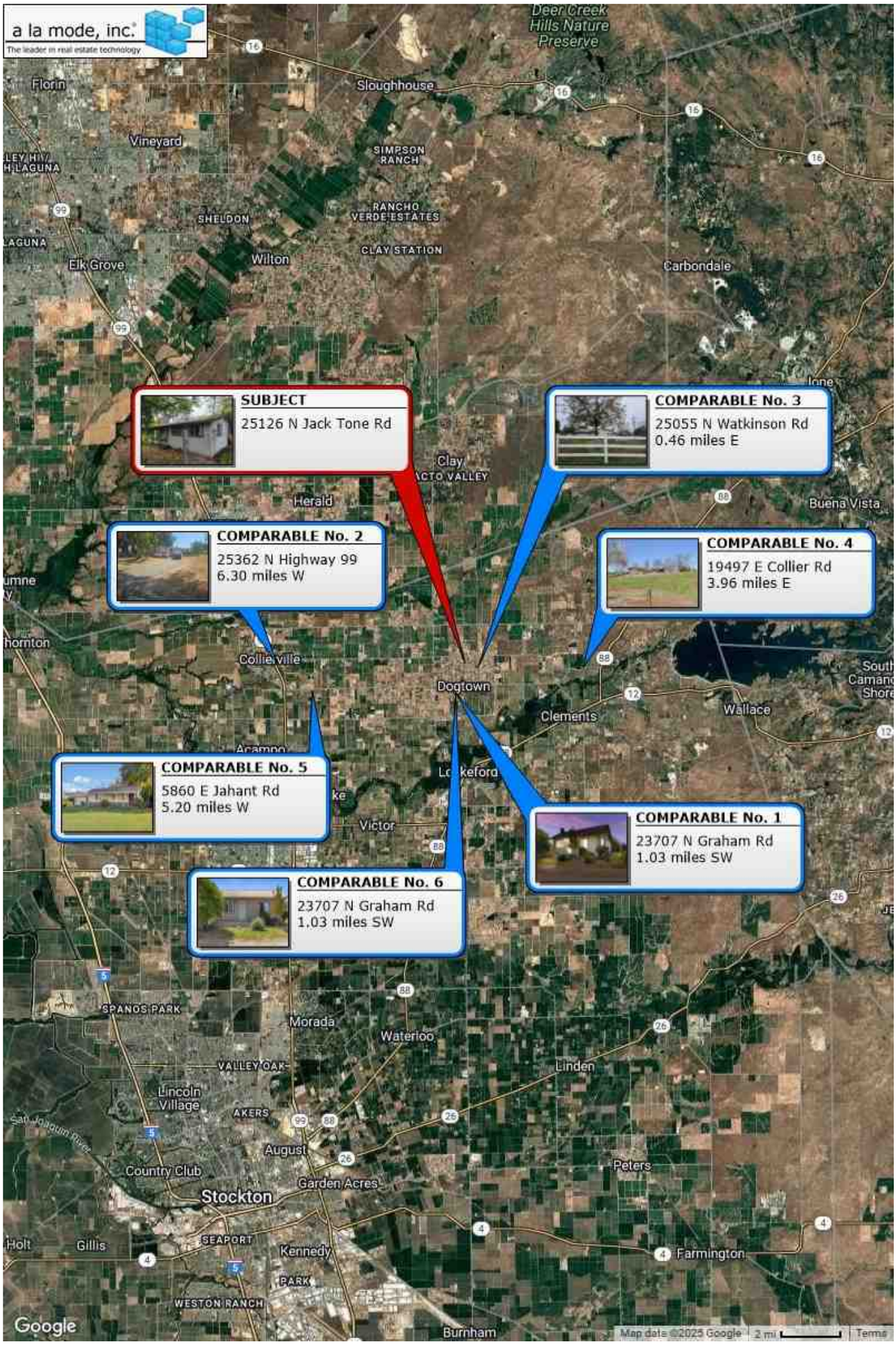

Serial# 452C540F
esign.alamode.com/verify

Flood Map

Borrower	See attached addenda.						
Property Address	25126 N Jack Tone Rd						
City	Acampo	County	San Joaquin	State	CA	Zip Code	95220
Lender/Client	United American Mortgage Corporation						

Serial# 452C540F
esign.alamode.com/verify

Cameron Betts
USPAP COMPLIANCE ADDENDUM

File No: 25-0335081

SUBJECT

Borrower: See attached addenda.
Property Address: 25126 N Jack Tone Rd
City: Acampo County: San Joaquin State: CA Zip Code: 95220
Lender/Client: United American Mortgage Corporation

PURPOSE OF THE APPRAISAL

Clarification of Intended Use and Intended User: Lender/Client and assigns are intended users. The Intended Use is to evaluate the property that is the subject of this appraisal to for a mortgage transaction, subject to the stated Scope of Work, purpose of the appraisal, reporting requirements of this appraisal report form, and Definition of Market Value.

SCOPE OF THE APPRAISAL

The appraiser is to provide an opinion of value, as of the effective date of this report, consistent with FNMA guidelines, and in compliance to USPAP.

REPORT OF THE PRIOR YEARS SALES HISTORY FOR THE SUBJECT PROPERTY

Is the subject property currently listed? ☐ Yes ☒ No List Price $ _____
Has the property sold during the prior year? ☐ Yes ☒ No If yes, describe below:

The subject has not been publicly listed for sale within the last 12 month period, and has been offered between parties with an existing relationship (neighbors).

MARKETING TIME

What is your estimate of marketing time for the subject property? 1-30 DOM Describe below the basis (rationale)for your estimate:

Marketing time is defined as an opinion of the amount of time it might take to sell a real or personal property interest at the concluded market value during the period immediately after the effective date of an appraisal, according to The Dictionary of Real Estate Appraisal, 6th Ed. The estimate is based upon the listing times for similar properties within the current market.

NON-REAL PROPERTY TRANSFERS

Does the transaction involve the transfer of personal property, fixtures, or intangibles that are not real property? ☒ Yes ☐ No
If yes, provide description and valuation below:

The sale includes the transfer of appliances. These appliances are considered to be personal property, and are given no consideration or value.

ADDITIONAL LIMITING CONDITIONS OR ADDITIONAL COMMENTS

- This Appraisal Report is of the Appraisal Report type, and was prepared in accordance with the requirements of the Appraisal Report option of USPAP Standards Rule 2-2(a).
- I have performed no services, as an appraiser or in any other capacity, regarding the property that is the subject of this report within the three year period immediately preceding acceptance of this assignment.

ADDITIONAL CERTIFICATION STATEMENTS OR ADDITIONAL COMMENTS

esign.alamode.com/verify Serial:452C540F

Date: 12/15/2025 Appraiser(s): Cameron Betts

Date: _____ Review Appraiser(s): _____

Serial# 452C540F
esign.alamode.com/verify

UNIFORM APPRAISAL DATASET (UAD) DEFINITIONS ADDENDUM

(Source: Fannie Mae UAD Appendix D: UAD Field-Specific Standardization Requirements)

Condition Ratings and Definitions

C1

The improvements have been recently constructed and have not been previously occupied. The entire structure and all components are new and the dwelling features no physical depreciation.

Note: Newly constructed improvements that feature recycled or previously used materials and/or components can be considered new dwellings provided that the dwelling is placed on a 100 percent new foundation and the recycled materials and the recycled components have been rehabilitated/remanufactured into like-new condition. Improvements that have not been previously occupied are not considered “new” if they have any significant physical depreciation (that is, newly constructed dwellings that have been vacant for an extended period of time without adequate maintenance or upkeep).

C2

The improvements feature no deferred maintenance, little or no physical depreciation, and require no repairs. Virtually all building components are new or have been recently repaired, refinished, or rehabilitated. All outdated components and finishes have been updated and/or replaced with components that meet current standards. Dwellings in this category are either almost new or have been recently completely renovated and are similar in condition to new construction.

Note: The improvements represent a relatively new property that is well maintained with no deferred maintenance and little or no physical depreciation, or an older property that has been recently completely renovated.

C3

The improvements are well maintained and feature limited physical depreciation due to normal wear and tear. Some components, but not every major building component, may be updated or recently rehabilitated. The structure has been well maintained.

Note: The improvement is in its first-cycle of replacing short-lived building components (appliances, floor coverings, HVAC, etc.) and is being well maintained. Its estimated effective age is less than its actual age. It also may reflect a property in which the majority of short-lived building components have been replaced but not to the level of a complete renovation.

C4

The improvements feature some minor deferred maintenance and physical deterioration due to normal wear and tear. The dwelling has been adequately maintained and requires only minimal repairs to building components/mechanical systems and cosmetic repairs. All major building components have been adequately maintained and are functionally adequate.

Note: The estimated effective age may be close to or equal to its actual age. It reflects a property in which some of the short-lived building components have been replaced, and some short-lived building components are at or near the end of their physical life expectancy; however, they still function adequately. Most minor repairs have been addressed on an ongoing basis resulting in an adequately maintained property.

C5

The improvements feature obvious deferred maintenance and are in need of some significant repairs. Some building components need repairs, rehabilitation, or updating. The functional utility and overall livability is somewhat diminished due to condition, but the dwelling remains useable and functional as a residence.

Note: Some significant repairs are needed to the improvements due to the lack of adequate maintenance. It reflects a property in which many of its short-lived building components are at the end of or have exceeded their physical life expectancy but remain functional.

C6

The improvements have substantial damage or deferred maintenance with deficiencies or defects that are severe enough to affect the safety, soundness, or structural integrity of the improvements. The improvements are in need of substantial repairs and rehabilitation, including many or most major components.

Note: Substantial repairs are needed to the improvements due to the lack of adequate maintenance or property damage. It reflects a property with conditions severe enough to affect the safety, soundness, or structural integrity of the improvements.

Quality Ratings and Definitions

Q1

Dwellings with this quality rating are usually unique structures that are individually designed by an architect for a specified user. Such residences typically are constructed from detailed architectural plans and specifications and feature an exceptionally high level of workmanship and exceptionally high-grade materials throughout the interior and exterior of the structure. The design features exceptionally high-quality exterior refinements and ornamentation, and exceptionally high-quality interior refinements. The workmanship, materials, and finishes throughout the dwelling are of exceptionally high quality.

Q2

Dwellings with this quality rating are often custom designed for construction on an individual property owner’s site. However, dwellings in this quality grade are also found in high-quality tract developments featuring residence constructed from individual plans or from highly modified or upgraded plans. The design features detailed, high quality exterior ornamentation, high-quality interior refinements, and detail. The workmanship, materials, and finishes throughout the dwelling are generally of high or very high quality.

Serial# 452C540F
esign.alamode.com/verify

UNIFORM APPRAISAL DATASET (UAD) DEFINITIONS ADDENDUM

(Source: Fannie Mae UAD Appendix D: UAD Field-Specific Standardization Requirements)

Quality Ratings and Definitions (continued)

Q3

Dwellings with this quality rating are residences of higher quality built from individual or readily available designer plans in above-standard residential tract developments or on an individual property owner's site. The design includes significant exterior ornamentation and interiors that are well finished. The workmanship exceeds acceptable standards and many materials and finishes throughout the dwelling have been upgraded from "stock" standards.

Q4

Dwellings with this quality rating meet or exceed the requirements of applicable building codes. Standard or modified standard building plans are utilized and the design includes adequate fenestration and some exterior ornamentation and interior refinements. Materials, workmanship, finish, and equipment are of stock or builder grade and may feature some upgrades.

Q5

Dwellings with this quality rating feature economy of construction and basic functionality as main considerations. Such dwellings feature a plain design using readily available or basic floor plans featuring minimal fenestration and basic finishes with minimal exterior ornamentation and limited interior detail. These dwellings meet minimum building codes and are constructed with inexpensive, stock materials with limited refinements and upgrades.

Q6

Dwellings with this quality rating are of basic quality and lower cost; some may not be suitable for year-round occupancy. Such dwellings are often built with simple plans or without plans, often utilizing the lowest quality building materials. Such dwellings are often built or expanded by persons who are professionally unskilled or possess only minimal construction skills. Electrical, plumbing, and other mechanical systems and equipment may be minimal or non-existent. Older dwellings may feature one or more substandard or non-conforming additions to the original structure

Definitions of Not Updated, Updated, and Remodeled

Not Updated

Little or no updating or modernization. This description includes, but is not limited to, new homes.

Residential properties of fifteen years of age or less often reflect an original condition with no updating, if no major components have been replaced or updated. Those over fifteen years of age are also considered not updated if the appliances, fixtures, and finishes are predominantly dated. An area that is 'Not Updated' may still be well maintained and fully functional, and this rating does not necessarily imply deferred maintenance or physical/functional deterioration.

Updated

The area of the home has been modified to meet current market expectations. These modifications are limited in terms of both scope and cost.

An updated area of the home should have an improved look and feel, or functional utility. Changes that constitute updates include refurbishment and/or replacing components to meet existing market expectations. Updates do not include significant alterations to the existing structure.

Remodeled

Significant finish and/or structural changes have been made that increase utility and appeal through complete replacement and/or expansion.

A remodeled area reflects fundamental changes that include multiple alterations. These alterations may include some or all of the following: replacement of a major component (cabinet(s), bathtub, or bathroom tile), relocation of plumbing/gas fixtures/appliances, significant structural alterations (relocating walls, and/or the addition of) square footage). This would include a complete gutting and rebuild.

Explanation of Bathroom Count

Three-quarter baths are counted as a full bath in all cases. Quarter baths (baths that feature only a toilet) are not included in the bathroom count. The number of full and half baths is reported by separating the two values using a period, where the full bath count is represented to the left of the period and the half bath count is represented to the right of the period.

Example:
3.2 indicates three full baths and two half baths.

Serial# 452C540F
esign.alamode.com/verify

UNIFORM APPRAISAL DATASET (UAD) DEFINITIONS ADDENDUM

(Source: Fannie Mae UAD Appendix D: UAD Field-Specific Standardization Requirements)

Abbreviations Used in Data Standardization Text

Abbreviation	Full Name	Fields Where This Abbreviation May Appear
A	Adverse	Location & View
ac	Acres	Area, Site
AdjPrk	Adjacent to Park	Location
AdjPwr	Adjacent to Power Lines	Location
ArmLth	Arms Length Sale	Sale or Financing Concessions
AT	Attached Structure	Design (Style)
B	Beneficial	Location & View
ba	Bathroom(s)	Basement & Finished Rooms Below Grade
br	Bedroom	Basement & Finished Rooms Below Grade
BsyRd	Busy Road	Location
c	Contracted Date	Date of Sale/Time
Cash	Cash	Sale or Financing Concessions
Comm	Commercial Influence	Location
Conv	Conventional	Sale or Financing Concessions
cp	Carport	Garage/Carport
CrtOrd	Court Ordered Sale	Sale or Financing Concessions
CtySky	City View Skyline View	View
CtyStr	City Street View	View
cv	Covered	Garage/Carport
DOM	Days On Market	Data Sources
DT	Detached Structure	Design (Style)
dw	Driveway	Garage/Carport
e	Expiration Date	Date of Sale/Time
Estate	Estate Sale	Sale or Financing Concessions
FHA	Federal Housing Authority	Sale or Financing Concessions
g	Garage	Garage/Carport
ga	Attached Garage	Garage/Carport
gbi	Built-in Garage	Garage/Carport
gd	Detached Garage	Garage/Carport
GlfCse	Golf Course	Location
Glfvw	Golf Course View	View
GR	Garden	Design (Style)
HR	High Rise	Design (Style)
in	Interior Only Stairs	Basement & Finished Rooms Below Grade
Ind	Industrial	Location & View
Listing	Listing	Sale or Financing Concessions
Lndfl	Landfill	Location
LtdSght	Limited Sight	View
MR	Mid-rise	Design (Style)
Mtn	Mountain View	View
N	Neutral	Location & View
NonArm	Non-Arms Length Sale	Sale or Financing Concessions
o	Other	Basement & Finished Rooms Below Grade
O	Other	Design (Style)
op	Open	Garage/Carport
Prk	Park View	View
Pstrl	Pastoral View	View
PwrLn	Power Lines	View
PubTrn	Public Transportation	Location
Relo	Relocation Sale	Sale or Financing Concessions
REO	REO Sale	Sale or Financing Concessions
Res	Residential	Location & View
RH	USDA - Rural Housing	Sale or Financing Concessions
rr	Recreational (Rec) Room	Basement & Finished Rooms Below Grade
RT	Row or Townhouse	Design (Style)
s	Settlement Date	Date of Sale/Time
SD	Semi-detached Structure	Design (Style)
Short	Short Sale	Sale or Financing Concessions
sf	Square Feet	Area, Site, Basement
sqm	Square Meters	Area, Site
Unk	Unknown	Date of Sale/Time
VA	Veterans Administration	Sale or Financing Concessions
w	Withdrawn Date	Date of Sale/Time
wo	Walk Out Basement	Basement & Finished Rooms Below Grade
Woods	Woods View	View
Wtr	Water View	View
WtrFr	Water Frontage	Location
wu	Walk Up Basement	Basement & Finished Rooms Below Grade

Serial# 452C540F
esign.alamode.com/verify

Certification

Business, Consumer Services & Housing Agency

BUREAU OF REAL ESTATE APPRAISERS

REAL ESTATE APPRAISER LICENSE

Cameron C. Betts

has successfully met the requirements for a license as a residential real estate appraiser in the State of California and is, therefore, entitled to use the title:

"Certified Residential Real Estate Appraiser"

This license has been issued in accordance with the provisions of the Real Estate Appraisers' Licensing and Certification Law.

BREA APPRAISER IDENTIFICATION NUMBER: 3004142

Effective Date: September 22, 2024
Date Expires: September 21, 2026

Angela Jemmott, Bureau Chief, BREA

3078220

THIS DOCUMENT CONTAINS A TRUE WATERMARK - HOLD UP TO LIGHT TO SEE "CHAIN LINK"

Serial# 452C540F
esign.alamode.com/verify

Form SCNLGL - "TOTAL" appraisal software by a la mode, inc. - 1-800-ALAMODE

GREAT AMERICAN INSURANCE GROUP

301 E. Fourth Street, Cincinnati, OH 45202

DECLARATIONS
for
REAL ESTATE APPRAISERS ERRORS & OMISSIONS INSURANCE POLICY

THIS IS BOTH A CLAIMS MADE AND REPORTED INSURANCE POLICY.

THIS POLICY APPLIES TO THOSE CLAIMS THAT ARE FIRST MADE AGAINST THE INSURED AND REPORTED IN WRITING TO THE COMPANY DURING THE POLICY PERIOD.

Insurance is afforded by the company indicated below: (A capital stock corporation)

☒ Great American Assurance Company

Note: The Insurance Company selected above shall herein be referred to as the **Company**.

Policy Number: **RAP4117959-25** Renewal of: **RAP4117959-24**

Program Administrator: **Herbert H. Landy Insurance Agency Inc.**
100 River Ridge Drive, Suite 301 Norwood, MA 02062

Item 1. **Named Insured**: **Cameron Betts**

Item 2. **Address**: **4910 Concord Road**
City, State, Zip Code: **Sacramento, CA 95820**

Item 3. **Policy Period**: From **10/19/2025** *(Month, Day, Year)* To **10/19/2026** *(Month, Day, Year)*
(Both dates at 12:01 a.m. Standard Time at the address of the **Named Insured** as stated in Item 2.)

Item 4. **Limits of Liability**:

A. $ **1,000,000** **Damages** Limit of Liability – Each **Claim**

B. $ **1,000,000** **Claim Expenses** Limit of Liability – Each **Claim**

C. $ **2,000,000** **Damages** Limit of Liability – Policy Aggregate

D. $ **2,000,000** **Claim Expenses** Limit of Liability – Policy Aggregate

Item 5. **Deductible** (Inclusive of **Claim Expenses**):

A. $ **500** Each **Claim**

B. $ **1,000** Aggregate

Item 6. **Premium**: $ **967.00**

Item 7. **Retroactive Date** (if applicable): **10/19/2017**

Item 8. **Forms, Notices and Endorsements attached**:
D42100 (03/15) D42300 CA (10/13) IL7324 (07/21)
D42412 (03/17) D42413 (06/17) D42414 (08/19)

Authorized Representative

Form SCNLGL - "TOTAL" appraisal software by a la mode, inc. - 1-800-ALAMODE

Serial# 452C540F
esign.alamode.com/verify