APPRAISAL OF REAL PROPERTY

TRUE FOOTAGE

LOCATED AT
1313 Lake Dr
Encinitas, CA 92024

FOR
LendSure Mortgage Corp
12230 World Trade Dr, Suite 250, San Diego, CA, 92128

OPINION OF VALUE
3,019,000

AS OF
12/11/2025

BY

True Footage, Inc.
P.O. Box 736595
Dallas, TX 75373-6595
(833) 732-8783
Orders@TrueFootage.tech
www.TrueFootage.tech

Borrower	Jose Luis Arellano; Odilon Diaz					File No.	15509830
Property Address	1313 Lake Dr						
City	Encinitas	County	San Diego	State	CA	Zip Code	92024
Lender/Client	LendSure Mortgage Corp						

TABLE OF CONTENTS

Cover Page 1
Table of Contents 2
URAR 3
URAR 4
Additional Comparables 4-6 5
URAR 6
URAR 7
URAR 8
URAR 9
Additional Assumptions, Limiting Conditions, & Certification 10
Supplemental Addendum 13
Market Conditions Addendum to the Appraisal Report 18
Location Map 19
Aerial Map 20
Plat Map 21
Building Sketch (Page - 1) 22
Building Sketch (Page - 2) 23
Subject Photos 24
Photograph Addendum 25
Photograph Addendum 26
Photograph Addendum 27
Adjustment Methods Definitions - Page 1 28
Adjustment Methods Definitions - Page 2 29
Adjustment Comments 30
Adjustment Support - Page 1 31
Adjustment Support - Page 2 32
Market Conditions Charts 1-4 33
Market Conditions Charts 5-8 34
Market Conditions Charts 9-12 35
Market Conditions Charts 13-16 36
Comparable Photos 1-3 37
Comparable Photos 4-6 38
UAD Definitions Addendum 39
USPAP Identification 42
Property History 43
Appraiser License/Certification 44
Insurance 45

Uniform Residential Appraisal Report

15509830
File # 15509830

The purpose of this summary appraisal report is to provide the lender/client with an accurate, and adequately supported, opinion of the market value of the subject property.

SUBJECT

Property Address 1313 Lake Dr | City Encinitas | State CA | Zip Code 92024
Borrower Jose Luis Arellano; Odilon Diaz | Owner of Public Record Arellano Jose L and Diaz Odilon | County San Diego
Legal Description POR SEC 23-13-4W
Assessor's Parcel # 260-213-09-00 | Tax Year 2025 | R.E. Taxes $ 11,640
Neighborhood Name Encinitas | Map Reference 24-F6 | Census Tract 0174.06
Occupant [X] Owner [ ] Tenant [ ] Vacant | Special Assessments $ 0 | [ ] PUD | HOA $ 0 [ ] per year [ ] per month
Property Rights Appraised [X] Fee Simple [ ] Leasehold [ ] Other (describe)
Assignment Type [ ] Purchase Transaction [X] Refinance Transaction [ ] Other (describe)
Lender/Client LendSure Mortgage Corp | Address 12230 World Trade Dr, Suite 250, San Diego, CA, 92128
Is the subject property currently offered for sale or has it been offered for sale in the twelve months prior to the effective date of this appraisal? [ ] Yes [X] No
Report data source(s) used, offering price(s), and date(s). Per CRMLS, there are no known listings of the subject property in the prior 12 months.

CONTRACT

I [ ] did [ ] did not analyze the contract for sale for the subject purchase transaction. Explain the results of the analysis of the contract for sale or why the analysis was not performed.

Contract Price $ | Date of Contract | Is the property seller the owner of public record? [ ] Yes [ ] No | Data Source(s)
Is there any financial assistance (loan charges, sale concessions, gift or downpayment assistance, etc.) to be paid by any party on behalf of the borrower? [ ] Yes [ ] No
If Yes, report the total dollar amount and describe the items to be paid.

NEIGHBORHOOD

Note: Race and the racial composition of the neighborhood are not appraisal factors.

Neighborhood Characteristics			One-Unit Housing Trends			One-Unit Housing			Present Land Use %	
Location	[ ] Urban	[X] Suburban	[ ] Rural	Property Values	[X] Increasing	[ ] Stable	[ ] Declining	PRICE	AGE	One-Unit 70 %
Built-Up	[ ] Over 75%	[X] 25-75%	[ ] Under 25%	Demand/Supply	[X] Shortage	[ ] In Balance	[ ] Over Supply	$ (000)	(yrs)	2-4 Unit 5 %
Growth	[ ] Rapid	[X] Stable	[ ] Slow	Marketing Time	[X] Under 3 mths	[ ] 3-6 mths	[ ] Over 6 mths	48 Low	0	Multi-Family 5 %
Neighborhood Boundaries	The neighborhood is bounded by Carlsbad North, Solana Beach South,							12,500 High	96	Commercial 15 %
Rancho Santa Fe East and the Pacific Ocean West.								1,908 Pred.	40	Other 5 %

Neighborhood Description See attached addenda.

Market Conditions (including support for the above conclusions) See attached addenda.

SITE

Dimensions See Site Map For Area Calculation | Area 2.39 ac | Shape Rectangular | View N;Pstrl;Res
Specific Zoning Classification RR-1 | Zoning Description Rural Residential 1
Zoning Compliance [X] Legal [ ] Legal Nonconforming (Grandfathered Use) [ ] No Zoning [ ] Illegal (describe)
Is the highest and best use of subject property as improved (or as proposed per plans and specifications) the present use? [X] Yes [ ] No If No, describe See attached addenda.

Utilities	Public	Other (describe)		Public	Other (describe)	Off-site Improvements – Type	Public	Private
Electricity	[X]	[ ]	Water	[X]	[ ]	Street Asphalt	[X]	[ ]
Gas	[X]	[ ]	Sanitary Sewer	[X]	[ ]	Alley None	[ ]	[ ]

FEMA Special Flood Hazard Area [ ] Yes [X] No | FEMA Flood Zone X | FEMA Map # 06073C1042H | FEMA Map Date 12/20/2019
Are the utilities and off-site improvements typical for the market area? [X] Yes [ ] No If No, describe
Are there any adverse site conditions or external factors (easements, encroachments, environmental conditions, land uses, etc.)? [ ] Yes [X] No If Yes, describe
See attached addenda.

IMPROVEMENTS

General Description		Foundation		Exterior Description	materials/condition	Interior	materials/condition
Units	[X] One [ ] One with Accessory Unit	[X] Concrete Slab	[ ] Crawl Space	Foundation Walls	Concrete/Avg	Floors	Tile/Avg
# of Stories	1	[ ] Full Basement	[ ] Partial Basement	Exterior Walls	Stucco/Avg	Walls	Drywall/Avg
Type	[X] Det. [ ] Att. [ ] S-Det./End Unit	Basement Area	0 sq.ft.	Roof Surface	Comp/Avg	Trim/Finish	Wd/Avg
[X] Existing	[ ] Proposed [ ] Under Const.	Basement Finish	0 %	Gutters & Downspouts	Metal/Avg	Bath Floor	Tile/Avg
Design (Style)	Contemp.	[ ] Outside Entry/Exit	[ ] Sump Pump	Window Type	Sliding/Avg	Bath Wainscot	Tile/Fiber/Avg
Year Built	1964	Evidence of [ ] Infestation		Storm Sash/Insulated	None/No	Car Storage	[ ] None
Effective Age (Yrs)	20	[ ] Dampness	[ ] Settlement	Screens	Aluminum/Avg	[X] Driveway	# of Cars 2
Attic	[ ] None	Heating [ ] FWA	[ ] HWBB [ ] Radiant	Amenities	[ ] Woodstove(s) # 0	Driveway Surface	Concrete
[ ] Drop Stair	[ ] Stairs	[X] Other Wall	Fuel Gas	[ ] Fireplace(s) # 0	[X] Fence Masonry	[X] Garage	# of Cars 2
[ ] Floor	[X] Scuttle	Cooling [ ] Central Air Conditioning		[X] Patio/Deck Opn.	[X] Porch Cvd.	[ ] Carport	# of Cars 0
[ ] Finished	[ ] Heated	[ ] Individual	[X] Other None	[X] Pool In-Grnd	[X] Other Outbldg(s)	[X] Att.	[ ] Det. [ ] Built-in

Appliances [ ] Refrigerator [X] Range/Oven [X] Dishwasher [ ] Disposal [ ] Microwave [ ] Washer/Dryer [X] Other (describe) 2nd kitchen
Finished area **above** grade contains: 9 Rooms 5 Bedrooms 3.1 Bath(s) 2,913 Square Feet of Gross Living Area Above Grade
Additional features (special energy efficient items, etc.). The additional features include; built-ins, stone countertops, stainless steel appliances.

Describe the condition of the property (including needed repairs, deterioration, renovations, remodeling, etc.). C4;Kitchen-updated-timeframe unknown;Bathrooms-updated-timeframe unknown;All major building components are functioning properly. No major repairs are needed.

Are there any physical deficiencies or adverse conditions that affect the livability, soundness, or structural integrity of the property? [ ] Yes [X] No If Yes, describe

Does the property generally conform to the neighborhood (functional utility, style, condition, use, construction, etc.)? [X] Yes [ ] No If No, describe

Form 1004UAD - "TOTAL" appraisal software by a la mode, inc. - 1-800-ALAMODE

Uniform Residential Appraisal Report

15509830
File # 15509830

There are 95 comparable properties currently offered for sale in the subject neighborhood ranging in price from $ 209,000 to $ 23,900,000 .

There are 459 comparable sales in the subject neighborhood within the past twelve months ranging in sale price from $ 48,000 to $ 12,500,000 .

SALES COMPARISON APPROACH

FEATURE	SUBJECT	COMPARABLE SALE # 1		COMPARABLE SALE # 2		COMPARABLE SALE # 3	
Address	1313 Lake Dr Encinitas, CA 92024	440 Saxony Rd Encinitas, CA 92024		624 Windmill Ranch Rd Encinitas, CA 92024		754 Plato Pl Encinitas, CA 92024	
Proximity to Subject		1.97 miles NW		2.28 miles NE		3.50 miles NW	
Sale Price	$		$ 2,500,000		$ 2,750,000		$ 2,800,000
Sale Price/Gross Liv. Area	$ sq.ft.	$ 2314.81 sq.ft.		$ 926.55 sq.ft.		$ 1469.05 sq.ft.	
Data Source(s)		CRMLS #250034242SD;DOM 35		CRMLS #NDP2509986;DOM 6		CRMLS #NDP2307789;DOM 198	
Verification Source(s)		Doc #267942/Realist		Doc #311204/Realist		Doc #124155/Realist	
VALUE ADJUSTMENTS	DESCRIPTION	DESCRIPTION	+(-) $ Adjustment	DESCRIPTION	+(-) $ Adjustment	DESCRIPTION	+(-) $ Adjustment
Sales or Financing Concessions		ArmLth Cash;0		ArmLth Cash;0		ArmLth Cash;0	
Date of Sale/Time		s09/25;c09/25	+3,485	s11/25;c10/25	+2,480	s05/24;c04/24	+27,230
Location	N;Res;	N;Res;		N;Res;		N;Res;	
Leasehold/Fee Simple	Fee Simple	Fee Simple		Fee Simple		Fee Simple	
Site	2.39 ac	2.82 ac	-56,192	1.09 ac	+169,884	1.22 ac	+152,896
View	N;Pstrl;Res	N;Pstrl;Res		N;Pstrl;Res		N;Res;	0
Design (Style)	DT1;Contemp.	DT1;Trad.	0	DT2;Contemp.	0	DT1;Contemp.	
Quality of Construction	Q4	Q4		Q3	-150,000	Q4	
Actual Age	61	90	0	46	0	64	0
Condition	C4	C4		C3	-80,000	C4	
Above Grade Room Count (Total / Bdrms. / Baths)	9 / 5 / 3.1	4 / 2 / 1.0	+50,000	7 / 5 / 3.0	+10,000	8 / 4 / 3.0	+10,000
Gross Living Area	2,913 sq.ft.	1,080 sq.ft.	+201,630	2,968 sq.ft.	0	1,906 sq.ft.	+110,770
Basement & Finished Rooms Below Grade	0sf	0sf		0sf		0sf	
Functional Utility	Adequate	Adequate		Adequate		Adequate	
Heating/Cooling	Wall/NoAC	Wall/NoAC		Wall/NoAC		Wall/NoAC	
Energy Efficient Items	None	None		None		None	
Garage/Carport	2ga2dw	2ga2dw		2ga1cp2dw	0	2ga2dw	
Porch/Patio/Deck	Porch/Patio	Porch/Patio		Porch/Patio		Porch/Patio	
Pool Features	Pool	No Pool	+40,000	Pool		No Pool	+40,000
Fireplaces	None	None		1 Fireplace	0	2 Fireplace	0
Exterior Features	Outbuilding(s)	Outbuilding(s)		Outbuilding(s)		Outbuilding(s)	
Net Adjustment (Total)		☒ + ☐ -	$ 238,923	☐ + ☒ -	$ -47,636	☒ + ☐ -	$ 340,896
Adjusted Sale Price of Comparables		Net Adj. 9.6 % Gross Adj. 14.1 %	$ 2,738,923	Net Adj. 1.7 % Gross Adj. 15.0 %	$ 2,702,364	Net Adj. 12.2 % Gross Adj. 12.2 %	$ 3,140,896

I ☒ did ☐ did not research the sale or transfer history of the subject property and comparable sales. If not, explain

My research ☐ did ☒ did not reveal any prior sales or transfers of the subject property for the three years prior to the effective date of this appraisal.

Data Source(s) Public Records

My research ☒ did ☐ did not reveal any prior sales or transfers of the comparable sales for the year prior to the date of sale of the comparable sale.

Data Source(s) Public Records

Report the results of the research and analysis of the prior sale or transfer history of the subject property and comparable sales (report additional prior sales on page 3).

ITEM	SUBJECT	COMPARABLE SALE #1	COMPARABLE SALE #2	COMPARABLE SALE #3
Date of Prior Sale/Transfer		09/26/2025	11/04/2025	10/10/2023
Price of Prior Sale/Transfer		$0	$0	$0
Data Source(s)	Realist	Realist	Realist	Realist
Effective Date of Data Source(s)	12/12/2025	12/12/2025	12/12/2025	12/12/2025

Analysis of prior sale or transfer history of the subject property and comparable sales See attached "Property History" addendum for detailed transfer history and analysis.

Summary of Sales Comparison Approach See attached addenda.

Indicated Value by Sales Comparison Approach $ 3,019,000

RECONCILIATION

Indicated Value by: Sales Comparison Approach $ 3,019,000 **Cost Approach (if developed) $** **Income Approach (if developed) $** 0

See attached addenda.

This appraisal is made ☒ "as is", ☐ subject to completion per plans and specifications on the basis of a hypothetical condition that the improvements have been completed, ☐ subject to the following repairs or alterations on the basis of a hypothetical condition that the repairs or alterations have been completed, or ☐ subject to the following required inspection based on the extraordinary assumption that the condition or deficiency does not require alteration or repair: See attached addenda.

Based on a complete visual inspection of the interior and exterior areas of the subject property, defined scope of work, statement of assumptions and limiting conditions, and appraiser's certification, my (our) opinion of the market value, as defined, of the real property that is the subject of this report is $ 3,019,000 **, as of** 12/11/2025 **, which is the date of inspection and the effective date of this appraisal.**

Form 1004UAD - "TOTAL" appraisal software by a la mode, inc. - 1-800-ALAMODE

Uniform Residential Appraisal Report

15509830
File # 15509830

SALES COMPARISON APPROACH

FEATURE	SUBJECT	COMPARABLE SALE # 4		COMPARABLE SALE # 5		COMPARABLE SALE # 6	
Address	1313 Lake Dr Encinitas, CA 92024	1691 Crest Dr Encinitas, CA 92024					
Proximity to Subject		0.50 miles SE					
Sale Price	$		$ 3,200,000		$		$
Sale Price/Gross Liv. Area	$ sq.ft.	$ 2255.11 sq.ft.		$ sq.ft.		$ sq.ft.	
Data Source(s)		CRMLS #250025039SD;DOM 74					
Verification Source(s)		Doc #176811/Realist					
VALUE ADJUSTMENTS	DESCRIPTION	DESCRIPTION	+(-) $ Adjustment	DESCRIPTION	+(-) $ Adjustment	DESCRIPTION	+(-) $ Adjustment
Sales or Financing Concessions		ArmLth Cash;0					
Date of Sale/Time		s07/25;c06/25	+9,918				
Location	N;Res;	N;Res;					
Leasehold/Fee Simple	Fee Simple	Fee Simple					
Site	2.39 ac	1.27 ac	+146,362				
View	N;Pstrl;Res	B;Mtn;Res	-100,000				
Design (Style)	DT1;Contemp.	DT1;Contemp.					
Quality of Construction	Q4	Q4					
Actual Age	61	79	0				
Condition	C4	C4					
Above Grade Room Count (Total / Bdrms. / Baths)	9 / 5 / 3.1	4 / 2 / 1.0	+50,000	/ /		/ /	
Gross Living Area	2,913 sq.ft.	1,419 sq.ft.	+164,340	sq.ft.		sq.ft.	
Basement & Finished Rooms Below Grade	0sf	0sf					
Functional Utility	Adequate	Adequate					
Heating/Cooling	Wall/NoAC	Wall/NoAC					
Energy Efficient Items	None	None					
Garage/Carport	2ga2dw	2gd2dw	0				
Porch/Patio/Deck	Porch/Patio	Porch/Patio					
Pool Features	Pool	No Pool	+25,000				
Fireplaces	None	None					
Exterior Features	Outbuilding(s)	Outbuilding(s)					
Net Adjustment (Total)		☒ + ☐ -	$ 295,620	☐ + ☐ -	$	☐ + ☐ -	$
Adjusted Sale Price of Comparables		Net Adj. 9.2 % Gross Adj. 15.5 %	$ 3,495,620	Net Adj. % Gross Adj. %	$	Net Adj. % Gross Adj. %	$

SALE HISTORY

Report the results of the research and analysis of the prior sale or transfer history of the subject property and comparable sales (report additional prior sales on page 3).

ITEM	SUBJECT	COMPARABLE SALE # 4	COMPARABLE SALE # 5	COMPARABLE SALE # 6
Date of Prior Sale/Transfer				
Price of Prior Sale/Transfer				
Data Source(s)	Realist	Realist		
Effective Date of Data Source(s)	12/12/2025	12/12/2025		

Analysis of prior sale or transfer history of the subject property and comparable sales See previous page.

ANALYSIS / COMMENTS

Analysis/Comments See attached addenda.

Form 1004UAD.(AC) - "TOTAL" appraisal software by a la mode, inc. - 1-800-ALAMODE

Uniform Residential Appraisal Report

ADDITIONAL COMMENTS

For additional commentary, please see attached addenda.

COST APPROACH

COST APPROACH TO VALUE (not required by Fannie Mae)

Provide adequate information for the lender/client to replicate the below cost figures and calculations.

Support for the opinion of site value (summary of comparable land sales or other methods for estimating site value) See Addenda

ESTIMATED ☐ REPRODUCTION OR ☐ REPLACEMENT COST NEW	OPINION OF SITE VALUE			=$ 2,500,000
Source of cost data	DWELLING	Sq.Ft. @ $		=$
Quality rating from cost service Effective date of cost data		Sq.Ft. @ $		=$
Comments on Cost Approach (gross living area calculations, depreciation, etc.)				=$
	Garage/Carport	Sq.Ft. @ $		=$
	Total Estimate of Cost-New			=$
	Less Physical	Functional	External	
	Depreciation			=$( )
	Depreciated Cost of Improvements			=$
	"As-is" Value of Site Improvements			=$
Estimated Remaining Economic Life (HUD and VA only) 45 Years	**INDICATED VALUE BY COST APPROACH**			**=$**

INCOME

INCOME APPROACH TO VALUE (not required by Fannie Mae)

Estimated Monthly Market Rent $ 0 X Gross Rent Multiplier 0 = $ 0 Indicated Value by Income Approach

Summary of Income Approach (including support for market rent and GRM) See Addenda

PUD INFORMATION

PROJECT INFORMATION FOR PUDs (if applicable)

Is the developer/builder in control of the Homeowners' Association (HOA)? ☐ Yes ☐ No Unit type(s) ☐ Detached ☐ Attached

Provide the following information for PUDs ONLY if the developer/builder is in control of the HOA and the subject property is an attached dwelling unit.

Legal Name of Project

Total number of phases Total number of units Total number of units sold

Total number of units rented Total number of units for sale Data source(s)

Was the project created by the conversion of existing building(s) into a PUD? ☐ Yes ☐ No If Yes, date of conversion.

Does the project contain any multi-dwelling units? ☐ Yes ☐ No Data Source

Are the units, common elements, and recreation facilities complete? ☐ Yes ☐ No If No, describe the status of completion.

Are the common elements leased to or by the Homeowners' Association? ☐ Yes ☐ No If Yes, describe the rental terms and options.

Describe common elements and recreational facilities.

Form 1004UAD - "TOTAL" appraisal software by a la mode, inc. - 1-800-ALAMODE

This report form is designed to report an appraisal of a one-unit property or a one-unit property with an accessory unit; including a unit in a planned unit development (PUD). This report form is not designed to report an appraisal of a manufactured home or a unit in a condominium or cooperative project.

This appraisal report is subject to the following scope of work, intended use, intended user, definition of market value, statement of assumptions and limiting conditions, and certifications. Modifications, additions, or deletions to the intended use, intended user, definition of market value, or assumptions and limiting conditions are not permitted. The appraiser may expand the scope of work to include any additional research or analysis necessary based on the complexity of this appraisal assignment. Modifications or deletions to the certifications are also not permitted. However, additional certifications that do not constitute material alterations to this appraisal report, such as those required by law or those related to the appraiser's continuing education or membership in an appraisal organization, are permitted.

SCOPE OF WORK: The scope of work for this appraisal is defined by the complexity of this appraisal assignment and the reporting requirements of this appraisal report form, including the following definition of market value, statement of assumptions and limiting conditions, and certifications. The appraiser must, at a minimum: (1) perform a complete visual inspection of the interior and exterior areas of the subject property, (2) inspect the neighborhood, (3) inspect each of the comparable sales from at least the street, (4) research, verify, and analyze data from reliable public and/or private sources, and (5) report his or her analysis, opinions, and conclusions in this appraisal report.

INTENDED USE: The intended use of this appraisal report is for the lender/client to evaluate the property that is the subject of this appraisal for a mortgage finance transaction.

INTENDED USER: The intended user of this appraisal report is the lender/client.

DEFINITION OF MARKET VALUE: The most probable price which a property should bring in a competitive and open market under all conditions requisite to a fair sale, the buyer and seller, each acting prudently, knowledgeably and assuming the price is not affected by undue stimulus. Implicit in this definition is the consummation of a sale as of a specified date and the passing of title from seller to buyer under conditions whereby: (1) buyer and seller are typically motivated; (2) both parties are well informed or well advised, and each acting in what he or she considers his or her own best interest; (3) a reasonable time is allowed for exposure in the open market; (4) payment is made in terms of cash in U. S. dollars or in terms of financial arrangements comparable thereto; and (5) the price represents the normal consideration for the property sold unaffected by special or creative financing or sales concessions* granted by anyone associated with the sale.

*Adjustments to the comparables must be made for special or creative financing or sales concessions. No adjustments are necessary for those costs which are normally paid by sellers as a result of tradition or law in a market area; these costs are readily identifiable since the seller pays these costs in virtually all sales transactions. Special or creative financing adjustments can be made to the comparable property by comparisons to financing terms offered by a third party institutional lender that is not already involved in the property or transaction. Any adjustment should not be calculated on a mechanical dollar for dollar cost of the financing or concession but the dollar amount of any adjustment should approximate the market's reaction to the financing or concessions based on the appraiser's judgment.

STATEMENT OF ASSUMPTIONS AND LIMITING CONDITIONS: The appraiser's certification in this report is subject to the following assumptions and limiting conditions:

1. The appraiser will not be responsible for matters of a legal nature that affect either the property being appraised or the title to it, except for information that he or she became aware of during the research involved in performing this appraisal. The appraiser assumes that the title is good and marketable and will not render any opinions about the title.

2. The appraiser has provided a sketch in this appraisal report to show the approximate dimensions of the improvements. The sketch is included only to assist the reader in visualizing the property and understanding the appraiser's determination of its size.

3. The appraiser has examined the available flood maps that are provided by the Federal Emergency Management Agency (or other data sources) and has noted in this appraisal report whether any portion of the subject site is located in an identified Special Flood Hazard Area. Because the appraiser is not a surveyor, he or she makes no guarantees, express or implied, regarding this determination.

4. The appraiser will not give testimony or appear in court because he or she made an appraisal of the property in question, unless specific arrangements to do so have been made beforehand, or as otherwise required by law.

5. The appraiser has noted in this appraisal report any adverse conditions (such as needed repairs, deterioration, the presence of hazardous wastes, toxic substances, etc.) observed during the inspection of the subject property or that he or she became aware of during the research involved in performing the appraisal. Unless otherwise stated in this appraisal report, the appraiser has no knowledge of any hidden or unapparent physical deficiencies or adverse conditions of the property (such as, but not limited to, needed repairs, deterioration, the presence of hazardous wastes, toxic substances, adverse environmental conditions, etc.) that would make the property less valuable, and has assumed that there are no such conditions and makes no guarantees or warranties, express or implied. The appraiser will not be responsible for any such conditions that do exist or for any engineering or testing that might be required to discover whether such conditions exist. Because the appraiser is not an expert in the field of environmental hazards, this appraisal report must not be considered as an environmental assessment of the property.

6. The appraiser has based his or her appraisal report and valuation conclusion for an appraisal that is subject to satisfactory completion, repairs, or alterations on the assumption that the completion, repairs, or alterations of the subject property will be performed in a professional manner.

Form 1004UAD - "TOTAL" appraisal software by a la mode, inc. - 1-800-ALAMODE

APPRAISER'S CERTIFICATION: The Appraiser certifies and agrees that:

1. I have, at a minimum, developed and reported this appraisal in accordance with the scope of work requirements stated in this appraisal report.

2. I performed a complete visual inspection of the interior and exterior areas of the subject property. I reported the condition of the improvements in factual, specific terms. I identified and reported the physical deficiencies that could affect the livability, soundness, or structural integrity of the property.

3. I performed this appraisal in accordance with the requirements of the Uniform Standards of Professional Appraisal Practice that were adopted and promulgated by the Appraisal Standards Board of The Appraisal Foundation and that were in place at the time this appraisal report was prepared.

4. I developed my opinion of the market value of the real property that is the subject of this report based on the sales comparison approach to value. I have adequate comparable market data to develop a reliable sales comparison approach for this appraisal assignment. I further certify that I considered the cost and income approaches to value but did not develop them, unless otherwise indicated in this report.

5. I researched, verified, analyzed, and reported on any current agreement for sale for the subject property, any offering for sale of the subject property in the twelve months prior to the effective date of this appraisal, and the prior sales of the subject property for a minimum of three years prior to the effective date of this appraisal, unless otherwise indicated in this report.

6. I researched, verified, analyzed, and reported on the prior sales of the comparable sales for a minimum of one year prior to the date of sale of the comparable sale, unless otherwise indicated in this report.

7. I selected and used comparable sales that are locationally, physically, and functionally the most similar to the subject property.

8. I have not used comparable sales that were the result of combining a land sale with the contract purchase price of a home that has been built or will be built on the land.

9. I have reported adjustments to the comparable sales that reflect the market's reaction to the differences between the subject property and the comparable sales.

10. I verified, from a disinterested source, all information in this report that was provided by parties who have a financial interest in the sale or financing of the subject property.

11. I have knowledge and experience in appraising this type of property in this market area.

12. I am aware of, and have access to, the necessary and appropriate public and private data sources, such as multiple listing services, tax assessment records, public land records and other such data sources for the area in which the property is located.

13. I obtained the information, estimates, and opinions furnished by other parties and expressed in this appraisal report from reliable sources that I believe to be true and correct.

14. I have taken into consideration the factors that have an impact on value with respect to the subject neighborhood, subject property, and the proximity of the subject property to adverse influences in the development of my opinion of market value. I have noted in this appraisal report any adverse conditions (such as, but not limited to, needed repairs, deterioration, the presence of hazardous wastes, toxic substances, adverse environmental conditions, etc.) observed during the inspection of the subject property or that I became aware of during the research involved in performing this appraisal. I have considered these adverse conditions in my analysis of the property value, and have reported on the effect of the conditions on the value and marketability of the subject property.

15. I have not knowingly withheld any significant information from this appraisal report and, to the best of my knowledge, all statements and information in this appraisal report are true and correct.

16. I stated in this appraisal report my own personal, unbiased, and professional analysis, opinions, and conclusions, which are subject only to the assumptions and limiting conditions in this appraisal report.

17. I have no present or prospective interest in the property that is the subject of this report, and I have no present or prospective personal interest or bias with respect to the participants in the transaction. I did not base, either partially or completely, my analysis and/or opinion of market value in this appraisal report on the race, color, religion, sex, age, marital status, handicap, familial status, or national origin of either the prospective owners or occupants of the subject property or of the present owners or occupants of the properties in the vicinity of the subject property or on any other basis prohibited by law.

18. My employment and/or compensation for performing this appraisal or any future or anticipated appraisals was not conditioned on any agreement or understanding, written or otherwise, that I would report (or present analysis supporting) a predetermined specific value, a predetermined minimum value, a range or direction in value, a value that favors the cause of any party, or the attainment of a specific result or occurrence of a specific subsequent event (such as approval of a pending mortgage loan application).

19. I personally prepared all conclusions and opinions about the real estate that were set forth in this appraisal report. If I relied on significant real property appraisal assistance from any individual or individuals in the performance of this appraisal or the preparation of this appraisal report, I have named such individual(s) and disclosed the specific tasks performed in this appraisal report. I certify that any individual so named is qualified to perform the tasks. I have not authorized anyone to make a change to any item in this appraisal report; therefore, any change made to this appraisal is unauthorized and I will take no responsibility for it.

20. I identified the lender/client in this appraisal report who is the individual, organization, or agent for the organization that ordered and will receive this appraisal report.

Form 1004UAD - "TOTAL" appraisal software by a la mode, inc. - 1-800-ALAMODE

21. The lender/client may disclose or distribute this appraisal report to: the borrower; another lender at the request of the borrower; the mortgagee or its successors and assigns; mortgage insurers; government sponsored enterprises; other secondary market participants; data collection or reporting services; professional appraisal organizations; any department, agency, or instrumentality of the United States; and any state, the District of Columbia, or other jurisdictions; without having to obtain the appraiser's or supervisory appraiser's (if applicable) consent. Such consent must be obtained before this appraisal report may be disclosed or distributed to any other party (including, but not limited to, the public through advertising, public relations, news, sales, or other media).

22. I am aware that any disclosure or distribution of this appraisal report by me or the lender/client may be subject to certain laws and regulations. Further, I am also subject to the provisions of the Uniform Standards of Professional Appraisal Practice that pertain to disclosure or distribution by me.

23. The borrower, another lender at the request of the borrower, the mortgagee or its successors and assigns, mortgage insurers, government sponsored enterprises, and other secondary market participants may rely on this appraisal report as part of any mortgage finance transaction that involves any one or more of these parties.

24. If this appraisal report was transmitted as an "electronic record" containing my "electronic signature," as those terms are defined in applicable federal and/or state laws (excluding audio and video recordings), or a facsimile transmission of this appraisal report containing a copy or representation of my signature, the appraisal report shall be as effective, enforceable and valid as if a paper version of this appraisal report were delivered containing my original hand written signature.

25. Any intentional or negligent misrepresentation(s) contained in this appraisal report may result in civil liability and/or criminal penalties including, but not limited to, fine or imprisonment or both under the provisions of Title 18, United States Code, Section 1001, et seq., or similar state laws.

SUPERVISORY APPRAISER'S CERTIFICATION: The Supervisory Appraiser certifies and agrees that:

1. I directly supervised the appraiser for this appraisal assignment, have read the appraisal report, and agree with the appraiser's analysis, opinions, statements, conclusions, and the appraiser's certification.

2. I accept full responsibility for the contents of this appraisal report including, but not limited to, the appraiser's analysis, opinions, statements, conclusions, and the appraiser's certification.

3. The appraiser identified in this appraisal report is either a sub-contractor or an employee of the supervisory appraiser (or the appraisal firm), is qualified to perform this appraisal, and is acceptable to perform this appraisal under the applicable state law.

4. This appraisal report complies with the Uniform Standards of Professional Appraisal Practice that were adopted and promulgated by the Appraisal Standards Board of The Appraisal Foundation and that were in place at the time this appraisal report was prepared.

5. If this appraisal report was transmitted as an "electronic record" containing my "electronic signature," as those terms are defined in applicable federal and/or state laws (excluding audio and video recordings), or a facsimile transmission of this appraisal report containing a copy or representation of my signature, the appraisal report shall be as effective, enforceable and valid as if a paper version of this appraisal report were delivered containing my original hand written signature.

APPRAISER

Signature Troy M. Webb
Name Troy Webb
Company Name Webb Appraisals Inc.
Company Address 2 Calle Maria
Rancho Santa Margarita, CA 92688
Telephone Number 949-400-0924
Email Address troymwebb@gmail.com
Date of Signature and Report 12/15/2025
Effective Date of Appraisal 12/11/2025
State Certification # AG 043285
or State License #
or Other (describe) State #
State CA
Expiration Date of Certification or License 11/06/2027

ADDRESS OF PROPERTY APPRAISED
1313 Lake Dr
Encinitas, CA 92024
APPRAISED VALUE OF SUBJECT PROPERTY $ 3,019,000

LENDER/CLIENT
Name Equity Solutions, USA
Company Name LendSure Mortgage Corp
Company Address 12230 World Trade Dr, Suite 250, San Diego, CA, 92128
Email Address

SUPERVISORY APPRAISER (ONLY IF REQUIRED)

Signature
Name
Company Name
Company Address
Telephone Number
Email Address
Date of Signature
State Certification #
or State License #
State
Expiration Date of Certification or License

SUBJECT PROPERTY

☐ Did not inspect subject property
☐ Did inspect exterior of subject property from street
Date of Inspection
☐ Did inspect interior and exterior of subject property
Date of Inspection

COMPARABLE SALES

☐ Did not inspect exterior of comparable sales from street
☐ Did inspect exterior of comparable sales from street
Date of Inspection

Form 1004UAD - "TOTAL" appraisal software by a la mode, inc. - 1-800-ALAMODE

Borrower	Jose Luis Arellano; Odilon Diaz						
Property Address	1313 Lake Dr						
City	Encinitas	County	San Diego	State	CA	Zip Code	92024
Lender/Client	LendSure Mortgage Corp						

ADDITIONAL ASSUMPTIONS, LIMITING CONDITIONS, AND CERTIFICATION

Intended User
The intended user of this appraisal report is the lender/client. The intended use is to evaluate the property that is the subject of this appraisal for a mortgage finance transaction, subject to the stated scope of work, purpose of the appraisal, reporting requirements of this appraisal report form, and definition of market value. No additional intended users are identified by the appraiser.

Intended Use
The intended use of this appraisal report is for the lender/client to evaluate the property that is the subject of this appraisal for a mortgage finance transaction. The appraisal is based on "market value" of the subject property and thus cannot be utilized for any other purposes including but not limited to; insured value, divorce, tax abatements, buying/selling decisions, estate settlements or any other use other than the intended use.

Reliance on the report
The borrower's or any party's listed in certification #23 reliance on the appraisal is limited to the mortgage finance transaction. The appraisal shall not be relied on for any other use.

Appraiser Independence Statement
No, employee, director, officer or agent of the lender, or any other third party acting as a joint venture partner, independent contractor, appraisal management company, or partner on behalf of the lender has influenced or attempted to influence the development, reporting, result or review of this assignment through coercion, extortion, collusion, compensation, instruction, inducement, intimidation, bribery or in any other manner. I have not been contacted by anyone other than the intended user (lender/client as identified on the first page of the report), borrower, or designated contact to make an appointment to enter the property. I agree to immediately report any unauthorized contacts either personally by phone or electronically to the lender/ client and state licensing board.

My compensation for completing this assignment is not contingent upon the development or reporting of a predetermined value or direction in value that favors the cause of the client, the amount of the value opinion, the attainment of a stipulated result, or the occurrence of a subsequent event directly related to the intended use of this appraisal. No employee, director, officer, or agent of the lender, or any other third party acting as a joint venture partner, independent contractor, appraisal management company, or partner on behalf of the lender has influenced or attempted to influence the development, reporting, result, or review of this assignment through coercion, extortion, collusion, compensation, instruction, inducement, intimidation, bribery or in any other manner.

I have no present or prospective interest in the property that is the subject of this report and no personal interest with respect to the parties involved. I have no bias with respect to the property that is the subject of this report or to the parties involved with this assignment. My engagement in this assignment was not contingent upon developing or reporting predetermined results.

The reported analyses, opinions, and conclusions are limited only by the reported assumptions and limiting conditions and are my personal, impartial, and unbiased professional analyses, opinions, and conclusions.

USPAP (Uniform Standards of Professional Practice)
The appraisal assignment report was developed and completed in accordance with the current edition of the Uniform Standards of Professional Appraisal Practice (USPAP). USPAP is a set of national Standards that is applicable for most U.S. appraisals. USPAP is developed by the Appraisal Standards Board (ASB) of The Appraisal Foundation. USPAP includes:

- Definitions - which establish the application of certain terminology in USPAP.
- Ethics Rule - which sets forth the requirements for integrity, impartiality, objectivity, independent judgment, and ethical conduct.
- Record Keeping Rule - which establishes the workfile requirements for appraisal and appraisal review assignments.
- Competency Rule - which presents pre-assignment and assignment conditions for knowledge and experience.
- Scope of Work Rule - which presents obligations related to problem identification, research, and analyses.
- Jurisdictional Exception Rule - which preserves the balance of USPAP if a portion is contrary to law or public policy of a jurisdiction.

FIRREA
This appraisal was prepared in accordance with the requirements of Title XI of the Financial Institutions Reform, Recovery and Enforcement Act of 1989. For further reference, visit: www.asc.gov/resources/references/title-ix

UAD (Uniform Appraisal Dataset)
At the request of the client, this appraisal report has been prepared in compliance with the Uniform Appraisal Dataset (UAD) from Fannie Mae and Freddie Mac. The UAD requires the appraiser to use standardized responses that include specific formats, definitions, abbreviations, and acronyms. The appraiser attempted to obtain an

adequate amount of information in the normal course of business regarding the subject and comparable properties. Some of the standardized responses required by the UAD, especially those in which the appraiser has NOT had the opportunity to verify personally or measure, could mistakenly imply greater precision and reliability in the data than is factually correct or typical in the normal course of business. Examples include condition and quality ratings as well as comparable sales and listing data. See "UAD Definitions Addendum" in this report for more information.

USPS Standard
The appraiser must identify the subject property by its complete property address and legal description. The appraiser must enter the physical property address, including the unit number for a condo, in a format that conforms to the United States Postal Service (USPS) address standards in Publication 28 – Postal Addressing Standards (pub28) for complete addresses. Address standards can be found at usps.com. The subject address must be populated consistently throughout the form.

The address/location information for the subject, comparable sales, and listings is obtained from the Standardized/U.S. Postal Service Census Department information via the Ala Mode (Aurora) mapping software and downloaded automatically from online into the report and verified by this appraiser via tax/public records. The data is assumed to be the MOST accurate/correct as it is directly from the Standardized/U.S. Postal Service and Census Department and may differ from the MLS listings and/or the order.

Appraisal Inspection Conditions
This appraisal report is not a home inspection. It does not guarantee or imply that the house is free of defects. The appraiser is not a home inspector. It is suggested that the borrower secure a professional inspection of the property and take the necessary steps to insure the house is acceptable to them prior to closing escrow. Note: The term "Inspected" within this appraisal report shall be deemed to mean "VIEWED." The appraiser is not a professional home inspector or environmental inspector. The appraiser can only view reasonably accessible areas of the property in order to observe the overall condition. The appraiser is not qualified to warrant the mechanical, electrical, structure/roof, foundation, or any condition of any part or whole of the subject property.

The appraiser is not qualified to report on the quality of various systems present in the home. The Appraiser assumes no responsibility for determining the electrical service capacity. The Appraiser is not qualified in such matters. The Appraiser assumes no responsibility for the verification of the type, quantity, or quality of insulation, if any, used in the improvements. The Appraiser assumes no responsibility for the adequacy, capacity or operating status of mechanical equipment or systems including, but not limited to, electrical, heating, cooling, plumbing, sewers, septic systems, water supply, etc. The appraiser is not an environmental or hazardous waste expert or inspector. The Appraiser is not qualified to detect such substances. The appraisal was prepared based on the assumption that no such substances exist at the subject property. The Appraiser assumes no responsibility for determining whether or not flood insurance is required. The Appraiser attempted to review what was considered to be the most recent FEMA maps available. The appraiser assumes no responsibility for the accuracy of the FEMA maps. The Appraiser is not a surveyor, nor an expert in legal matters. The Appraiser assumes no responsibility for the legal description or the accuracy of any boundary issues, including easements and/or encroachments. The Appraiser is not an expert, and cannot be relied upon to determine building code and /or zoning code violations that might exist at the subject property.

It is assumed that the property is in compliance with all applicable federal, state and local laws, ordinances, regulations, building standards, use restrictions and zoning unless the lack of compliance is stated in the appraisal report. Determining and reporting on such compliance were not part of the scope of work for this assignment.

The appraiser has not made any inspection or survey of the property to determine if it is in conformity with the Americans with Disabilities Act (ADA) or similar state or local laws or ordinances. It is possible that such an inspection or survey of the property or an analysis of the applicable legal requirements could reveal that the property is not in compliance with one or more of the requirements of the ADA or similar laws or ordinances. If so, this could have a negative effect on the value and use of the property.

Personal Property
There was no personal property given contributory value for the subject or the comparable sales.

Living Area and Public Records
The living area in this report may differ from the public records living area for the subject. The subject was carefully measured at the time of inspection to verify the living area utilizing ANSI - Z765-2021 methodology. Appraiser cannot affirm the assessor measured under the same method. Due to the assessor often having inaccurate records for living area, the appraiser's measured/reported living area for the subject may differ from public records. Therefore, the living area reported by the appraiser is considered to be the most reliable source for living area and is utilized for the purpose of this appraisal report.

Site Section Conditions
Appraiser is entitled to rely upon information provided by third parties deemed to be reliable. Appraiser cannot independently verify the accuracy of information provided and cannot be held responsible for any information later found to be inaccurate.

It is assumed that there are no hidden or unapparent conditions of the property, subsoil, or structures that render the property more or less valuable. No responsibility is assumed for such conditions or for obtaining the engineering or other studies that may be required to discover them. Such matters were not part of the scope of work for this assignment.

Borrower	Jose Luis Arellano; Odilon Diaz						
Property Address	1313 Lake Dr						
City	Encinitas	County	San Diego	State	CA	Zip Code	92024
Lender/Client	LendSure Mortgage Corp						

It is assumed that use of the land and improvements and their construction is confined within the boundaries or property lines of the subject property and that there are no encroachments or trespasses unless noted in the appraisal report. Determining and reporting encroachments or trespasses were not within the scope of work for this assignment.

It is assumed that all water, sewer facilities and utilities (whether existing or proposed) are or will be in good working order, safe for use, and sufficient to serve the current or proposed uses of the subject property or any structures or other improvements. Determining and reporting on such matters were not part of the scope of work for this assignment.

Unless otherwise stated in this report, the past or current existence of hazardous materials or environmental contamination on, below or near the subject property was not observed or known by the appraiser. The appraiser, however, is not qualified to detect such substances or to make determinations about their presence. The presence of substances such as asbestos, urea-formaldehyde foam insulation, and other potentially hazardous materials or environmental contamination may affect the value of the property. Unless otherwise stated, the value estimated is predicated on the assumption that there is no such material or contamination on, below or affecting the property that would cause a loss in value. No responsibility is assumed for such conditions or for any expertise or engineering assistance required to discover them. The intended user is urged to retain an expert in this field, if desired.

Geographic Competency
This assignment requires geographic competency as part of the scope of work. I have knowledge and experience in appraising this type of property in this market area and I am aware of, and have access to, the necessary and appropriate public and private data sources, such as multiple listing services, tax assessment records, public land records, and other such data sources for the area in which the property is located. I have spent sufficient time in the subject’s market and understand the nuances of the local market and the supply and demand factors relating to the specific property type and the location involved. Such understanding will not be imparted solely from a consideration of specific data such as costs, sales and rentals. The necessary understanding of local market conditions provides the bridge between a sale and a comparable sale or a rental and a comparable rental.

SALES COMPARISON APPROACH

Comparable Photographs
The comparable photographs presented in this report have either been provided by the appraiser or extracted from a database of recent property photographs. There are no requirements or guidelines stating that only the appraiser can take and provide photographs within the report. Pursuant to the Scope of Work the appraiser has inspected each of the comparable sales from at least the street. When utilized, MLS photos provide an accurate representation of the comparable at the time of the listing and may not always be "seasonally" current. It is not uncommon for properties to be updated or renovated after purchase, therefore a current photograph may not be a true representation of the exterior at the time of sale.

Comparable Sale Property Data
Comparable property data was generally obtained from third-party sources including but not limited to the local MLS, County Assessor, Township Assessor, online resources and additional public data sources. Consequently, this information should be considered an "estimate" unless otherwise noted by the appraiser.

COST APPROACH

Cost Approach Conditions
If developed, the cost approach has only been developed by the appraiser as an analysis to support their opinion of the property`s market value. Use of this data, in whole or part, for other purposes is not intended by the appraiser. An appraisal completed for a lender/client in connection with mortgage lending should not be used or relied on for insurance purposes. Nothing set forth in the appraisal should be relied upon for the purpose of determining the amount or type of insurance coverage to be placed on the subject property. The appraiser assumes no liability for and does not guarantee that any insurable value estimate inferred from this report will result in the subject property being fully insured for any loss that may be sustained. Further, the cost approach may not be a reliable indication of replacement or reproduction cost for any date other than the effective date of this appraisal due to changing costs of labor and materials and due to changing building codes and governmental regulations and requirements.

Supplemental Addendum

File No. 15509830

Borrower	Jose Luis Arellano; Odilon Diaz						
Property Address	1313 Lake Dr						
City	Encinitas	County	San Diego	State	CA	Zip Code	92024
Lender/Client	LendSure Mortgage Corp						

SUBJECT SECTION

The title report was not provided to the appraiser.

The information provided in this report is based on the data available to the appraiser as of the effective date of the appraisal. We are committed to providing a thorough and accurate appraisal; however, the appraiser cannot comment on or input data based on documentation that was not provided (e.g., loan applications, title reports, lease documents). Therefore, the lender is responsible for verifying and confirming any discrepancies in the information provided. We appreciate your understanding and cooperation.

NEIGHBORHOOD INFORMATION

Neighborhood Description

The subject is located in the Encinitas neighborhood, consisting of a mix of 70% One-Unit, 5% 2-4 Unit, 5% multi-family, and 15% commercial properties. Commercial consists of office, service and retail, none of which have an adverse impact on marketability.

Other Land Use
The 'other' 5% present land use in the neighborhood section consist of parks, schools, utilities, public transportation, and vacant lands.

Neighborhood Predominant Age
The subject's actual age, 61, varies from the neighborhood predominant age, 40, however there is no adverse impact of marketability. See "Opinion of Value in Relation to Predominate Value" comments following "Final Reconciliation" below.

MARKET CONDITIONS

Summary of Market Conditions

Competing Sales and Listings Utilized for the Market Conditions Analysis
Data on sales and listings for market analysis includes properties that a potential buyer would consider competitive with the subject property. While some of these properties may not be suitable for direct comparison on the sales grid, they are still expected to rise and fall at a similar rate as the subject property's competing market. A thorough evaluation of neighborhood sales and listings was also performed to support the market condition analysis for the subject property's market.

Trend Charts
The attached trend charts with a summary further support the “One-Unit Housing Trends” on page 1, and the Sales Comparison Approach.

Summary of Market Conditions

Increasing Market
Based on the market analysis above along with support from the provided charts, property values appear to be increasing and market (time) adjustments were necessary. The market is reconciled to be increasing at **0.5**% per month.

SITE INFORMATION

Highest and Best Use
Current Use - The appraiser has concluded the highest and best use of the property, as improved, to be its current use. This opinion is supported by the fact that the improved property is physically possible (see improvements description and pictures), is a legal use (see site section/zoning), is financially feasible (see sales comparison approach for sales of similar properties) and is considered to be the maximally productive use (improvements contribute positively to the site and it would not be feasible to change them to a more productive use without substantial capital improvement).

Borrower	Jose Luis Arellano; Odilon Diaz						
Property Address	1313 Lake Dr						
City	Encinitas	County	San Diego	State	CA	Zip Code	92024
Lender/Client	LendSure Mortgage Corp						

Site Items: Utilities, Off-Site Improvements, Easements, etc.
For the purposes of this appraisal, the subject property is assumed to be free from any adverse easements, encroachments, environmental conditions, land uses, etc.

The utilities and off site improvements are typical for the market area.

Extraordinary Assumptions
The Appraiser did not photograph all rooms of the house because the scope of work was initially for a commercial appraisal. As-such the Appraiser makes an extraordinary assumption that all rooms and improvements within the subject property are complete and in similar (C4) condition to the rest of the property.

IMPROVEMENTS SECTION

Inspection Information

ANSI Measuring Standard
The subject was measured in accordance with ANSI Z765-2021. The subject was measured to the nearest inch or tenth of a foot and the final square footage was reported to the nearest foot, consistent with the definitions of above grade and below grade areas.

Utilities
The utilities were on and in working order at time of inspection.

Effective Age
The subject is considered to have an effective age of 20 with an estimated remaining economic life of 45.

The subject's effective age is less than its actual age due to maintenance of the building components.

SALES COMPARISON APPROACH

Comparable Search Criteria and Selection

The appraiser evaluated all relevant transactions of the competing sales and listings utilized for the market conditions analysis to determine which ones are the best and most appropriate for the Sales Comparison Approach. The appraiser evaluated all relevant transactions to determine which ones are the best and most appropriate for the Sales Comparison Approach.

The factors for the subject property that affect value, including the physical and legal characteristics for the subject property, are accounted for when completing this analysis. These characteristics include, but are not limited to location, site size of 2.39 ac, Contemp. style single-family residence (SFR), year built 1964, 2913 square feet of gross living area (GLA), Q4 quality, C4 condition, and RR-1 zoning. These factors, and external factors, are accounted for when selecting comparables.

The search for comparable properties was initially focused within the immediate vicinity of the subject property and subsequently expanded to encompass the entire market area for the subject property. Properties considered for comparison were those that had closed within the last 12 months, had between 1000 and 4000 square feet of gross living area (GLA). Additionally, comparables with characteristics similar to the subject property, including attributes outbuildings, and in-ground pool, were selected.

Distance Search Criteria Expanded Over 1 Mile
Due to a lack of comparable sales located within 1 mile from the subject, the search was expanded in distance in order to include the most comparable sales available.

Lack of Comparable Listings
An extensive search was conducted for pending or active listings that are comparable and can provide an adequate indicator of market value for the subject property. The search area was expanded to include other similar and competing neighborhoods; however, there is a lack of comparable listings available. Utilizing listings that are not considered comparable could lead to misleading results. Consequently, it was not possible to identify two suitable listings.

Adjustments Process and Methods

Supplemental Addendum

File No. 15509830

Borrower	Jose Luis Arellano; Odilon Diaz						
Property Address	1313 Lake Dr						
City	Encinitas	County	San Diego	State	CA	Zip Code	92024
Lender/Client	LendSure Mortgage Corp						

To provide accurate market value indicators for the subject property, each comparable is adjusted based on perceived market reactions to differences in characteristics. Adjustments are made in lump-sum dollar amounts or percentages and then rounded to reflect the overall market reaction.

The adjustments applied are data-driven and market-derived, not based on personal opinion. They represent the market's response, as they are based on local market data. Even the depreciated cost method factors is market-derived depreciation.

Both quantitative and qualitative analyses are used. Quantitative methods include Matched (or Modified) Paired Sales, Depreciated Cost, Group Data Analysis, Regression, Capitalization, Allocation, Sensitivity, and interviews with market participants. Qualitative analysis is used when differences between attributes are difficult to measure numerically, ensuring market reactions are accounted for in the final value opinion.

See attached "Adjustment Methods Description" for a summary definition of each method.

Financing Type
Each of the comparable sales had typical financing for the subject’s market, with no atypical financing noted that would adversely impact the price or value.

Concessions
There were no known sales concessions. Each listing agent was contacted if possible, for the comparable sales, in order to verify all sales transactions for seller concessions. In circumstances where the listing agent could not be contacted, any concessions noted in the multiple listing service database or by the agent's office are noted, otherwise there are assumed to be no significant concessions.

Date of Sale/Time
Increasing time adjustments are applied to the older sales in order to reflect the changes in market conditions from the time the comparable went under contract to the effective date of the appraisal. The adjustment is based on the analysis and reconciliation of the market conditions of competitive properties, with support from the Market Conditions Charts provided and adjusted values of the comparable sales. See "Summary of Market Conditions" section at the beginning of this addendum for more detailed information including the exact time adjustment %.

Design (Style)
No adjustments were deemed necessary for differences in style due to the relative similarities in construction methods, similar conformity and compatibility with the standards of the market, and similar overall market appeal.

Quality of Construction
Quality of construction adjustments were made based on the market’s reaction to the difference in quality of materials, finishes, ornamentation and/or fenestration as compared to the subject. The appraiser has made an attempt to bracket the subject's quality with the comparables used in this report. There may be cases where a comparable sale has the same UAD rating as the subject, but an adjustment is still deemed necessary.

Comp **2** is adjusted for quality (as compared to the subject) due to **having more detailed upgrades, throughout**.

Age
Age is not a factor or a relative item of comparison per historical market data, nor is it a requirement to develop a credible opinion of value. Despite the varying chronological ages of the comparables, condition adjustments are deemed more appropriate than chronological age adjustments, as the condition of the property is more indicative of the typical market reaction.

Condition
Condition adjustments were made based on comparing the effective ages of the subject to the comparables. The dollar amount of the condition adjustments is based on the estimated market reaction to the condition of each comparable, not on the dollar amount of the updates. The appraiser has made an attempt to bracket the subject's condition with the comparables used in this report.. There may be cases where a comparable sale has the same UAD rating as the subject, but an adjustment is still deemed necessary.

Comp **2** is adjusted for condition (as compared to the subject) due to **having more recent updates, throughout**.

Functional Utility
Each comparable property demonstrates equivalent functional utility, meeting similar standards of usability and efficiency as the subject property. This includes comparable efficiency in terms of design and layout, traffic patterns, and the size and type of rooms, with no functional utility adjustment deemed necessary.

Energy Efficient Items
The subject property and comparable sales possess energy efficiency features that are typical for dwelling units of this quality level within the current market. Properties that exhibit a standard level of energy efficiency without specialized items (such as photovoltaic panels, LEED certification, micro-CHP systems, etc.) are marked as “None”

under the “Energy Efficient Items” section of the appraisal grid. Consequently, no adjustments for energy efficient items were necessary, as there were no significant differences in energy efficiency between the properties.

Other
No other line items or adjustments were deemed necessary in order to accurately value the subject property as other amenities were considered qualitatively when reconciling the opinion of value, including fireplace count, fencing, landscaping, etc

---

Commentary Regarding Guidelines

GLA varies from the Subject by more than 25%
Despite expanding the comparable sale search in time and distance, there is a limited inventory of comparable properties. Therefore, it was necessary to include comparables that have a greater than 25% difference in GLA in order to accurately value the subject property and or bracket certain attributes.

The comparables utilized are considered similar and competing properties, despite their significant difference in GLA, due to their similar overall characteristics shared with the subject property. Utilizing other sales with similar living area that are not considered competing to a typical market participant, is not considered necessary and could lead to misleading results.

Across Grid Line Adjustments in Same Direction

Despite expanding the comparable sale search in time and distance, the appraiser could not avoid across the board adjustments for bath count. This attribute was not a major driver of value and the adjustment was well supported via depreciated costs and matched pair analysis. To expand the search parameters any further just to bracket this feature, which is not a primary driver of value, could result in a misleading report.

The subject has a second kitchen. There is interior access to this kitchen. The appraiser was unable to find comparable sales with a second kitchen. No value is ascribed to second kitchens as they are a super adequacy in a single family dwelling.

• **Comparable Summary**
Comparables Summary & Estimated Indicated Value

	Sale Price	Net Adj %	Grs Adj %	Ind Value	Weight
Comp #1:	2,500,000	9.6	14.1	2,738,923	25.06
Comp #2:	2,750,000	1.7	15	2,702,364	24.53
Comp #3:	2,800,000	12.2	12.2	3,140,896	26.17
Comp #4:	3,200,000	9.2	15.5	3,495,620	24.24

ESTIMATED INDICATED VALUE OF THE SUBJECT: 3,019,000

• **Indicated Weight Value**
Estimated indicated value is determined by using the Gross Adjustment of sale price for each comparable as a measure of the relative quality of the comp. The Indicated Value is derived by multiplying the weight of each comp by the Adjusted Sale Price of that comp, repeating for each property, then adding them all together. This weighted average is used as the indicated value of the subject.

As with any method, this technique is not perfect.However, it does do a very good job of giving more weight to the most similar comps while at the same time minimizing values near the extremes of the indicated value range.

Sales Comparison Approach Reconciliation
All comparables were correlated and considered in the final opinion of value.

RECONCILIATION OF APPROACHES TO VALUE

Reconciliation and Final Value Conclusion

Sales Comparison Approach
The Sales Comparison Approach is considered most relevant in developing a credible opinion of value as it best

represents the behavior of buyers and sellers in the market. It is the most relevant analysis in this assignment, and the appraiser has determined that there is sufficient information to develop a credible opinion of value by giving the most weight to this approach.

Cost Approach
The cost approach was considered, but not completed for credible assignment results due to the age of the subject and the lack of recent similarly zoned land sales.

Income Approach
The Income Approach was considered but not developed due to a lack of reliable rental data to calculate a credible GRM.

Final Opinion of Value
After considering the reliability, validity, and reasonableness from each approach, the final reconciled opinion of value is determined to be $3,019,000 as of the effective date of the appraisal, 12/11/2025. This value is within the range of values indicated by the approaches used and reflects the most accurate representation of the property's market value.

The final opinion of value is based on a comprehensive analysis of the property's characteristics, market conditions, and comparable property data. It has been determined with the utmost consideration for accuracy and credibility, in accordance with USPAP guidelines and industry best practices.

Opinion of Value $3,019,000 in Relation to Predominant Value of Neighborhood $1,908,000.
Please note that the predominant value is the median value of single-family properties in the neighborhood. Therefore, the variation of the subject's appraised value from this median value does not indicate that the subject is an over- or under-improvement. The variance is not significant enough to adversely impact the subject's marketability.

Typically, reasons for a higher variance include the subject being newer, larger, higher quality, and/or situated on a larger site than the typical home sold in the neighborhood. Conversely, reasons for a lower variance include the subject being older, smaller, lower quality, in lesser condition, and/or situated on a smaller site than the typical home sold in the neighborhood.

CONDITIONS OF APPRAISAL

Conditions of Appraisal

"As Is"
The appraisal is made "as is" and is not subject to any plans or specifications, repairs, alterations, or further inspections.

Market Conditions Addendum to the Appraisal Report

File No. 15509830

15509830

The purpose of this addendum is to provide the lender/client with a clear and accurate understanding of the market trends and conditions prevalent in the subject neighborhood. This is a required addendum for all appraisal reports with an effective date on or after April 1, 2009.

Property Address 1313 Lake Dr City Encinitas State CA ZIP Code 92024

Borrower Jose Luis Arellano; Odilon Diaz

Instructions: The appraiser must use the information required on this form as the basis for his/her conclusions, and must provide support for those conclusions, regarding housing trends and overall market conditions as reported in the Neighborhood section of the appraisal report form. The appraiser must fill in all the information to the extent it is available and reliable and must provide analysis as indicated below. If any required data is unavailable or is considered unreliable, the appraiser must provide an explanation. It is recognized that not all data sources will be able to provide data for the shaded areas below; if it is available, however, the appraiser must include the data in the analysis. If data sources provide the required information as an average instead of the median, the appraiser should report the available figure and identify it as an average. Sales and listings must be properties that compete with the subject property, determined by applying the criteria that would be used by a prospective buyer of the subject property. The appraiser must explain any anomalies in the data, such as seasonal markets, new construction, foreclosures, etc.

MARKET RESEARCH & ANALYSIS

Inventory Analysis	Prior 7–12 Months	Prior 4–6 Months	Current – 3 Months	Overall Trend		
Total # of Comparable Sales (Settled)	205	130	124	☐ Increasing	☐ Stable	☒ Declining
Absorption Rate (Total Sales/Months)	34.17	43.33	41.33	☐ Increasing	☒ Stable	☐ Declining
Total # of Comparable Active Listings	69	80	95	☐ Declining	☐ Stable	☒ Increasing
Months of Housing Supply (Total Listings/Ab.Rate)	2.0	1.8	2.3	☐ Declining	☒ Stable	☐ Increasing

Median Sale & List Price, DOM, Sale/List %	Prior 7–12 Months	Prior 4–6 Months	Current – 3 Months	Overall Trend		
Median Comparable Sale Price	$1,875,000	$1,932,500	$1,949,000	☒ Increasing	☐ Stable	☐ Declining
Median Comparable Sales Days on Market	14	24	28	☐ Declining	☐ Stable	☒ Increasing
Median Comparable List Price	$2,399,900	$1,999,000	$2,600,000	☐ Increasing	☒ Stable	☐ Declining
Median Comparable Listings Days on Market	39	36	59	☐ Declining	☒ Stable	☐ Increasing
Median Sale Price as % of List Price	100%	99%	98%	☐ Increasing	☒ Stable	☐ Declining
Seller-(developer, builder, etc.)paid financial assistance prevalent? ☐ Yes ☒ No				☐ Declining	☒ Stable	☐ Increasing

Explain in detail the seller concessions trends for the past 12 months (e.g., seller contributions increased from 3% to 5%, increasing use of buydowns, closing costs, condo fees, options, etc.). A monthly analysis was performed on 873 competing sales over the past 24 months. For those sales, a total of 252 were reported to have seller concessions.

Are foreclosure sales (REO sales) a factor in the market? ☐ Yes ☒ No If yes, explain (including the trends in listings and sales of foreclosed properties).

A monthly analysis was performed on 873 competing sales over the past 24 months. For those sales, a total of 0 were reported to be REO. A total of 2 of these sales were reported to be short sales.

Cite data sources for above information. Information reported in the CRMLS system (using an effective date of 12/11/2025) was utilized to arrive at the results noted on this addendum. Any percent change results noted in these comments are based on simple regression.

Summarize the above information as support for your conclusions in the Neighborhood section of the appraisal report form. If you used any additional information, such as an analysis of pending sales and/or expired and withdrawn listings, to formulate your conclusions, provide both an explanation and support for your conclusions.

An analysis was performed on 871 competing sales (which excluded REO and short sales) over the past 24 months. The sales within this group had a median sale price of $1,865,000. This analysis shows a change of +0.5% per month. The median sale price per sqft was $934.58. This analysis shows a change of +0.3% per month. In addition, a monthly analysis was performed on 873 sales plus all active listings that are competing properties, over the past 24 months. Based on this entire set of data there is a 2.6 month supply. These sales had a median DOM of 16. The total sales per month (absorption rate) was 36.38. A monthly analysis regarding quantity was also performed on all competing actives (listings that were considered to be active on the last day of each month) over the past 24 months. There are currently 95 active listings as of the effective date of this appraisal. These actives had a median DOM of 31. An analysis was also performed on 873 competing sales over the past 24 months. The sales within this group had a median sale price to list price ratio of 99%.

CONDO/CO-OP PROJECTS

If the subject is a unit in a condominium or cooperative project , complete the following: **Project Name:**

Subject Project Data	Prior 7–12 Months	Prior 4–6 Months	Current – 3 Months	Overall Trend		
Total # of Comparable Sales (Settled)				☐ Increasing	☐ Stable	☐ Declining
Absorption Rate (Total Sales/Months)				☐ Increasing	☐ Stable	☐ Declining
Total # of Active Comparable Listings				☐ Declining	☐ Stable	☐ Increasing
Months of Unit Supply (Total Listings/Ab.Rate)				☐ Declining	☐ Stable	☐ Increasing

Are foreclosure sales (REO sales) a factor in the project? ☐ Yes ☐ No If yes, indicate the number of REO listings and explain the trends in listings and sales of foreclosed properties.

Summarize the above trends and address the impact on the subject unit and project.

APPRAISER

Signature	Troy M. Webb	Signature	
Appraiser Name	Troy Webb	Supervisory Appraiser Name	
Company Name	Webb Appraisals Inc.	Company Name	
Company Address	2 Calle Maria, Rancho Santa Margarita, CA 92688	Company Address	
State License/Certification #	AG 043285 State CA	State License/Certification #	State
Email Address	troymwebb@gmail.com	Email Address	

Form 1004MC2 - "TOTAL" appraisal software by a la mode, inc. - 1-800-ALAMODE

Location Map

Borrower	Jose Luis Arellano; Odilon Diaz						
Property Address	1313 Lake Dr						
City	Encinitas	County	San Diego	State	CA	Zip Code	92024
Lender/Client	LendSure Mortgage Corp						

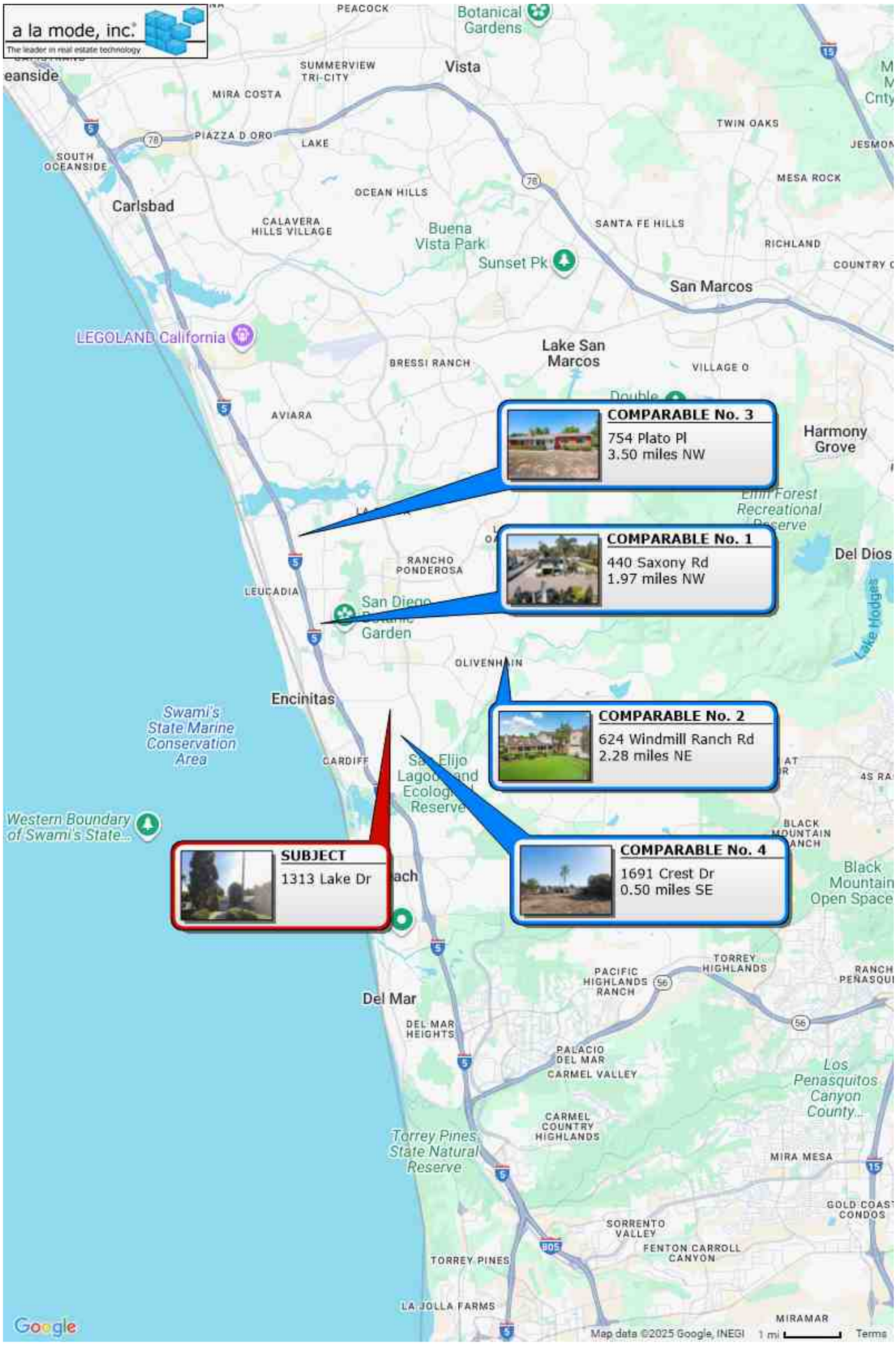

Aerial Map

Borrower	Jose Luis Arellano; Odilon Diaz						
Property Address	1313 Lake Dr						
City	Encinitas	County	San Diego	State	CA	Zip Code	92024
Lender/Client	LendSure Mortgage Corp						

Plat Map

Borrower	Jose Luis Arellano; Odilon Diaz						
Property Address	1313 Lake Dr						
City	Encinitas	County	San Diego	State	CA	Zip Code	92024
Lender/Client	LendSure Mortgage Corp						

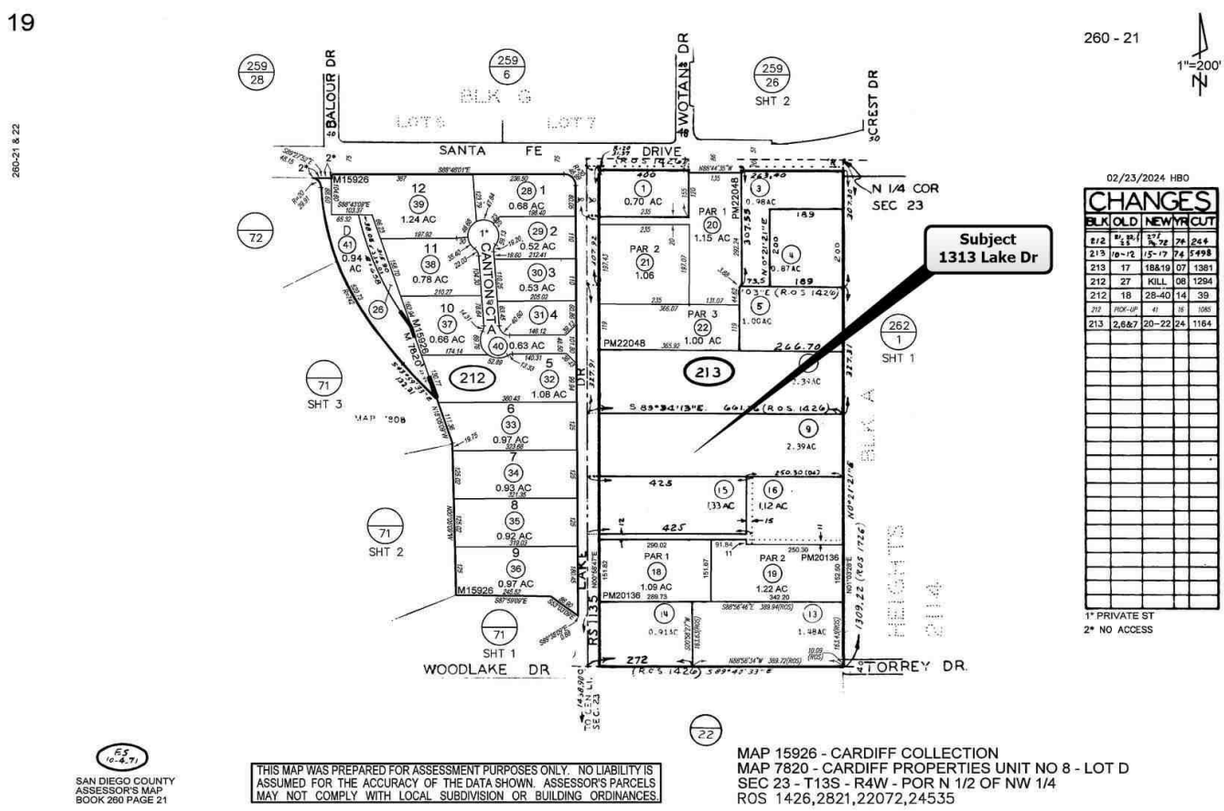

Building Sketch (Page - 1)

Borrower	Jose Luis Arellano; Odilon Diaz						
Property Address	1313 Lake Dr						
City	Encinitas	County	San Diego	State	CA	Zip Code	92024
Lender/Client	LendSure Mortgage Corp						

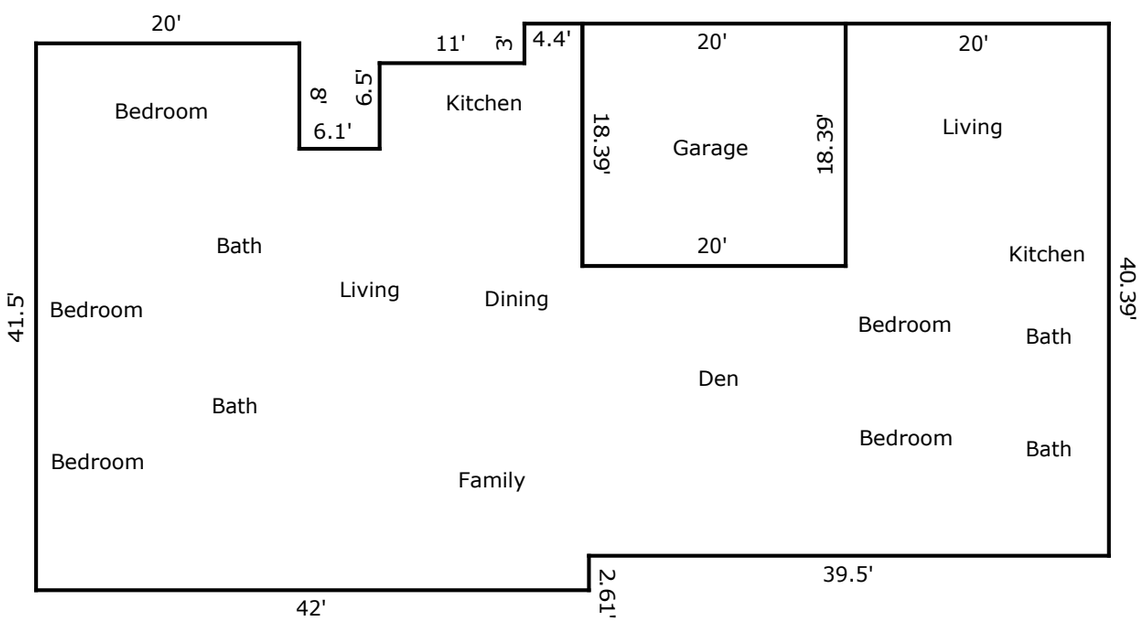

TOTAL Sketch by a la mode

Area Calculations Summary

Living Area		**Calculation Details**		
Undefined Area	2912.66 Sq ft	4.4 × 3	=	13.2
		20 × 18.39	=	367.8
		22 × 39.5	=	869
		42 × 24.61	=	1033.62
		15.39 × 15.4	=	237.01
		16.89 × 20	=	337.8
		6.1 × 8.89	=	54.23
Total Living Area (Rounded):	**2913 Sq ft**			
Non-living Area				
2 Car Attached	367.8 Sq ft	18.39 × 20	=	367.8

Building Sketch (Page - 2)

Borrower	Jose Luis Arellano; Odilon Diaz						
Property Address	1313 Lake Dr						
City	Encinitas	County	San Diego	State	CA	Zip Code	92024
Lender/Client	LendSure Mortgage Corp						

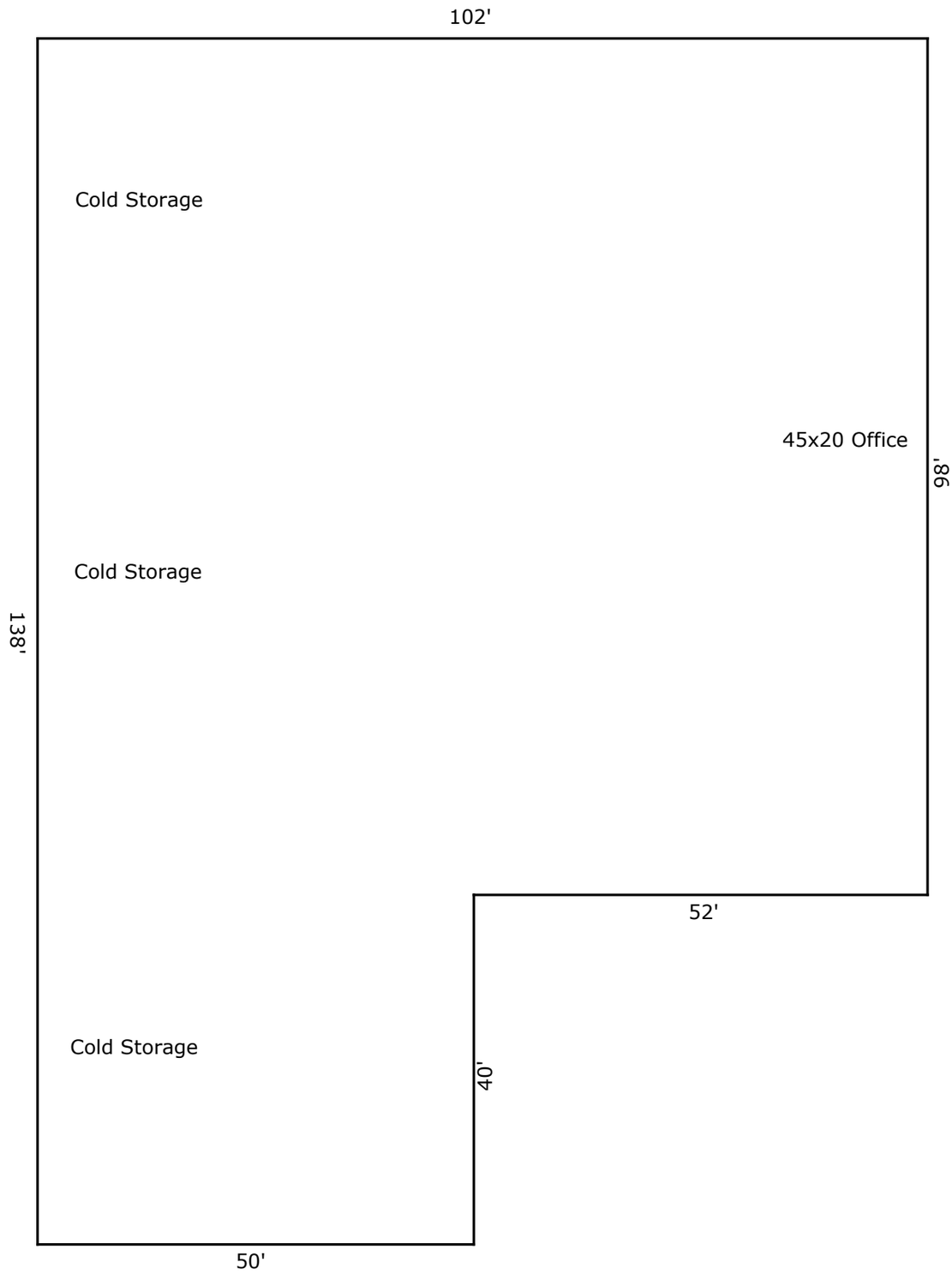

TOTAL Sketch by a la mode

Area Calculations Summary

Non-living Area		
Outbuilding	11996 Sq ft	102 × 98 = 9996 40 × 50 = 2000

Subject Photo Page

Borrower	Jose Luis Arellano; Odilon Diaz						
Property Address	1313 Lake Dr						
City	Encinitas	County	San Diego	State	CA	Zip Code	92024
Lender/Client	LendSure Mortgage Corp						

Subject Front

1313 Lake Dr

Sales Price	
Gross Living Area	2,913
Total Rooms	9
Total Bedrooms	5
Total Bathrooms	3.1
Location	N;Res;
View	N;Pstrl;Res
Site	2.39 ac
Quality	Q4
Age	61

Subject Rear

Subject Street

Photograph Addendum

Borrower	Jose Luis Arellano; Odilon Diaz						
Property Address	1313 Lake Dr						
City	Encinitas	County	San Diego	State	CA	Zip Code	92024
Lender/Client	LendSure Mortgage Corp						

Living Room

Kitchen

Bath

Bath

Dining Area

Den

Photograph Addendum

Borrower	Jose Luis Arellano; Odilon Diaz						
Property Address	1313 Lake Dr						
City	Encinitas	County	San Diego	State	CA	Zip Code	92024
Lender/Client	LendSure Mortgage Corp						

Bedroom

Bedroom

Bedroom

Second Kitchen



Outbuilding(s)

Outbuilding(s)

Photograph Addendum

Borrower	Jose Luis Arellano; Odilon Diaz						
Property Address	1313 Lake Dr						
City	Encinitas	County	San Diego	State	CA	Zip Code	92024
Lender/Client	LendSure Mortgage Corp						

Outbuilding(s)

Outbuilding(s)

Side

ADJUSTMENT METHODS DESCRIPTION

This is a list of potential methods used to derive and support the adjustments in the Sales Comparison Approach. Not all methods are used on all reports, but when used and referenced in the summary of sales comparison addenda, this definitions page is to serve to the reader a clearer understanding of each method and how it represents the market's reaction.

Allocation
For the allocation method, a certain percentage of the sale price of a property is allocated to each feature. The potential adjustment is based on that percentage allocated for a particular feature. This method uses market derived sales data , therefore yields allocation rates that represent the market's reaction.

Depreciated Cost
This method determines a potential adjustment by subtracting depreciation from the cost to build an improvement with the result being the value (adjustment) for the feature being measured. The difference between cost and value is depreciation so if the cost to build an improvement and the depreciation can be determined with relative accuracy then the result is the potential adjustment for that feature. Along with using local cost data, this method uses market derived sales data to extract all types of market based depreciation and therefore represents the market's reaction.

Grouped Data
This method involves grouping the data (sales) into two categories based on the feature being measured. The average or median price of the first group is compared to the average or median price of the second. The difference in those two prices is the potential adjustment for the feature being measured. This method uses market derived sales data , therefore the difference in the group's results represent the market's reaction.

Paired Sales (True)
A method of comparing two properties that are considered to be the same in all features except for one. In theory, the difference in the sales price of each property is an approximation of the value difference (or adjustment) for the one feature in which the properties differ. For this analysis, all properties that were analyzed are compared against each other to find all "pairs" and then the average and median of the results of all of those pairs is found. This method uses market derived sales data , therefore the difference in the paired sale represents the market's reaction.

Paired Sales (Adjusted)
This is the same as True Paired Sales except that if a property differs in more than one feature (True Paired Sales requires that only one feature is different) and the appraiser is confident they can adjust for any of those differing methods so that the result is only one differing method this would allow for an "Adjusted Pair". Adjusted Pairs will nearly always have more data points since it allows for more than one differing feature (non-perfect matches). This method uses market derived sales data , therefore the difference in the adjusted paired sales represents the market's reaction.

Sensitivity
This method is based on the theory that the best adjustment is the one that results in the smallest range of adjusted sales prices for all sales analyzed. It "plugs in" an adjustment and calculates what the sales price would be if that were the adjustment and it does that for every sale. Then it determines the range (difference between the low and high) of the adjusted sales prices. It repeats that process to test every possible adjustment. The adjustment that leads to the smallest range of adjusted prices is the final result. The method utilizes market derived sales data to extract the optimal adjustment that tightens the range and therefore represents the market's reaction.

Capitalization
This method is based on the theory that value is attributed to the expected income (or savings) of a particular feature or characteristic. By analyzing differences in income between properties an adjustment can be derived by multiplying the monthly economic difference by a market derived Gross Rent Multiplier (GRM). The method is particularly useful

for income properties. This method uses market derived rental and GRM (or cap rate) data , therefore the income (or savings) attributed to a feature or characteristic represents the market's reaction.

Survey
In this method, market participants (e.g. appraisers, brokers, real estate agents, etc) are contacted in order to determine what they believe to be what a typical buyer and seller would agree to as far as the added value for a particular feature (swimming pool, barn, new roof, addition, etc). Typically the average and/or median of those results is the potential adjustment based on the survey method. This method uses the responses and opinions of actual market participants attributed to a feature or characteristic and therefore represents the market's reaction.

Ordinary Least Squares Regression
Among the most common of all types of simple regression, this method minimizes the sum of the squares of the differences between a variable and its predicted value (called the residual). One of the results of this regression method is the slope of a line that can be drawn through the data points. That slope is the potential adjustment based on this method. Regression utilizes local market sales data and therefore the results yielded represent the market's reaction.

Theil-Sen Regression
This simple regression method finds the slope of every possible line that can be drawn between every pair of data points if they were plotted on a chart. It then takes the median of all of the slopes of those lines and that is the potential adjustment based on this method. Since this method utilizes the median, it does reduce the impact of outliers on the data. Regression utilizes local market sales data and therefore the results yielded represent the market's reaction.

Least Absolute Deviation
This simple regression method determines every line that can be drawn between each pair of data points. For each of those lines, the distance of the remaining data points to the line is calculated using the absolute value. All of those distances are then added up and the slope of the particular line that results in the smallest sum of absolute values for the residuals (deviation) is the potential adjustment result based on this method. Regression utilizes local market sales data and therefore the results yielded represent the market's reaction.

Least Median of Squares
Another form of simple regression that is very similar to Ordinary Least Squares Regression except that instead of taking the average of the squares of the residuals, this method utilizes the median of the squares of the residuals. As a result this method tends to be a bit more robust to outliers than Ordinary Least Squares Regression. Regression utilizes local market sales data and therefore the results yielded represent the market's reaction.

Robust Simple Regression
If any of the above Simple Regression methods has the word "Robust" in front of it that means that during the calculations, when the average of all of the data points is subtracted from the data point in question, instead the median of all data points is subtracted from the data point in question. This tends to make a particular regression method more "robust" to outliers (meaning less impacted by outliers). Regression utilizes local market sales data and therefore the results yielded represent the market's reaction.

Modified Quantile Regression
This is a modified type of Robust Least Squares Regression where, instead of subtracting the median (the 50th percentile) from each data point, 9 different percentiles are tested (from 10% up to 90%) and the result from the one that has the best (highest) r-squared is the final result. This means that regression is calculated nine times (one time for each percentile tested) but only the results from the one with the best r-squared score is utilized. Regression utilizes local market sales data and therefore the results yielded represent the market's reaction.

Sales Comparison Adjustment Comments

The following transactional items were accounted for in the order shown prior to calculating any property feature adjustment results: Property Rights, Financing Terms, Distressed Sales, Seller Concessions, and Market Conditions.

Lot Size
The Lot Size adjustment was developed at $3.00 per square foot. The results (based on all adjustment methods that were calculated and considered relevant) provide an adjustment range from $0.54 to $3.97. 5 different types of simple regression in addition to Sensitivity Analysis were the adjustment methods used to develop this adjustment.

GLA
The GLA adjustment was developed at $110 per square foot. The results (based on all adjustment methods that were calculated and considered relevant) provide an adjustment range from $99 to $119. Depreciated Cost in addition to True Paired Sales (Median and Average) were the adjustment methods used to develop this adjustment.

Full Bath
The Full Bath adjustment was developed at $20,000. The results (based on all adjustment methods that were calculated and considered relevant) provide an adjustment range from $11,900 to $28,800. Depreciated Cost was utilized to develop this adjustment.

Condition
The Condition adjustment was developed at $80,000. The results (based on all adjustment calculations that were considered relevant) provide an adjustment range from $66,700 to $88,800. Depreciated Cost in addition to Peer Adjustments (Median and Average) were the adjustment methods used to develop this adjustment.

Quality
The Quality adjustment was developed at $150,000. The results (based on all adjustment calculations that were considered relevant) provide an adjustment range from $113,000 to $176,000. Depreciated Cost was the method utilized to develop this adjustment.

Pool Exists
The Swimming Pool adjustment was developed at $25,000. The results (based on all adjustment methods that were calculated and considered relevant) provide an adjustment range from -$97,479 to $94,200. Depreciated Cost, Peer Adjustments (Median and Average), and 5 different types of simple regression were the adjustment methods used to develop this adjustment.

Exterior Features: Guest House
The Guest House adjustment was developed at $150,000. One adjustment method was calculated and considered relevant. The adjustment result from that one method was $150,000. Median of Peer Adjustments was the adjustment method used to develop this adjustment.

Exterior Features: Storage
The Storage adjustment was developed at $250,000. The results (based on all adjustment methods that were calculated and considered relevant) provide an adjustment range from $211,000 to $274,000. Median Grouped Data, Average of Peer Adjustments, and 5 different types of simple regression were the adjustment methods used to develop this adjustment.

Views: Mountains
The Mountains View adjustment was developed at $100,000. The results (based on all adjustment methods that were calculated and considered relevant) provide an adjustment range from $86,000 to $180,000. Grouped Data (Median and Average), Theil-Sen Regression, Ordinary Least Squares Regression, and Least Absolute Deviation Regression were the adjustment methods used to develop this adjustment.

Sales Comparison Adjustment Support

Summary Information

Property Address	**1313 Lake Dr, Encinitas, CA 92024**		
Effective Date	**12/11/2025**	Datasets Analyzed	**3**
Analysis Date	**12/15/2025**	Properties per Dataset	**875 - 460 - 6**

The following transactional items were accounted for in the order shown prior to calculating any property feature adjustments below and only as necessary for transaction adjustments: Property Rights, Financing, Distressed Sales, Seller Concessions, Market Conditions.

Lot Size

$3.00 / SqFt

Calculated Results for the Adjustment Methods

Low: $0.54 **High: $3.97**

Name of the Adjustment Methods Calculated Above:
Least Median of Squares Regression, Modified Quantile Regression, Ordinary Least Squares Regression, Robust Least Median of Squares Regression, Robust Least Squares Regression, Sensitivity Analysis

GLA

$110 / SqFt

Calculated Results for the Adjustment Methods

Low: $99 **High: $119**

Name of the Adjustment Methods Calculated Above:
Depreciated Cost, True Paired Sales (Median and Average)

Full Bath

$20,000

Calculated Results for the Adjustment Methods

Low: $11,860 **High: $28,750**

Name of the Adjustment Methods Calculated Above:
Depreciated Cost

Condition

$80,000

Calculated Results for the Adjustment Methods

Low: $66,708 **High: $88,835**

Name of the Adjustment Methods Calculated Above:
Depreciated Cost, Peer Adjustments (Median and Average)

Quality

$150,000

Calculated Results for the Adjustment Methods

Low: $112,500 **High: $176,127**

Name of the Adjustment Methods Calculated Above:
Depreciated Cost

Pool Exists

$25,000

Calculated Results for the Adjustment Methods

Low: -$97,480 **High: $94,194**

Name of the Adjustment Methods Calculated Above:
Depreciated Cost, Least Median of Squares Regression, Modified Quantile Regression, Ordinary Least Squares Regression, Robust Least Squares Regression, Theil-Sen Regression, Peer Adjustments (Median and Average)

Exterior Features: Guest House

$150,000

Calculated Results for the Adjustment Methods

Low: $150,000 **High: $150,000**

Name of the Adjustment Methods Calculated Above:
Median Peer Adjustments

Exterior Features: Storage

$250,000

Calculated Results for the Adjustment Methods

Low: $211,498 **High: $274,031**

Name of the Adjustment Methods Calculated Above:
Median Grouped Data, 5 different types of Simple Regression

Views: Mountains

$100,000

Calculated Results for the Adjustment Methods

Low: $86,039 **High: $180,069**

Name of the Adjustment Methods Calculated Above:
Grouped Data (Median and Average), Least Absolute Deviation Regression, Ordinary Least Squares Regression, Theil-Sen Regression

Market Conditions Charts - Page 1

Borrower	Jose Luis Arellano; Odilon Diaz						
Property Address	1313 Lake Dr						
City	Encinitas	County	San Diego	State	CA	Zip Code	92024
Lender/Client	LendSure Mortgage Corp						

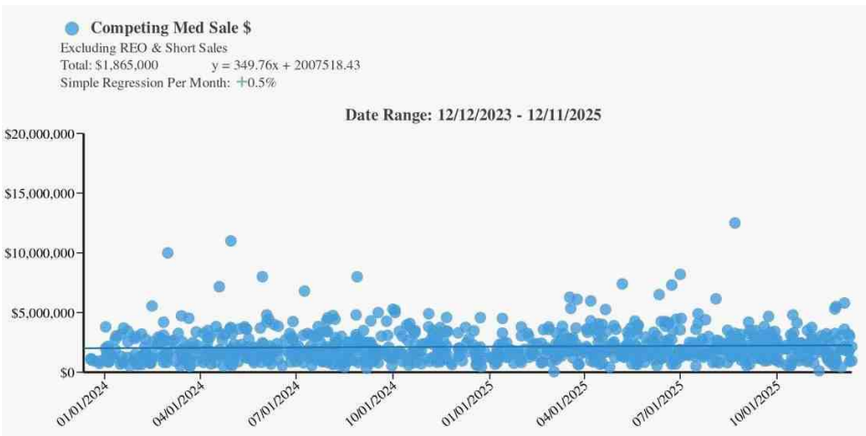

COMPETING MARKET - Median $

An analysis was performed on 871 competing sales (which excluded REO and short sales) over the past 24 months. The sales within this group had a median sale price of $1,865,000. This analysis shows a change of +0.5% per month.

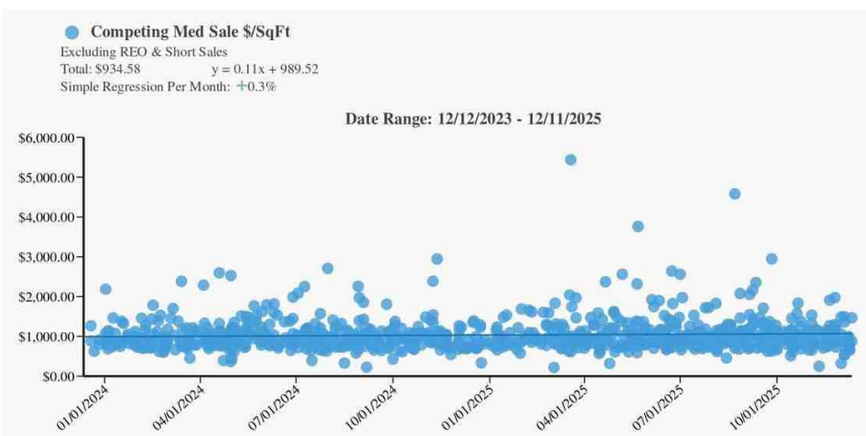

COMPETING MARKET - Median $/SqF

The median sale price per sqft was $934.58. This analysis shows a change of +0.3% per month.

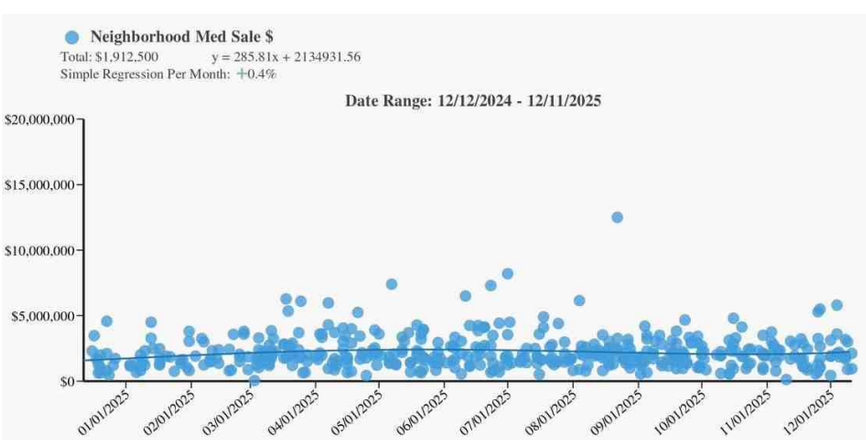

NEIGHBORHOOD - Median $

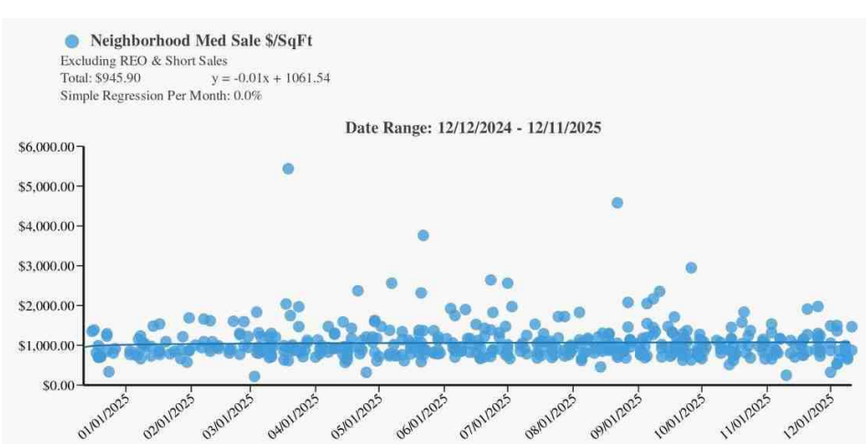

NEIGHBORHOOD - Median $/SqFt

Market Conditions Charts - Page 2

Borrower	Jose Luis Arellano; Odilon Diaz						
Property Address	1313 Lake Dr						
City	Encinitas	County	San Diego	State	CA	Zip Code	92024
Lender/Client	LendSure Mortgage Corp						

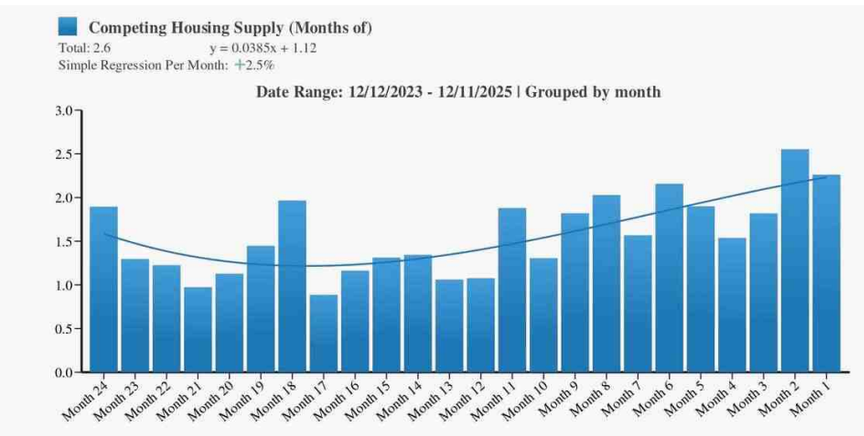

Competing Market - Housing Suppl

In addition, a monthly analysis was performed on 873 sales plus all active listings that are competing properties, over the past 24 months. Based on this entire set of data there is a 2.6 month supply.

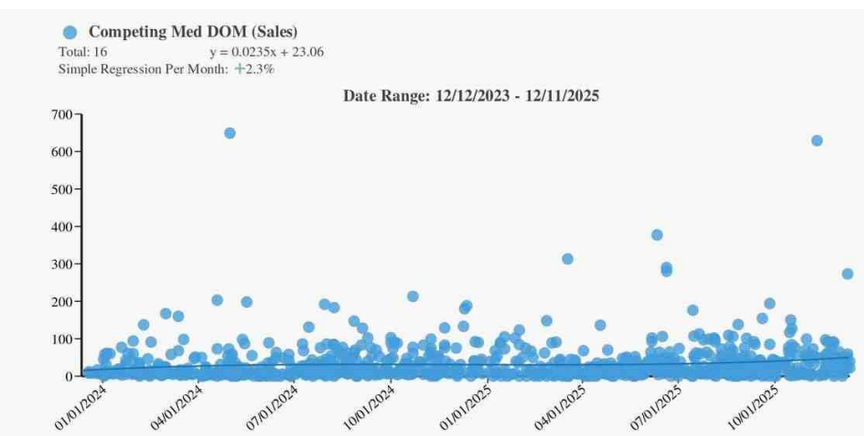

Competing Market - Sales DOM

These sales had a median DOM of 16.

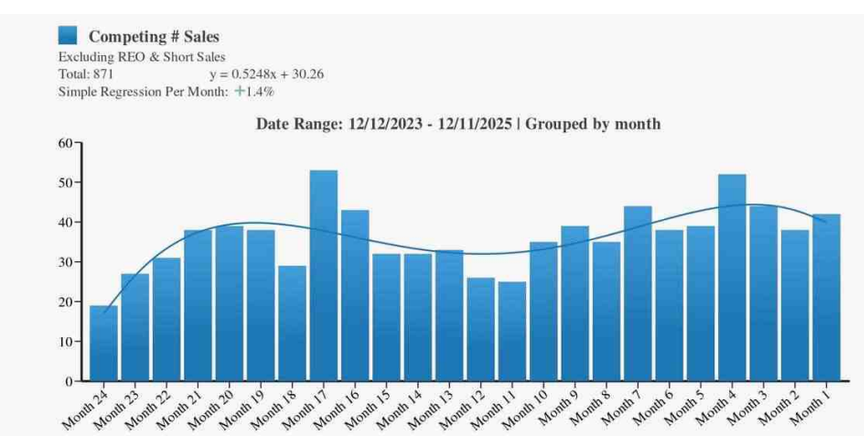

Competing Market - Sales Per Mont

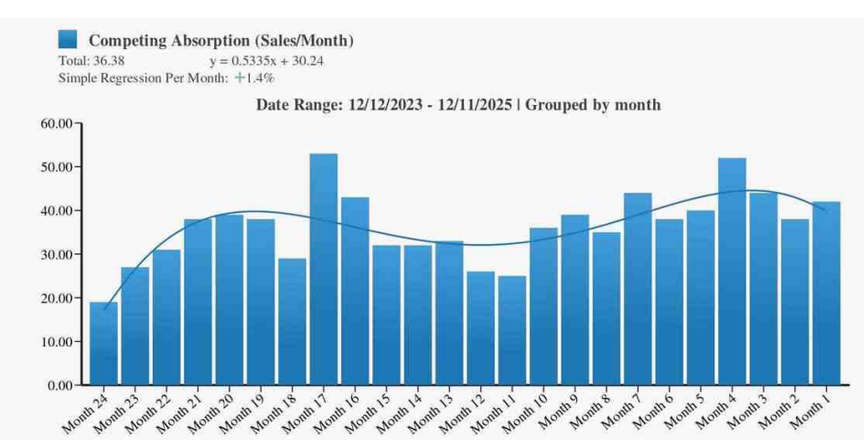

Competing Market - Absorption Rat

The total sales per month (absorption rate) was 36.38.

Market Conditions Charts - Page 3

Borrower	Jose Luis Arellano; Odilon Diaz						
Property Address	1313 Lake Dr						
City	Encinitas	County	San Diego	State	CA	Zip Code	92024
Lender/Client	LendSure Mortgage Corp						

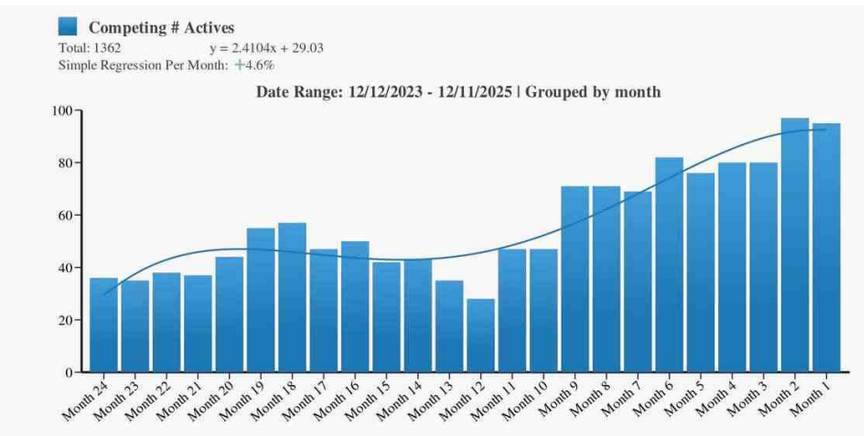

Competing Market - # Active Listing

A monthly analysis regarding quantity was also performed on all competing actives (listings that were considered to be active on the last day of each month) over the past 24 months. There are currently 95 active listings as of the effective date of this appraisal.

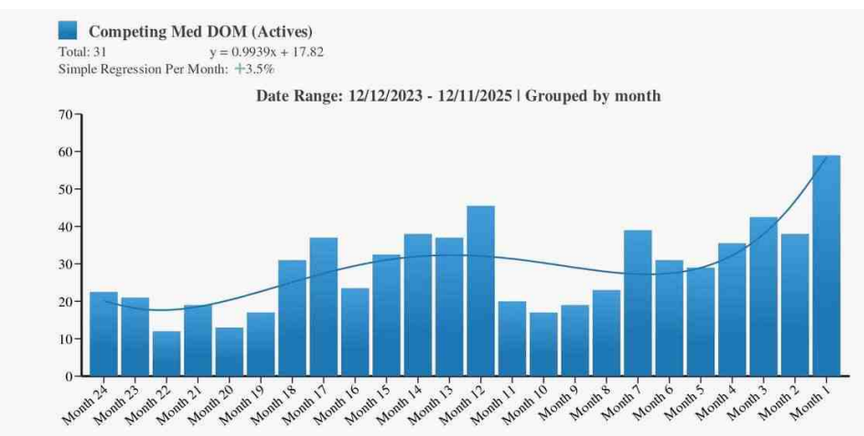

Competing Market - Active Listing DO

These actives had a median DOM of 31.

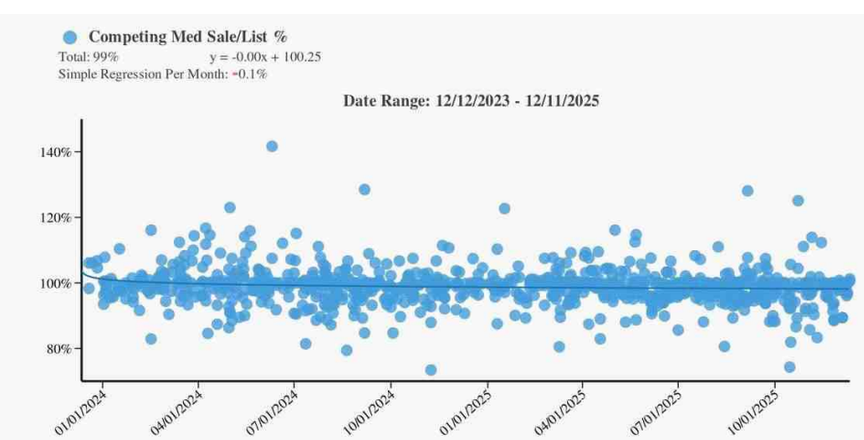

Competing Market - Sale/List $ Rati

An analysis was also performed on 873 competing sales over the past 24 months. The sales within this group had a median sale price to list price ratio of 99%.

Total Sales vs Sales with Concessior

Market Conditions Charts - Page 4

Borrower	Jose Luis Arellano; Odilon Diaz						
Property Address	1313 Lake Dr						
City	Encinitas	County	San Diego	State	CA	Zip Code	92024
Lender/Client	LendSure Mortgage Corp						

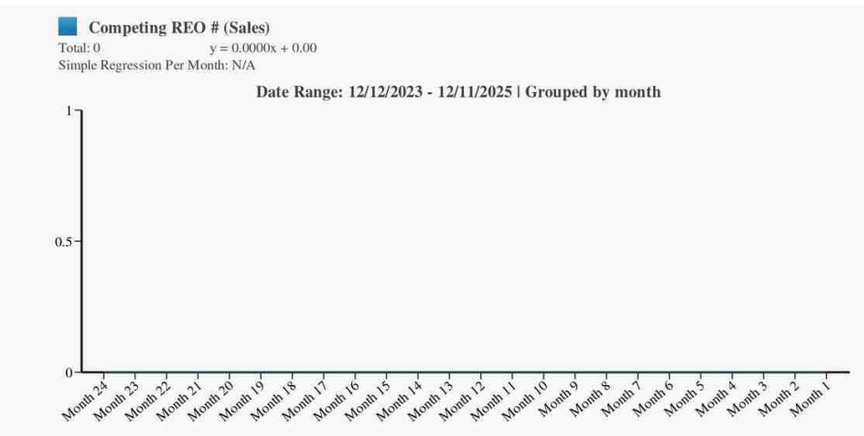

ompeting Market - # Foreclosure Sa

A monthly analysis was performed on 873 competing sales over the past 24 months. For those sales, a total of 0 were reported to be REO.

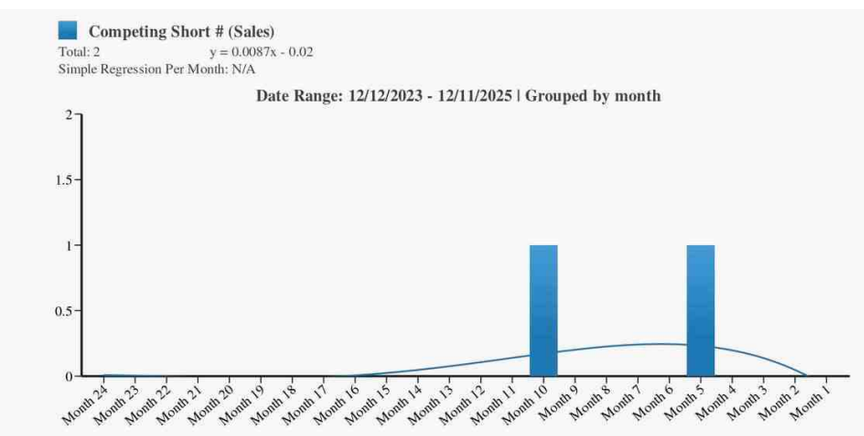

Competing Market - # Short Sales

A total of 2 of these sales were reported to be short sales.

Comparable Photo Page

Borrower	Jose Luis Arellano; Odilon Diaz						
Property Address	1313 Lake Dr						
City	Encinitas	County	San Diego	State	CA	Zip Code	92024
Lender/Client	LendSure Mortgage Corp						

Comparable 1

440 Saxony Rd

Prox. to Subject	1.97 miles NW
Sale Price	2,500,000
Gross Living Area	1,080
Total Rooms	4
Total Bedrooms	2
Total Bathrooms	1.0
Location	N;Res;
View	N;Pstrl;Res
Site	2.82 ac
Quality	Q4
Age	90

Comparable 2

624 Windmill Ranch Rd

Prox. to Subject	2.28 miles NE
Sale Price	2,750,000
Gross Living Area	2,968
Total Rooms	7
Total Bedrooms	5
Total Bathrooms	3.0
Location	N;Res;
View	N;Pstrl;Res
Site	1.09 ac
Quality	Q3
Age	46

Comparable 3

754 Plato Pl

Prox. to Subject	3.50 miles NW
Sale Price	2,800,000
Gross Living Area	1,906
Total Rooms	8
Total Bedrooms	4
Total Bathrooms	3.0
Location	N;Res;
View	N;Res;
Site	1.22 ac
Quality	Q4
Age	64

Comparable Photo Page

Borrower	Jose Luis Arellano; Odilon Diaz						
Property Address	1313 Lake Dr						
City	Encinitas	County	San Diego	State	CA	Zip Code	92024
Lender/Client	LendSure Mortgage Corp						

Comparable 4

1691 Crest Dr

Prox. to Subject	0.50 miles SE
Sale Price	3,200,000
Gross Living Area	1,419
Total Rooms	4
Total Bedrooms	2
Total Bathrooms	1.0
Location	N;Res;
View	B;Mtn;Res
Site	1.27 ac
Quality	Q4
Age	79

Comparable 5

Prox. to Subject	
Sale Price	
Gross Living Area	
Total Rooms	
Total Bedrooms	
Total Bathrooms	
Location	
View	
Site	
Quality	
Age	

Comparable 6

Prox. to Subject	
Sale Price	
Gross Living Area	
Total Rooms	
Total Bedrooms	
Total Bathrooms	
Location	
View	
Site	
Quality	
Age	

UNIFORM APPRAISAL DATASET (UAD) DEFINITIONS ADDENDUM

(Source: Fannie Mae UAD Appendix D: UAD Field-Specific Standardization Requirements)

Condition Ratings and Definitions

C1

The improvements have been recently constructed and have not been previously occupied. The entire structure and all components are new and the dwelling features no physical depreciation.

Note: Newly constructed improvements that feature recycled or previously used materials and/or components can be considered new dwellings provided that the dwelling is placed on a 100 percent new foundation and the recycled materials and the recycled components have been rehabilitated/remanufactured into like-new condition. Improvements that have not been previously occupied are not considered “new” if they have any significant physical depreciation (that is, newly constructed dwellings that have been vacant for an extended period of time without adequate maintenance or upkeep).

C2

The improvements feature no deferred maintenance, little or no physical depreciation, and require no repairs. Virtually all building components are new or have been recently repaired, refinished, or rehabilitated. All outdated components and finishes have been updated and/or replaced with components that meet current standards. Dwellings in this category are either almost new or have been recently completely renovated and are similar in condition to new construction.

Note: The improvements represent a relatively new property that is well maintained with no deferred maintenance and little or no physical depreciation, or an older property that has been recently completely renovated.

C3

The improvements are well maintained and feature limited physical depreciation due to normal wear and tear. Some components, but not every major building component, may be updated or recently rehabilitated. The structure has been well maintained.

Note: The improvement is in its first-cycle of replacing short-lived building components (appliances, floor coverings, HVAC, etc.) and is being well maintained. Its estimated effective age is less than its actual age. It also may reflect a property in which the majority of short-lived building components have been replaced but not to the level of a complete renovation.

C4

The improvements feature some minor deferred maintenance and physical deterioration due to normal wear and tear. The dwelling has been adequately maintained and requires only minimal repairs to building components/mechanical systems and cosmetic repairs. All major building components have been adequately maintained and are functionally adequate.

Note: The estimated effective age may be close to or equal to its actual age. It reflects a property in which some of the short-lived building components have been replaced, and some short-lived building components are at or near the end of their physical life expectancy; however, they still function adequately. Most minor repairs have been addressed on an ongoing basis resulting in an adequately maintained property.

C5

The improvements feature obvious deferred maintenance and are in need of some significant repairs. Some building components need repairs, rehabilitation, or updating. The functional utility and overall livability is somewhat diminished due to condition, but the dwelling remains useable and functional as a residence.

Note: Some significant repairs are needed to the improvements due to the lack of adequate maintenance. It reflects a property in which many of its short-lived building components are at the end of or have exceeded their physical life expectancy but remain functional.

C6

The improvements have substantial damage or deferred maintenance with deficiencies or defects that are severe enough to affect the safety, soundness, or structural integrity of the improvements. The improvements are in need of substantial repairs and rehabilitation, including many or most major components.

Note: Substantial repairs are needed to the improvements due to the lack of adequate maintenance or property damage. It reflects a property with conditions severe enough to affect the safety, soundness, or structural integrity of the improvements.

Quality Ratings and Definitions

Q1

Dwellings with this quality rating are usually unique structures that are individually designed by an architect for a specified user. Such residences typically are constructed from detailed architectural plans and specifications and feature an exceptionally high level of workmanship and exceptionally high-grade materials throughout the interior and exterior of the structure. The design features exceptionally high-quality exterior refinements and ornamentation, and exceptionally high-quality interior refinements. The workmanship, materials, and finishes throughout the dwelling are of exceptionally high quality.

Q2

Dwellings with this quality rating are often custom designed for construction on an individual property owner’s site. However, dwellings in this quality grade are also found in high-quality tract developments featuring residence constructed from individual plans or from highly modified or upgraded plans. The design features detailed, high quality exterior ornamentation, high-quality interior refinements, and detail. The workmanship, materials, and finishes throughout the dwelling are generally of high or very high quality.

UNIFORM APPRAISAL DATASET (UAD) DEFINITIONS ADDENDUM

(Source: Fannie Mae UAD Appendix D: UAD Field-Specific Standardization Requirements)

Quality Ratings and Definitions (continued)

Q3

Dwellings with this quality rating are residences of higher quality built from individual or readily available designer plans in above-standard residential tract developments or on an individual property owner's site. The design includes significant exterior ornamentation and interiors that are well finished. The workmanship exceeds acceptable standards and many materials and finishes throughout the dwelling have been upgraded from "stock" standards.

Q4

Dwellings with this quality rating meet or exceed the requirements of applicable building codes. Standard or modified standard building plans are utilized and the design includes adequate fenestration and some exterior ornamentation and interior refinements. Materials, workmanship, finish, and equipment are of stock or builder grade and may feature some upgrades.

Q5

Dwellings with this quality rating feature economy of construction and basic functionality as main considerations. Such dwellings feature a plain design using readily available or basic floor plans featuring minimal fenestration and basic finishes with minimal exterior ornamentation and limited interior detail. These dwellings meet minimum building codes and are constructed with inexpensive, stock materials with limited refinements and upgrades.

Q6

Dwellings with this quality rating are of basic quality and lower cost; some may not be suitable for year-round occupancy. Such dwellings are often built with simple plans or without plans, often utilizing the lowest quality building materials. Such dwellings are often built or expanded by persons who are professionally unskilled or possess only minimal construction skills. Electrical, plumbing, and other mechanical systems and equipment may be minimal or non-existent. Older dwellings may feature one or more substandard or non-conforming additions to the original structure

Definitions of Not Updated, Updated, and Remodeled

Not Updated

Little or no updating or modernization. This description includes, but is not limited to, new homes.

Residential properties of fifteen years of age or less often reflect an original condition with no updating, if no major components have been replaced or updated. Those over fifteen years of age are also considered not updated if the appliances, fixtures, and finishes are predominantly dated. An area that is 'Not Updated' may still be well maintained and fully functional, and this rating does not necessarily imply deferred maintenance or physical/functional deterioration.

Updated

The area of the home has been modified to meet current market expectations. These modifications are limited in terms of both scope and cost.

An updated area of the home should have an improved look and feel, or functional utility. Changes that constitute updates include refurbishment and/or replacing components to meet existing market expectations. Updates do not include significant alterations to the existing structure.

Remodeled

Significant finish and/or structural changes have been made that increase utility and appeal through complete replacement and/or expansion.

A remodeled area reflects fundamental changes that include multiple alterations. These alterations may include some or all of the following: replacement of a major component (cabinet(s), bathtub, or bathroom tile), relocation of plumbing/gas fixtures/appliances, significant structural alterations (relocating walls, and/or the addition of) square footage). This would include a complete gutting and rebuild.

Explanation of Bathroom Count

Three-quarter baths are counted as a full bath in all cases. Quarter baths (baths that feature only a toilet) are not included in the bathroom count. The number of full and half baths is reported by separating the two values using a period, where the full bath count is represented to the left of the period and the half bath count is represented to the right of the period.

Example:
3.2 indicates three full baths and two half baths.

UNIFORM APPRAISAL DATASET (UAD) DEFINITIONS ADDENDUM

(Source: Fannie Mae UAD Appendix D: UAD Field-Specific Standardization Requirements)

Abbreviations Used in Data Standardization Text

Abbreviation	Full Name	Fields Where This Abbreviation May Appear
A	Adverse	Location & View
ac	Acres	Area, Site
AdjPrk	Adjacent to Park	Location
AdjPwr	Adjacent to Power Lines	Location
ArmLth	Arms Length Sale	Sale or Financing Concessions
AT	Attached Structure	Design (Style)
B	Beneficial	Location & View
ba	Bathroom(s)	Basement & Finished Rooms Below Grade
br	Bedroom	Basement & Finished Rooms Below Grade
BsyRd	Busy Road	Location
c	Contracted Date	Date of Sale/Time
Cash	Cash	Sale or Financing Concessions
Comm	Commercial Influence	Location
Conv	Conventional	Sale or Financing Concessions
cp	Carport	Garage/Carport
CrtOrd	Court Ordered Sale	Sale or Financing Concessions
CtySky	City View Skyline View	View
CtyStr	City Street View	View
cv	Covered	Garage/Carport
DOM	Days On Market	Data Sources
DT	Detached Structure	Design (Style)
dw	Driveway	Garage/Carport
e	Expiration Date	Date of Sale/Time
Estate	Estate Sale	Sale or Financing Concessions
FHA	Federal Housing Authority	Sale or Financing Concessions
g	Garage	Garage/Carport
ga	Attached Garage	Garage/Carport
gbi	Built-in Garage	Garage/Carport
gd	Detached Garage	Garage/Carport
GlfCse	Golf Course	Location
Glfvw	Golf Course View	View
GR	Garden	Design (Style)
HR	High Rise	Design (Style)
in	Interior Only Stairs	Basement & Finished Rooms Below Grade
Ind	Industrial	Location & View
Listing	Listing	Sale or Financing Concessions
Lndfl	Landfill	Location
LtdSght	Limited Sight	View
MR	Mid-rise	Design (Style)
Mtn	Mountain View	View
N	Neutral	Location & View
NonArm	Non-Arms Length Sale	Sale or Financing Concessions
o	Other	Basement & Finished Rooms Below Grade
O	Other	Design (Style)
op	Open	Garage/Carport
Prk	Park View	View
Pstrl	Pastoral View	View
PwrLn	Power Lines	View
PubTrn	Public Transportation	Location
Relo	Relocation Sale	Sale or Financing Concessions
REO	REO Sale	Sale or Financing Concessions
Res	Residential	Location & View
RH	USDA - Rural Housing	Sale or Financing Concessions
rr	Recreational (Rec) Room	Basement & Finished Rooms Below Grade
RT	Row or Townhouse	Design (Style)
s	Settlement Date	Date of Sale/Time
SD	Semi-detached Structure	Design (Style)
Short	Short Sale	Sale or Financing Concessions
sf	Square Feet	Area, Site, Basement
sqm	Square Meters	Area, Site
Unk	Unknown	Date of Sale/Time
VA	Veterans Administration	Sale or Financing Concessions
w	Withdrawn Date	Date of Sale/Time
wo	Walk Out Basement	Basement & Finished Rooms Below Grade
Woods	Woods View	View
Wtr	Water View	View
WtrFr	Water Frontage	Location
wu	Walk Up Basement	Basement & Finished Rooms Below Grade

Borrower	Jose Luis Arellano; Odilon Diaz			File No.	15509830
Property Address	1313 Lake Dr				
City	Encinitas	County	San Diego	State CA	Zip Code 92024
Lender/Client	LendSure Mortgage Corp				

APPRAISAL AND REPORT IDENTIFICATION

This Report is one of the following types:

☒ Appraisal Report (A written report prepared under Standards Rule 2-2(a), pursuant to the Scope of Work, as disclosed elsewhere in this report.)

☐ Restricted Appraisal Report (A written report prepared under Standards Rule 2-2(b), pursuant to the Scope of Work, as disclosed elsewhere in this report, restricted to the stated intended use only by the specified client and any other named intended user(s).)

Comments on Standards Rule 2-3

I certify that, to the best of my knowledge and belief:
- The statements of fact contained in this report are true and correct.
- The reported analyses, opinions, and conclusions are limited only by the reported assumptions and limiting conditions and are my personal, impartial, and unbiased professional analyses, opinions, and conclusions.
- Unless otherwise indicated, I have no present or prospective interest in the property that is the subject of this report and no personal interest with respect to the parties involved.
- Unless otherwise indicated, I have performed no services, as an appraiser or in any other capacity, regarding the property that is the subject of this report within the three-year period immediately preceding acceptance of this assignment.
- I have no bias with respect to the property that is the subject of this report or the parties involved with this assignment.
- My engagement in this assignment was not contingent upon developing or reporting predetermined results.
- My compensation for completing this assignment is not contingent upon the development or reporting of a predetermined value or direction in value that favors the cause of the client, the amount of the value opinion, the attainment of a stipulated result, or the occurrence of a subsequent event directly related to the intended use of this appraisal.
- My analyses, opinions, and conclusions were developed, and this report has been prepared, in conformity with the Uniform Standards of Professional Appraisal Practice that were in effect at the time this report was prepared.
- Unless otherwise indicated, I have made a personal inspection of the property that is the subject of this report.
- Unless otherwise indicated, no one provided significant real property appraisal assistance to the person(s) signing this certification (if there are exceptions, the name of each individual providing significant real property appraisal assistance is stated elsewhere in this report).

Reasonable Exposure Time

(USPAP defines Exposure Time as the estimated length of time that the property interest being appraised would have been offered on the market prior to the hypothetical consummation of a sale at market value on the effective date of the appraisal.)

My Opinion of Reasonable Exposure Time for the subject property at the market value stated in this report is: 15-180 days

The estimated length of time the property interest being appraised would have been offered on the market prior to the hypothetical consummation of a sale at market value on the effective date of the appraisal is a retrospective opinion based on an analysis of past events assuming a competitive and open market.

Comments on Appraisal and Report Identification

Note any USPAP-related issues requiring disclosure and any state mandated requirements:

I have not performed any other services, as an appraiser or in any other capacity, regarding the property that is the subject of this report within the three-year period immediately preceding acceptance of this assignment.

APPRAISER:

Signature: Troy M. Webb

Name: Troy Webb

State Certification #: AG 043285

or State License #:

State: CA Expiration Date of Certification or License: 11/06/2027

Date of Signature and Report: 12/15/2025

Effective Date of Appraisal: 12/11/2025

Inspection of Subject: ☐ None ☒ Interior and Exterior ☐ Exterior-Only

Date of Inspection (if applicable): 12/11/2025

SUPERVISORY or CO-APPRAISER (if applicable):

Signature:

Name:

State Certification #:

or State License #:

State: Expiration Date of Certification or License:

Date of Signature:

Inspection of Subject: ☐ None ☐ Interior and Exterior ☐ Exterior-Only

Date of Inspection (if applicable):

Supplemental Addendum

File No. 15509830

Borrower	Jose Luis Arellano; Odilon Diaz						
Property Address	1313 Lake Dr						
City	Encinitas	County	San Diego	State	CA	Zip Code	92024
Lender/Client	LendSure Mortgage Corp						

* SUBJECT 36-MONTH PRIOR TRANSFER HISTORY *

1313 Lake Dr
-No transfer history.

* COMPARABLE 12-MONTH PRIOR TRANSFER HISTORY *
(may include properties that were considered but not utilized as comparables)

440 Saxony Rd
-Transferred on 09/26/2025 for $0. It transferred from Dutton Diana C to Owner Record and was a Affidavit (Document #267941).

624 Windmill Ranch Rd
-Transferred on 11/04/2025 for $0. It transferred from Schmitt Roger H to Owner Record and was a Affidavit (Document #311203).
-Transferred on 11/04/2025 for $0. It transferred from Schmitt Louise to Owner Record and was a Affidavit (Document #311202).

754 Plato Place
-Transferred on 10/10/2023 for $0. It transferred from Turner Edwin W to Turner Family Trust and was a Affidavit (Document #273381).

1691 Crest Drive
-No transfer history.

Appraiser License/Certification

Business, Consumer Services & Housing Agency

BUREAU OF REAL ESTATE APPRAISERS

REAL ESTATE APPRAISER LICENSE

Troy M. Webb

has successfully met the requirements for a license as a residential and commercial real estate appraiser in the State of California and is, therefore, entitled to use the title:

"Certified General Real Estate Appraiser"

This license has been issued in accordance with the provisions of the Real Estate Appraisers' Licensing and Certification Law.

BREA APPRAISER IDENTIFICATION NUMBER: AG 043285

Effective Date: November 7, 2025
Date Expires: November 6, 2027

Angela Jemmott, Bureau Chief, BREA

3083354

THIS DOCUMENT CONTAINS A TRUE WATERMARK - HOLD UP TO LIGHT TO SEE "CHAIN LINK"

Insurance

KINSALE INSURANCE COMPANY
2035 Maywill Street, Suite 100
Richmond, VA 23230

ALLIED REALTY PROFESSIONAL LIABILITY DECLARATIONS

Policy Number:	**0100309426-1**
Producer Number:	**16701**
Name and Address:	**Capitol Special Risks a div. of Specialty Programs Group** **1000 Parkwood Circle, Suite 925** **Atlanta, GA 30339**

NAMED INSURED:	**Webb Appraisals Inc .**
MAILING ADDRESS:	**2 Calle Maria** **Rancho Santa Margarita, CA 92688**
POLICY PERIOD:	**FROM 06/26/2025 TO 06/26/2026 at 12:01 AM at the address of the named insured as shown above.**

RETROACTIVE DATE	
Retroactive Date	06/14/2023 at 12:01 AM at the address of the named insured as shown above.

LIMITS OF INSURANCE	
Each Claim	$1,000,000
Aggregate Limit	$1,000,000

DEDUCTIBLE(S)	
Each Claim	$2,500

PREMIUM AND COMPANY FEES		
PREMIUM:	$150.00 - Broker Fee	$2,000
COMPANY FEE:	$60.00 Surplus Lines Tax	$0
TOTAL (OF PREMIUM AND COMPANY FEE):	$3.60 Stamping Office Fee	$2,000

OPTIONAL EXTENDED REPORTING PERIOD	
Period (in Months)	**Percentage of Policy Premium**
12	100%
24	150%
36	175%
See SECTION IX of the Policy for details	

Professional Service	**Service is covered only when indicated by an X in this column**
Real estate broker, real estate agent, real estate salesperson, real estate leasing agent or real estate assistant	
Auctioneer of real property	
Real estate consultant	
Real estate appraiser	X
Property manager	
Business broker	
Mortgage broker	
Escrow agent	

RES1000 0314 Page 1 of 2